MINISTERO DELLA DIFESA

meteomont
Servizio Nazionale di previsione neve e valanghe

EAWS EUROPEAN AVALANCHE WARNING SERVICES

CARABINIERI

ALPI CARNICHE OCCIDENTALI

Avalanche Bulletin N. 332/2026 issued at 14:00 on 01/02/2026
48 hours validity. Next issue on 02/02/2026

By the METEOMONT Service of the ARMA dei CARABINIERI ITALY
In collaboration with Air Force Meteorological Service

Situation on 01/02/2026

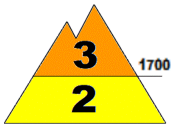

DANGER PATTERNS: snowfall after a long period of cold.

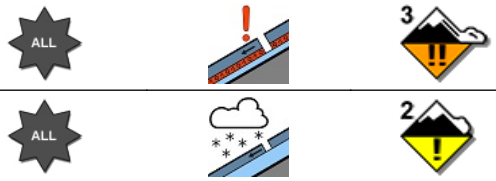

DANGER PATTERNS: no distinct danger pattern.

Snow line (m.a.s.l.)	North	South
	700	800

Snow depth (cm)	ground snow	new snow	Elevation (m.a.s.l.)
	90	00	1710
	53	00	1425

REGISTERED AVALANCHES: Small avalanches, Surface loose snow avalanches.

FORECAST 02/02/2026

Danger level: CONSIDERABLE 3

DANGER PATTERNS: loose snow and wind.

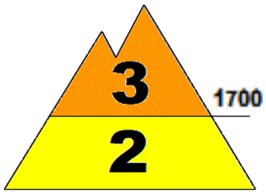

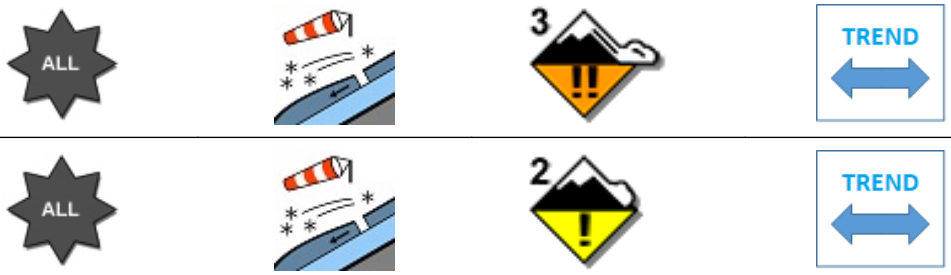

DANGER PATTERNS: loose snow and wind.

SNOWPACK: Snowpack stability is very poor on many points (areas) above 1700 m.a.s.l. All aspects are critical. medium avalanches are possible.
Snowpack stability is poor on some points (areas) below 1700 m.a.s.l. All aspects are critical. Medium avalanches are possible.

WARNING

Due to new snow,careful route choice and an excellent evaluation of snowpack stability is required.

EUROPEAN AVALANCHE WARNING SERVICE

AVALANCHE PROBLEMS

According to EAWS standards Meteomont bulletin is a synoptic-scale system (regional scale). It shall be the user's responsibility to correlate the danger level evaluation of the bulletin with a detailed and expertise analysis of the zonal hazards (single slope), that could be markedly different. Meteorological forecast are issued at UTC (for Italy: in winter time UTC+1: in summer time UTC+2).

Bulletin is subjected to check processes through: the record of Observers and Avalanches and snow Experts data in C-Sifa; the validation by forecasters; the certification by Meteomont Section.

MINISTERO DELLA DIFESA

meteomont
Servizio Nazionale di previsione neve e valanghe

EAWS EUROPEAN AVALANCHE WARNING SERVICES

CARABINIERI

ALPI CARNICHE OCCIDENTALI

WEATHER FORECAST FOR

Elevation		02/02/2026 h6:00	02/02/2026 h12:00	02/02/2026 h18:00
1000	Wind	01 Knots from South	01 Knots from East	01 Knots from S-East
	Temperatures	-06 °C	-06 °C	-06 °C
	Wind chill	-6 °C	-6 °C	-6 °C
2000	Wind	01 Knots from West	01 Knots from North	01 Knots from South
	Temperatures	-07 °C	-06 °C	-07 °C
	Wind chill	-7 °C	-6 °C	-7 °C
3000	Wind	02 Knots from N-West	02 Knots from West	07 Knots from S-West
	Temperatures	-10 °C	-09 °C	-08 °C
	Wind chill	-10 °C	-9 °C	-14 °C
Freezing level		0000-0200 m.	0300-0500 m.	0100-0300 m.
Atmospheric phenomenon		—	—	—
Keys to sky condition				

KEYS TO ATMOSPHERIC PHENOMENON

— Absence of adverse weather phenomena
Fog
Mist
Light rain
Moderate rain
Heavy rain
Thunderstorm
Weak snowfall
Moderate snowfall
Heavy snowfall

KEYS TO SKY CONDITION

Clear
Partly cloudy
Cloudy
Mostly cloudy
Overcast

Weather and snow data recorded during field and out of field obsevations on 01/02/2026.

Observation field	District	Elevation (m.a.s.l.)	Snow depth (cm)	Snowfall in previous 24 hours (cm)	Temp. Min (°C)	Temp. Max (°C)	General weather conditions
SAURIS DI SOPRA	Sauris (UD)	1425	53	0	-3	+9	Absence of rain or other precipitation

(*) Out of field survey

INFORMATION MEANS PREVENTION - SCAN QRCODE TO KNOW DAILY AVALANCHE DANGER LEVEL!

IL CAPO DEL CENTRO NAZIONALE METEOMONT
(Ten. Col. RFI Emanuela Gini)
FIRMA AUTOGRAFA OMESSA AI SENSI
DELL'ART.3 DEL D.LGS N.39/1993

According to EAWS standards Meteomont bulletin is a synoptic-scale system (regional scale). It shall be the user's responsibility to correlate the danger level evaluation of the bulletin with a detailed and expertise analysis of the zonal hazards (single slope), that could be markedly different. Meteorological forecast are issued at UTC (for Italy: in winter time UTC+1: in summer time UTC+2).

Bulletin is subjected to check processes through: the record of Observers and Avalanches and snow Experts data in C-Sifa; the validation by forecasters; the certification by Meteomont Section.