MINISTERO DELLA DIFESA

meteomont Servizio Nazionale di previsione neve e valanghe

EAWS EUROPEAN AVALANCHE WARNING SERVICES

CARABINIERI

In collaborazione con: arpav

# DOLOMITI SETTENTRIONALI

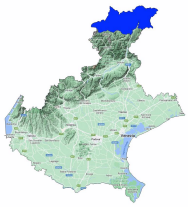

Avalanche Bulletin N. 332/2026 issued at 14:00 on 01/02/2026
48 hours validity. Next issue on 02/02/2026

**By the METEOMONT Service of the ARMA dei CARABINIERI ITALY**
**In collaboration with Air Force Meteorological Service**

## Situation on 01/02/2026

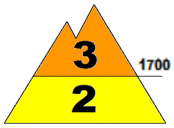


**DANGER PATTERNS: snowfall after a long period of cold.**

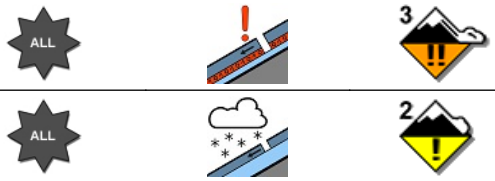


**DANGER PATTERNS: no distinct danger pattern.**

| Snow line (m.a.s.l.) | North | South |
|---|---|---|
| | 900 - 1100 | 1100 - 1200 |

| Snow depth (cm) | ground snow | new snow | Elevation (m.a.s.l.) |
|---|---|---|---|
| | 87 | 00 | 2592 |
| | 59 | 00 | 1988 |

**REGISTERED AVALANCHES: No avalanches detected.**

## FORECAST 02/02/2026

# Danger level: CONSIDERABLE 3

## DANGER PATTERNS: loose snow and wind.

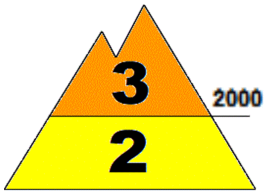


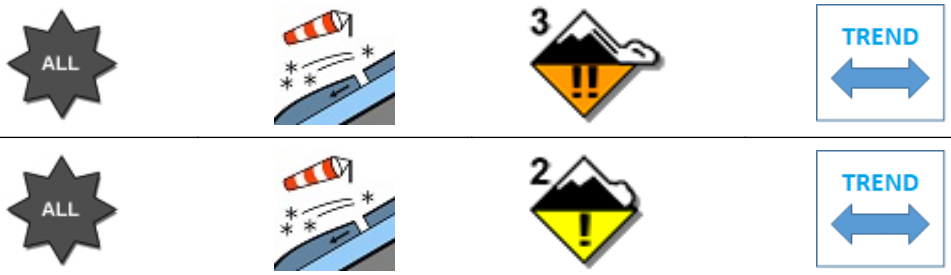


## DANGER PATTERNS: loose snow and wind.

**SNOWPACK: Snowpack stability is very poor on many points (areas) above 2000 m.a.s.l. All aspects are critical. medium avalanches are possible.**
**Snowpack stability is poor on some points (areas) below 2000 m.a.s.l. All aspects are critical. Medium avalanches are possible.**

## WARNING

Due to new snow,careful route choice and an excellent evaluation of snowpack stability is required.

## EUROPEAN AVALANCHE WARNING SERVICE

## AVALANCHE PROBLEMS

According to EAWS standards Meteomont bulletin is a synoptic-scale system (regional scale). It shall be the user's responsibility to correlate the danger level evaluation of the bulletin with a detailed and expertise analysis of the zonal hazards (single slope), that could be markedly different. Meteorological forecast are issued at UTC (for Italy: in winter time UTC+1: in summer time UTC+2).

Bulletin is subjected to check processes through: the record of Observers and Avalanches and snow Experts data in C-Sifa; the validation by forecasters; the certification by Meteomont Section.

MINISTERO DELLA DIFESA

meteomont Servizio Nazionale di previsione neve e valanghe

EAWS EUROPEAN AVALANCHE WARNING SERVICES

CARABINIERI

In collaborazione con: arpav

# DOLOMITI SETTENTRIONALI

## WEATHER FORECAST FOR

| Elevation | | 02/02/2026 h6:00 | 02/02/2026 h12:00 | 02/02/2026 h18:00 |
|---|---|---|---|---|
| 1000 | Wind | 01 Knots from N-West | 01 Knots from N-East | 01 Knots from S-East |
| | Temperatures | -06 °C | -06 °C | -07 °C |
| | Wind chill | -6 °C | -6 °C | -7 °C |
| 2000 | Wind | 01 Knots from N-West | 01 Knots from North | 01 Knots from South |
| | Temperatures | -07 °C | -06 °C | -07 °C |
| | Wind chill | -7 °C | -6 °C | -7 °C |
| 3000 | Wind | 02 Knots from N-West | 02 Knots from West | 05 Knots from S-West |
| | Temperatures | -10 °C | -09 °C | -08 °C |
| | Wind chill | -10 °C | -9 °C | -13 °C |
| Freezing level | | 0000-0200 m. | 0500-0700 m. | 0300-0500 m. |
| Atmospheric phenomenon | | — | — | — |
| Keys to sky condition | | | | |

## KEYS TO ATMOSPHERIC PHENOMENON

— Absence of adverse weather phenomena

Fog

Mist

Light rain

Moderate rain

Heavy rain

Thunderstorm

Weak snowfall

Moderate snowfall

Heavy snowfall

## KEYS TO SKY CONDITION

Clear

Partly cloudy

Cloudy

Mostly cloudy

Overcast

## Weather and snow data recorded during field and out of field obsevations on 01/02/2026.

| Observation field | District | Elevation (m.a.s.l.) | Snow depth (cm) | Snowfall in previous 24 hours (cm) | Temp. Min (°C) | Temp. Max (°C) | General weather conditions |
|---|---|---|---|---|---|---|---|
| MONTE AGUDO | Auronzo di Cadore (BL) | 1530 | 54 | 0 | -8 | +1 | Absence of rain or other precipitation |
| COL DELLA TENDA | Comelico Superiore (BL) | 1930 | 75 | 0 | -8 | +7 | Absence of rain or other precipitation |

(*) Out of field survey

**INFORMATION MEANS PREVENTION - SCAN QRCODE TO KNOW DAILY AVALANCHE DANGER LEVEL!**

**IL CAPO DEL CENTRO NAZIONALE METEOMONT**
**(Ten. Col. RFI Emanuela Gini)**
**FIRMA AUTOGRAFA OMESSA AI SENSI**
**DELL'ART.3 DEL D.LGS N.39/1993**