MINISTERO DELLA DIFESA

meteomont
Servizio Nazionale di previsione neve e valanghe

EAWS EUROPEAN AVALANCHE WARNING SERVICES

CARABINIERI

## TERMINILLO MONTI REATINI E LAGA OVEST

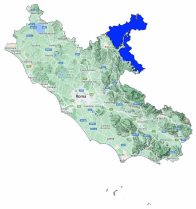

Avalanche Bulletin N. 274/2026 issued at 14:00 on 01/02/2026
48 hours validity. Next issue on 02/02/2026

**By the METEOMONT Service of the ARMA dei CARABINIERI ITALY**
**In collaboration with Air Force Meteorological Service**

## Situation on 01/02/2026

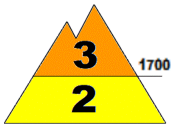


**DANGER PATTERNS: loose snow and wind.**




**DANGER PATTERNS: shallow snow next to deep snow.**

| Snow line (m.a.s.l.) | North | South |
|---|---|---|
| | 1100 - 1300 | 1300 - 1400 |

| Snow depth (cm) | ground snow | new snow | Elevation (m.a.s.l.) |
|---|---|---|---|
| | 150 | 000 | 1825 |
| | 028 | 000 | 1350 |

**REGISTERED AVALANCHES: No avalanches detected.**

## FORECAST 02/02/2026

# Danger level: CONSIDERABLE 3

## DANGER PATTERNS: loose snow and wind.

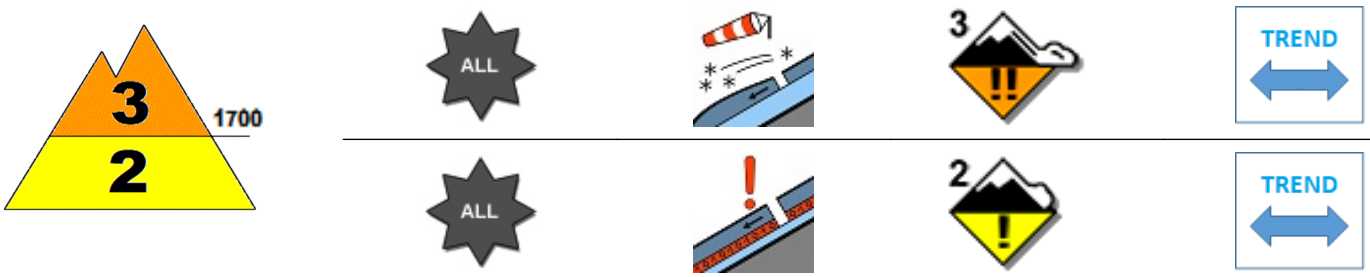


## DANGER PATTERNS: shallow snow next to deep snow.

**SNOWPACK: Snowpack stability is very poor on many points (areas) above 1700 m.a.s.l. All aspects are critical. medium avalanches are possible.**
**Snowpack stability is moderate on some points (areas) below 1700 m.a.s.l. All aspects are critical. Medium avalanches are possible.**

## WARNING

Due to observed wind activity, avoid accumulation zones, bowls, gullies, irregular slopes and leeward slopes in general.

## EUROPEAN AVALANCHE WARNING SERVICE

5 - VERY HIGH | 4 - HIGH | 3 - CONSIDERABLE | 2 - MODERATE | 1 - LOW | NO SNOW | NO INFO

## AVALANCHE PROBLEMS

NEW SNOW | WIND - DRIFTED SNOW | PERSISTENT WEAK LAYERS | WET SNOW | GLIDING SNOW | SNOW CORNICES | NO EVIDENT AVALANCHE PROBLEM. | NO INFO

According to EAWS standards Meteomont bulletin is a synoptic-scale system (regional scale). It shall be the user's responsibility to correlate the danger level evaluation of the bulletin with a detailed and expertise analysis of the zonal hazards (single slope), that could be markedly different. Meteorological forecast are issued at UTC (for Italy: in winter time UTC+1: in summer time UTC+2).

Bulletin is subjected to check processes through: the record of Observers and Avalanches and snow Experts data in C-Sifa; the validation by forecasters; the certification by Meteomont Section.

# TERMINILLO MONTI REATINI E LAGA OVEST

## WEATHER FORECAST FOR

| Elevation | | 02/02/2026 h6:00 | 02/02/2026 h12:00 | 02/02/2026 h18:00 |
|---|---|---|---|---|
| 1000 | Wind | 01 Knots from West | 01 Knots from West | 02 Knots from S-West |
| | Temperatures | +00 °C | +02 °C | +00 °C |
| | Wind chill | 0 °C | 2 °C | 0 °C |
| 2000 | Wind | 05 Knots from N-West | 04 Knots from West | 03 Knots from West |
| | Temperatures | -03 °C | -03 °C | -02 °C |
| | Wind chill | -7 °C | -6 °C | -4 °C |
| 3000 | Wind | 09 Knots from N-West | 09 Knots from West | 10 Knots from West |
| | Temperatures | -09 °C | -09 °C | -05 °C |
| | Wind chill | -16 °C | -16 °C | -11 °C |
| Freezing level | | 1200-1400 m. | 1600-1800 m. | 1300-1500 m. |
| Atmospheric phenomenon | | — | — | — |
| Keys to sky condition | | | | |

## KEYS TO ATMOSPHERIC PHENOMENON

— Absence of adverse weather phenomena
Fog
Mist
Light rain
Moderate rain
Heavy rain
Thunderstorm
Weak snowfall
Moderate snowfall
Heavy snowfall

## KEYS TO SKY CONDITION

Clear
Partly cloudy
Cloudy
Mostly cloudy
Overcast

## Weather and snow data recorded during field and out of field obsevations on 01/02/2026.

| Observation field | District | Elevation (m.a.s.l.) | Snow depth (cm) | Snowfall in previous 24 hours (cm) | Temp. Min (°C) | Temp. Max (°C) | General weather conditions |
|---|---|---|---|---|---|---|---|
| PESCHIERE | Amatrice (RI) | 1270 | 0 | 0 | -1 | +11 | Absence of rain or other precipitation |
| M. CAIDURO | Cittareale (RI) | 1300 | 13 | 0 | -1 | +12 | Absence of rain or other precipitation |
| VALLONINA | Leonessa (RI) | 1350 | 28 | 0 | -3 | +6 | Absence of rain or other precipitation |
| LA MALGA * | Micigliano (RI) | 1747 | 60 | 0 | -4 | -3 | Absence of rain or other precipitation |

(*) Out of field survey

**INFORMATION MEANS PREVENTION - SCAN QRCODE TO KNOW DAILY AVALANCHE DANGER LEVEL!**

**IL CAPO DEL CENTRO NAZIONALE METEOMONT**
**(Ten. Col. RFI Emanuela Gini)**
**FIRMA AUTOGRAFA OMESSA AI SENSI**
**DELL'ART.3 DEL D.LGS N.39/1993**

According to EAWS standards Meteomont bulletin is a synoptic-scale system (regional scale). It shall be the user's responsibility to correlate the danger level evaluation of the bulletin with a detailed and expertise analysis of the zonal hazards (single slope), that could be markedly different. Meteorological forecast are issued at UTC (for Italy: in winter time UTC+1: in summer time UTC+2).

Bulletin is subjected to check processes through: the record of Observers and Avalanches and snow Experts data in C-Sifa; the validation by forecasters; the certification by Meteomont Section.