Monday 02.02.2026

Updated 02 02 2026, 08:00

AM

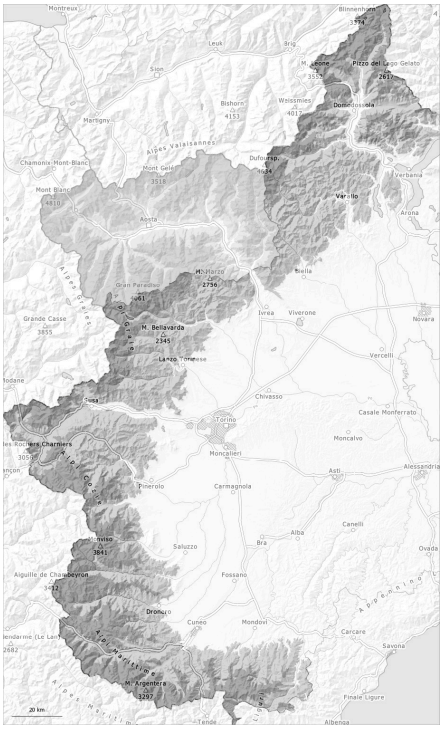

PM

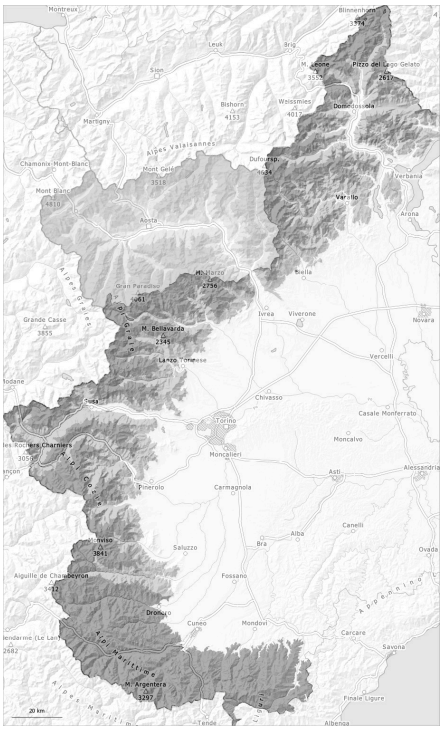

1	2	3	4	5
low	moderate	considerable	high	very high

Danger Level 3 - Considerable

AM:

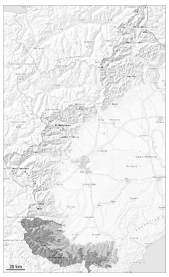

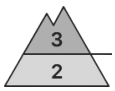

Treeline

Tendency: Increasing avalanche danger
on Tuesday 03 02 2026

Wind slab

Treeline

New snow

PM:

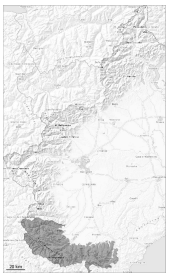

Tendency: Increasing avalanche danger
on Tuesday 03 02 2026

Wind slab

As a consequence of the sometimes strong wind the avalanche prone locations will become more prevalent.

As a consequence of a moderate to strong southwesterly wind, further wind slabs will form in the course of the day. They can be released by a single winter sport participant and reach large size. This applies in particular on steep slopes above the tree line, as well as in gullies and bowls, and behind abrupt changes in the terrain.
Down to low altitudes snow will fall from the afternoon. The avalanche prone locations are barely recognisable because of the poor visibility. Ski touring and other off-piste activities, including snowshoe hiking, call for caution and restraint.

Snowpack

Danger patterns dp.6: cold, loose snow and wind

Down to low altitudes snow will fall from the afternoon. As a consequence of the moderate to strong southwesterly wind, fresh snow drift accumulations will form.
The snowpack is soft; its surface consists of loosely bonded snow. This applies in shady places that are protected from the wind at low and intermediate altitudes.

Tendency

Increase in avalanche danger as a consequence of new snow and wind.

Danger Level 3 - Considerable

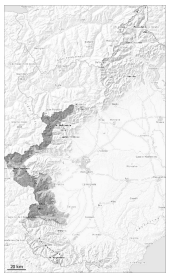

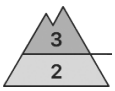

Treeline

Tendency: Constant avalanche danger
on Tuesday 03 02 2026

Wind slab

Treeline

Persistent
weak layer

At elevated altitudes a considerable avalanche danger will prevail. As a consequence of the sometimes moderate wind the avalanche prone locations will become more prevalent.

Some snow will fall in the afternoon. The avalanche prone locations are barely recognisable because of the poor visibility. Wind slabs can in some places be released by a single winter sport participant and reach large size. This applies in particular on steep slopes also above the tree line, as well as in gullies and bowls, and behind abrupt changes in the terrain at intermediate and high altitudes.
Avalanches can be released in deeper layers in particular on steep shady slopes. Whumpfing sounds and the formation of shooting cracks when stepping on the snowpack and natural avalanches are a clear indication of a weakly bonded snowpack.
Careful route selection and spacing between individuals are recommended.

Snowpack

Danger patterns dp.6: cold, loose snow and wind | dp.1: deep persistent weak layer

As a consequence of wind, further wind slabs will form. The new snow and wind slabs will be deposited on soft layers in particular on wind-protected shady slopes.

Intermediate and high altitudes: Isolated avalanche prone weak layers exist in the bottom section of the snowpack in particular on very steep shady slopes.

Danger Level 3 - Considerable

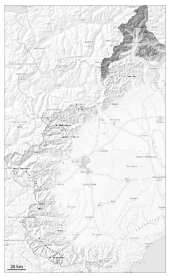

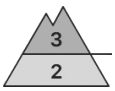

Treeline

Tendency: Constant avalanche danger
on Tuesday 03 02 2026

Wind slab

Treeline

Persistent
weak layer

At elevated altitudes a considerable avalanche danger will prevail. As a consequence of the moderate to strong wind the avalanche prone locations will become more prevalent as the day progresses.

In particular on steep slopes and adjacent to ridgelines and in pass areas medium-sized and, in isolated cases, large slab avalanches are possible as a consequence of the moderate wind.
The avalanche-prone wind slabs can be released by a single winter sport participant in some cases.
In particular on very steep shady slopes the avalanches can be released in deep layers of the snowpack and reach large size.
Some snow will fall from the afternoon.

Snowpack

Danger patterns dp.6: cold, loose snow and wind | dp.1: deep persistent weak layer

The moderate wind will transport the snow. The fresh wind slabs will be deposited on the unfavourable surface of an old snowpack.

Faceted weak layers exist in the snowpack on steep shady slopes.

Danger Level 3 - Considerable

AM:

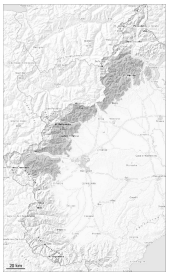

Tendency: Constant avalanche danger
on Tuesday 03 02 2026

Wind slab

PM:

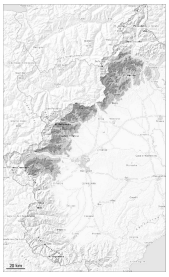

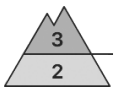

Treeline

Tendency: Constant avalanche danger
on Tuesday 03 02 2026

Wind slab

Treeline

Wind slab

Treeline

As a consequence of the sometimes strong wind the avalanche prone locations will become more prevalent as the day progresses.

As a consequence of a sometimes moderate wind, further wind slabs will form in the course of the day. They can be released, even by small loads in isolated cases and reach dangerously large size. This applies in particular on steep slopes above the tree line, as well as in gullies and bowls, and behind abrupt changes in the terrain.
Some snow will fall in the afternoon. The avalanche prone locations are barely recognisable because of the poor visibility. Ski touring and other off-piste activities, including snowshoe hiking, call for defensive route selection.

Snowpack

Danger patterns dp.6: cold, loose snow and wind | dp.1: deep persistent weak layer

The moderate wind will transport the snow. The fresh wind slabs will be deposited on unfavourable layers.

The snowpack is soft; its surface consists of loosely bonded snow. This applies in shady places that are protected from the wind also at low and intermediate altitudes.
Faceted weak layers exist in the snowpack on steep shady slopes.