MINISTERO DELLA DIFESA

meteomont Servizio Nazionale di previsione neve e valanghe

EAWS EUROPEAN AVALANCHE WARNING SERVICES

CARABINIERI

In collaborazione con: arpav

DOLOMITI MERIDIONALI

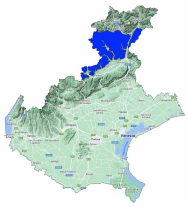

Avalanche Bulletin N. 335/2026 issued at 14:00 on 02/02/2026
48 hours validity. Next issue on 03/02/2026

By the METEOMONT Service of the ARMA dei CARABINIERI ITALY
In collaboration with Air Force Meteorological Service

Situation on 02/02/2026

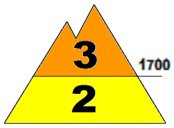

DANGER PATTERNS: snowfall after a long period of cold.

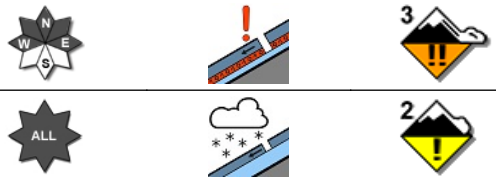

DANGER PATTERNS: no distinct danger pattern.

Snow line (m.a.s.l.)	North	South
	1100	1100

Snow depth (cm)	ground snow	new snow	Elevation (m.a.s.l.)
	95	00	1920
	58	00	1820

REGISTERED AVALANCHES: No avalanches detected.

FORECAST 03/02/2026

Danger level: CONSIDERABLE 3

DANGER PATTERNS: loose snow and wind.



DANGER PATTERNS: loose snow and wind.

SNOWPACK: Snowpack stability is very poor on many points (areas) above 1600 m.a.s.l. All aspects are critical. medium avalanches are possible.
Snowpack stability is poor on some points (areas) below 1600 m.a.s.l. All aspects are critical. Medium avalanches are possible.

WARNING

Due to new snow,careful route choice and an excellent evaluation of snowpack stability is required.

EUROPEAN AVALANCHE WARNING SERVICE

AVALANCHE PROBLEMS

According to EAWS standards Meteomont bulletin is a synoptic-scale system (regional scale). It shall be the user's responsibility to correlate the danger level evaluation of the bulletin with a detailed and expertise analysis of the zonal hazards (single slope), that could be markedly different. Meteorological forecast are issued at UTC (for Italy: in winter time UTC+1: in summer time UTC+2).

Bulletin is subjected to check processes through: the record of Observers and Avalanches and snow Experts data in C-Sifa; the validation by forecasters; the certification by Meteomont Section.

DOLOMITI MERIDIONALI

WEATHER FORECAST FOR

Elevation		03/02/2026 h6:00	03/02/2026 h12:00	03/02/2026 h18:00
1000	Wind	01 Knots from South	02 Knots from South	02 Knots from East
	Temperatures	-01 °C	+01 °C	+01 °C
	Wind chill	-1 °C	1 °C	1 °C
2000	Wind	08 Knots from South	09 Knots from S-West	04 Knots from S-West
	Temperatures	-04 °C	-02 °C	-02 °C
	Wind chill	-9 °C	-7 °C	-5 °C
3000	Wind	22 Knots from S-West	15 Knots from S-West	10 Knots from S-West
	Temperatures	-06 °C	-07 °C	-08 °C
	Wind chill	-15 °C	-15 °C	-15 °C
Freezing level		1000-1200 m.	1600-1800 m.	1200-1400 m.
Atmospheric phenomenon				—
Keys to sky condition				

KEYS TO ATMOSPHERIC PHENOMENON

— Absence of adverse weather phenomena
Fog
Mist
Light rain
Moderate rain
Heavy rain
Thunderstorm
Weak snowfall
Moderate snowfall
Heavy snowfall

KEYS TO SKY CONDITION

Clear
Partly cloudy
Cloudy
Mostly cloudy
Overcast

Weather and snow data recorded during field and out of field obsevations on 02/02/2026.

Observation field	District	Elevation (m.a.s.l.)	Snow depth (cm)	Snowfall in previous 24 hours (cm)	Temp. Min (°C)	Temp. Max (°C)	General weather conditions
LE BUSE	Falcade (BL)	1820	58	99	-11	+10	Absence of rain or other precipitation
COL BALDI *	Selva di Cadore (BL)	1920	95	0	-10	+9	Absence of rain or other precipitation

(*) Out of field survey

INFORMATION MEANS PREVENTION - SCAN QRCODE TO KNOW DAILY AVALANCHE DANGER LEVEL!

IL CAPO DEL CENTRO NAZIONALE METEOMONT
(Ten. Col. RFI Emanuela Gini)
FIRMA AUTOGRAFA OMESSA AI SENSI
DELL'ART.3 DEL D.LGS N.39/1993

According to EAWS standards Meteomont bulletin is a synoptic-scale system (regional scale). It shall be the user's responsibility to correlate the danger level evaluation of the bulletin with a detailed and expertise analysis of the zonal hazards (single slope), that could be markedly different. Meteorological forecast are issued at UTC (for Italy: in winter time UTC+1: in summer time UTC+2).

Bulletin is subjected to check processes through: the record of Observers and Avalanches and snow Experts data in C-Sifa; the validation by forecasters; the certification by Meteomont Section.