MINISTERO DELLA DIFESA

meteomont
Servizio Nazionale di previsione neve e valanghe

EAWS EUROPEAN AVALANCHE WARNING SERVICES

CARABINIERI

ALPI RETICHE

Avalanche Bulletin N. 335/2026 issued at 14:00 on 02/02/2026
48 hours validity. Next issue on 03/02/2026

By the METEOMONT Service of the ARMA dei CARABINIERI ITALY
In collaboration with Air Force Meteorological Service

Situation on 02/02/2026

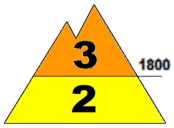

DANGER PATTERNS: buried surface hoar.

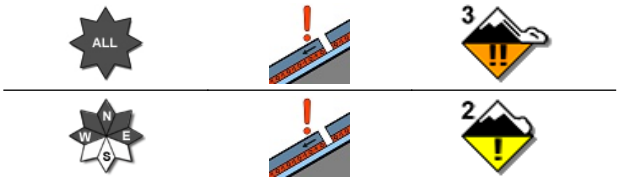

DANGER PATTERNS: shallow snow next to deep snow.

Snow line (m.a.s.l.)	North	South
	1000	1400 - 1600

Snow depth (cm)	ground snow	new snow	Elevation (m.a.s.l.)
	60-100	0	2500
	30-60	0	1600

REGISTERED AVALANCHES: Some large avalanches, Full-depth loose snow avalanches.

FORECAST 03/02/2026

Danger level: HIGH 4

DANGER PATTERNS: buried surface hoar.

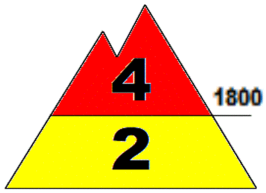

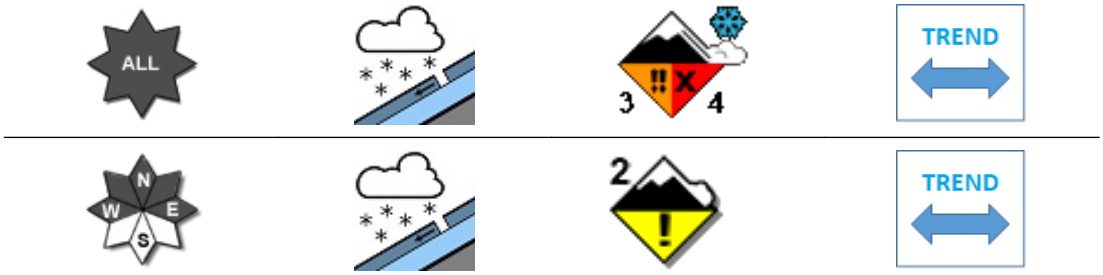

DANGER PATTERNS: buried surface hoar.

SNOWPACK: Snowpack stability is very poor on many points (areas) above 1800 m.a.s.l. All aspects are critical. large avalanches are possible.
Snowpack stability is poor on some points (areas) below 1800 m.a.s.l. All From west to east-facing slopes are critical. Medium avalanches are possible.

WARNING

Due to severe weather conditions forecast, outdoor activities beyond the maintained and marked tracks are restricted. If practiced,expertise in the evaluation of local danger points is required.

EUROPEAN AVALANCHE WARNING SERVICE

AVALANCHE PROBLEMS

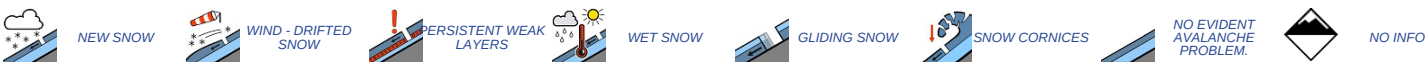

According to EAWS standards Meteomont bulletin is a synoptic-scale system (regional scale). It shall be the user's responsibility to correlate the danger level evaluation of the bulletin with a detailed and expertise analysis of the zonal hazards (single slope), that could be markedly different. Meteorological forecast are issued at UTC (for Italy: in winter time UTC+1: in summer time UTC+2).

Bulletin is subjected to check processes through: the record of Observers and Avalanches and snow Experts data in C-Sifa; the validation by forecasters; the certification by Meteomont Section.

ALPI RETICHE

WEATHER FORECAST FOR

Elevation		03/02/2026 h6:00	03/02/2026 h12:00	03/02/2026 h18:00
1000	Wind	02 Knots from S-East	01 Knots from S-East	01 Knots from S-East
	Temperatures	-04 °C	-03 °C	-03 °C
	Wind chill	-4 °C	-3 °C	-3 °C
2000	Wind	02 Knots from S-East	01 Knots from S-East	01 Knots from S-East
	Temperatures	-04 °C	-03 °C	-03 °C
	Wind chill	-4 °C	-3 °C	-3 °C
3000	Wind	18 Knots from South	08 Knots from S-West	05 Knots from S-West
	Temperatures	-07 °C	-10 °C	-10 °C
	Wind chill	-16 °C	-17 °C	-15 °C
Freezing level		1200-1400 m.	1400-1600 m.	1400-1600 m.
Atmospheric phenomenon				
Keys to sky condition				

KEYS TO ATMOSPHERIC PHENOMENON

Absence of adverse weather phenomena · Fog · Mist · Light rain · Moderate rain · Heavy rain · Thunderstorm · Weak snowfall · Moderate snowfall · Heavy snowfall

KEYS TO SKY CONDITION

Clear · Partly cloudy · Cloudy · Mostly cloudy · Overcast

Weather and snow data recorded during field and out of field obsevations on 02/02/2026.

Observation field	District	Elevation (m.a.s.l.)	Snow depth (cm)	Snowfall in previous 24 hours (cm)	Temp. Min (°C)	Temp. Max (°C)	General weather conditions
VALAR	Valdidentro (SO)	1930	59	0	-13	+2	Absence of rain or other precipitation
DOSSO DEL VALLONE	Valfurva (SO)	2582	60	0	-14	-3	Absence of rain or other precipitation
STODEGARDA *	Vione (BS)	1568	17	0	N.P.	N.P.	Absence of rain or other precipitation
ALPE PALU'	Chiesa in Valmalenco (SO)	2010	69	0	-10	0	Absence of rain or other precipitation
COLONIA VIGILI	Ponte di Legno (BS)	1640	58	0	-10	+3	Absence of rain or other precipitation
DOSSO LE PONE *	Valdisotto (SO)	2522	101	0	N.P.	N.P.	Absence of rain or other precipitation

(*) Out of field survey

INFORMATION MEANS PREVENTION - SCAN QRCODE TO KNOW DAILY AVALANCHE DANGER LEVEL!

IL CAPO DEL CENTRO NAZIONALE METEOMONT
(Ten. Col. RFI Emanuela Gini)
FIRMA AUTOGRAFA OMESSA AI SENSI
DELL'ART.3 DEL D.LGS N.39/1993

According to EAWS standards Meteomont bulletin is a synoptic-scale system (regional scale). It shall be the user's responsibility to correlate the danger level evaluation of the bulletin with a detailed and expertise analysis of the zonal hazards (single slope), that could be markedly different. Meteorological forecast are issued at UTC (for Italy: in winter time UTC+1: in summer time UTC+2).

Bulletin is subjected to check processes through: the record of Observers and Avalanches and snow Experts data in C-Sifa; the validation by forecasters; the certification by Meteomont Section.