MINISTERO DELLA DIFESA

meteomont
Servizio Nazionale di previsione neve e valanghe

EAWS EUROPEAN AVALANCHE WARNING SERVICES

CARABINIERI

ALPI OROBICHE

Avalanche Bulletin N. 333/2026 issued at 14:00 on 02/02/2026
48 hours validity. Next issue on 03/02/2026

By the METEOMONT Service of the ARMA dei CARABINIERI ITALY
In collaboration with Air Force Meteorological Service

Situation on 02/02/2026

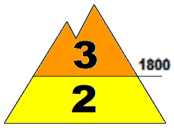

DANGER PATTERNS: cold on warm / warm on cold.

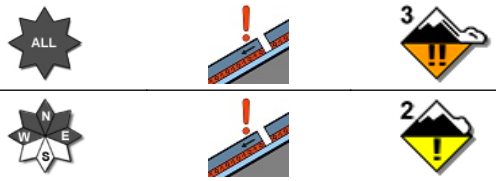

DANGER PATTERNS: shallow snow next to deep snow.

Snow line (m.a.s.l.)	North	South
	900 - 1200	1200 - 1600

Snow depth (cm)	ground snow	new snow	Elevation (m.a.s.l.)
	100	0	2280
	56	0	1635

REGISTERED AVALANCHES: No avalanches detected.

FORECAST 03/02/2026

Danger level: HIGH 4

DANGER PATTERNS: buried surface hoar.

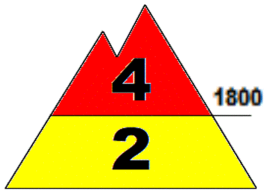

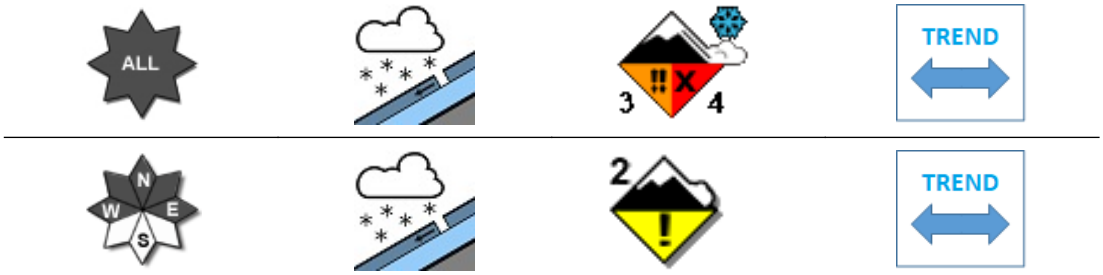

DANGER PATTERNS: buried surface hoar.

SNOWPACK: Snowpack stability is very poor on many points (areas) above 1800 m.a.s.l. All aspects are critical. large avalanches are possible.
Snowpack stability is poor on some points (areas) below 1800 m.a.s.l. All From west to east-facing slopes are critical. Medium avalanches are possible.

WARNING

Due to severe weather conditions forecast, outdoor activities beyond the maintained and marked tracks are restricted. If practiced,expertise in the evaluation of local danger points is required.

EUROPEAN AVALANCHE WARNING SERVICE

AVALANCHE PROBLEMS

According to EAWS standards Meteomont bulletin is a synoptic-scale system (regional scale). It shall be the user's responsibility to correlate the danger level evaluation of the bulletin with a detailed and expertise analysis of the zonal hazards (single slope), that could be markedly different. Meteorological forecast are issued at UTC (for Italy: in winter time UTC+1: in summer time UTC+2).

Bulletin is subjected to check processes through: the record of Observers and Avalanches and snow Experts data in C-Sifa; the validation by forecasters; the certification by Meteomont Section.

ALPI OROBICHE

WEATHER FORECAST FOR

Elevation		03/02/2026 h6:00	03/02/2026 h12:00	03/02/2026 h18:00
1000	Wind	03 Knots from South	01 Knots from S-West	01 Knots from S-East
	Temperatures	-01 °C	-02 °C	-02 °C
	Wind chill	-3 °C	-2 °C	-2 °C
2000	Wind	07 Knots from South	02 Knots from S-West	02 Knots from South
	Temperatures	-02 °C	-04 °C	-04 °C
	Wind chill	-6 °C	-4 °C	-4 °C
3000	Wind	23 Knots from South	11 Knots from S-West	09 Knots from S-West
	Temperatures	-06 °C	-10 °C	-11 °C
	Wind chill	-16 °C	-18 °C	-18 °C
Freezing level		1600-1800 m.	1500-1700 m.	1400-1600 m.
Atmospheric phenomenon				
Keys to sky condition				

KEYS TO ATMOSPHERIC PHENOMENON

Absence of adverse weather phenomena · Fog · Mist · Light rain · Moderate rain · Heavy rain · Thunderstorm · Weak snowfall · Moderate snowfall · Heavy snowfall

KEYS TO SKY CONDITION

Clear · Partly cloudy · Cloudy · Mostly cloudy · Overcast

Weather and snow data recorded during field and out of field obsevations on 02/02/2026.

Observation field	District	Elevation (m.a.s.l.)	Snow depth (cm)	Snowfall in previous 24 hours (cm)	Temp. Min (°C)	Temp. Max (°C)	General weather conditions
VODALA	Gromo (BG)	1635	58	0	-7	+2	Absence of rain or other precipitation
QUARTA BAITA	Foppolo (BG)	1760	55	0	-8	+2	Absence of rain or other precipitation
CIMA BIANCA	Colere (BG)	2080	105	0	-8	+3	Absence of rain or other precipitation
LAGO BRANCHINO *	Ardesio (BG)	1672	60	0	N.P.	N.P.	Absence of rain or other precipitation
PIZZO MERIGGIO *	Albosaggia (SO)	2282	101	0	N.P.	N.P.	Absence of rain or other precipitation

(*) Out of field survey

INFORMATION MEANS PREVENTION - SCAN QRCODE TO KNOW DAILY AVALANCHE DANGER LEVEL!

IL CAPO DEL CENTRO NAZIONALE METEOMONT
(Ten. Col. RFI Emanuela Gini)
FIRMA AUTOGRAFA OMESSA AI SENSI
DELL'ART.3 DEL D.LGS N.39/1993

According to EAWS standards Meteomont bulletin is a synoptic-scale system (regional scale). It shall be the user's responsibility to correlate the danger level evaluation of the bulletin with a detailed and expertise analysis of the zonal hazards (single slope), that could be markedly different. Meteorological forecast are issued at UTC (for Italy: in winter time UTC+1: in summer time UTC+2).

Bulletin is subjected to check processes through: the record of Observers and Avalanches and snow Experts data in C-Sifa; the validation by forecasters; the certification by Meteomont Section.