MINISTERO DELLA DIFESA

meteomont Servizio Nazionale di previsione neve e valanghe

EAWS EUROPEAN AVALANCHE WARNING SERVICES

CARABINIERI

# ALPI PENNINE

Avalanche Bulletin N. 334/2026 issued at 14:00 on 02/02/2026
48 hours validity. Next issue on 03/02/2026

**By the METEOMONT Service of the ARMA dei CARABINIERI ITALY**
**In collaboration with Air Force Meteorological Service**

## Situation on 02/02/2026

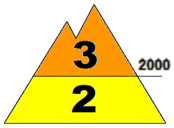


**DANGER PATTERNS: loose snow and wind.**




**DANGER PATTERNS: no distinct danger pattern.**

| Snow line (m.a.s.l.) | North | South |
|---|---|---|
| | 800 | 900 |

| Snow depth (cm) | ground snow | new snow | Elevation (m.a.s.l.) |
|---|---|---|---|
| | 065 | 000 | 2820 |
| | 050 | 000 | 1360 |

**REGISTERED AVALANCHES: Small avalanches, Slab surface avalanches.**

## FORECAST 03/02/2026

# Danger level: CONSIDERABLE 3

## DANGER PATTERNS: no distinct danger pattern.

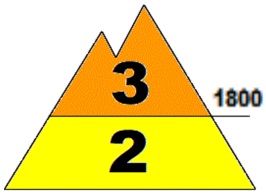


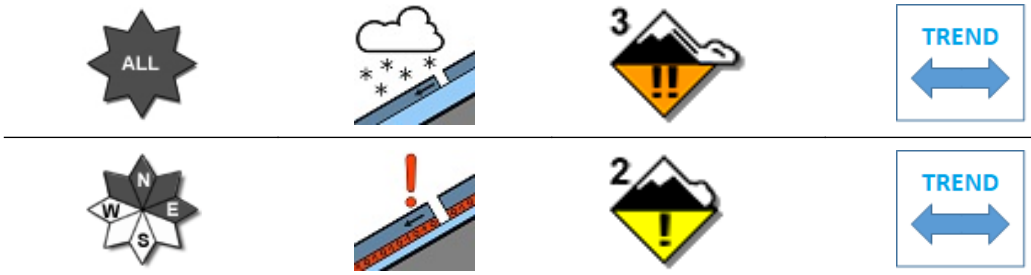


## DANGER PATTERNS: no distinct danger pattern.

**SNOWPACK: Snowpack stability is poor on many points (areas) above 1800 m.a.s.l. All aspects are critical. medium avalanches are possible.**
**Snowpack stability is poor on some points (areas) below 1800 m.a.s.l. All Shaddy slopes are critical. Medium avalanches are possible.**

## WARNING

Due to the forecast of severe weather conditions and reduced visibility forecast,route choice and evaluation will become difficult.

## EUROPEAN AVALANCHE WARNING SERVICE

## AVALANCHE PROBLEMS

According to EAWS standards Meteomont bulletin is a synoptic-scale system (regional scale). It shall be the user's responsibility to correlate the danger level evaluation of the bulletin with a detailed and expertise analysis of the zonal hazards (single slope), that could be markedly different. Meteorological forecast are issued at UTC (for Italy: in winter time UTC+1: in summer time UTC+2).

Bulletin is subjected to check processes through: the record of Observers and Avalanches and snow Experts data in C-Sifa; the validation by forecasters; the certification by Meteomont Section.

# ALPI PENNINE

## WEATHER FORECAST FOR

| Elevation | | 03/02/2026 h6:00 | 03/02/2026 h12:00 | 03/02/2026 h18:00 |
|---|---|---|---|---|
| 1000 | Wind | 02 Knots from N-East | 02 Knots from N-East | 02 Knots from N-East |
| | Temperatures | -04 °C | -03 °C | -03 °C |
| | Wind chill | -4 °C | -3 °C | -3 °C |
| 2000 | Wind | 04 Knots from N-East | 03 Knots from N-East | 03 Knots from N-East |
| | Temperatures | -06 °C | -06 °C | -06 °C |
| | Wind chill | -10 °C | -9 °C | -9 °C |
| 3000 | Wind | 07 Knots from South | 13 Knots from S-West | 06 Knots from South |
| | Temperatures | -10 °C | -09 °C | -11 °C |
| | Wind chill | -16 °C | -17 °C | -17 °C |
| Freezing level | | 0800-1000 m. | 1000-1200 m. | 1000-1200 m. |
| Atmospheric phenomenon | | | — | — |
| Keys to sky condition | | | | |

## KEYS TO ATMOSPHERIC PHENOMENON

— Absence of adverse weather phenomena
Fog
Mist
Light rain
Moderate rain
Heavy rain
Thunderstorm
Weak snowfall
Moderate snowfall
Heavy snowfall

## KEYS TO SKY CONDITION

Clear
Partly cloudy
Cloudy
Mostly cloudy
Overcast

## Weather and snow data recorded during field and out of field obsevations on 02/02/2026.

| Observation field | District | Elevation (m.a.s.l.) | Snow depth (cm) | Snowfall in previous 24 hours (cm) | Temp. Min (°C) | Temp. Max (°C) | General weather conditions |
|---|---|---|---|---|---|---|---|
| ALPE LUSENTINO | Domodossola (VB) | 1184 | 25 | 0 | -1 | +6 | Absence of rain or other precipitation |
| OPACO DI PECETTO | Macugnaga (VB) | 1330 | 59 | N.P. | N.P. | N.P. | Absence of rain or other precipitation |
| PIANALUNGA | Alagna Valsesia (VC) | 2025 | 70 | 0 | -12 | -7 | Absence of rain or other precipitation |

**(*) Out of field survey**

**INFORMATION MEANS PREVENTION - SCAN QRCODE TO KNOW DAILY AVALANCHE DANGER LEVEL!**

**IL CAPO DEL CENTRO NAZIONALE METEOMONT**
**(Ten. Col. RFI Emanuela Gini)**
**FIRMA AUTOGRAFA OMESSA AI SENSI**
**DELL'ART.3 DEL D.LGS N.39/1993**