MINISTERO DELLA DIFESA

meteomont
Servizio Nazionale di previsione neve e valanghe

EAWS EUROPEAN AVALANCHE WARNING SERVICES

CARABINIERI

# ALPI COZIE NORD

Avalanche Bulletin N. 333/2026 issued at 14:00 on 02/02/2026
48 hours validity. Next issue on 03/02/2026

**By the METEOMONT Service of the ARMA dei CARABINIERI ITALY**
**In collaboration with Air Force Meteorological Service**

## Situation on 02/02/2026

**DANGER PATTERNS: loose snow and wind.**

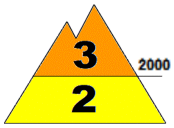





**DANGER PATTERNS: no distinct danger pattern.**

| Snow line (m.a.s.l.) | North | South |
|---|---|---|
| | 1000 | 1200 |

| Snow depth (cm) | ground snow | new snow | Elevation (m.a.s.l.) |
|---|---|---|---|
| | 119 | 000 | 2280 |
| | 075 | 000 | 1840 |

**REGISTERED AVALANCHES: No avalanches detected.**

## FORECAST 03/02/2026

# Danger level: CONSIDERABLE 3

## DANGER PATTERNS: no distinct danger pattern.

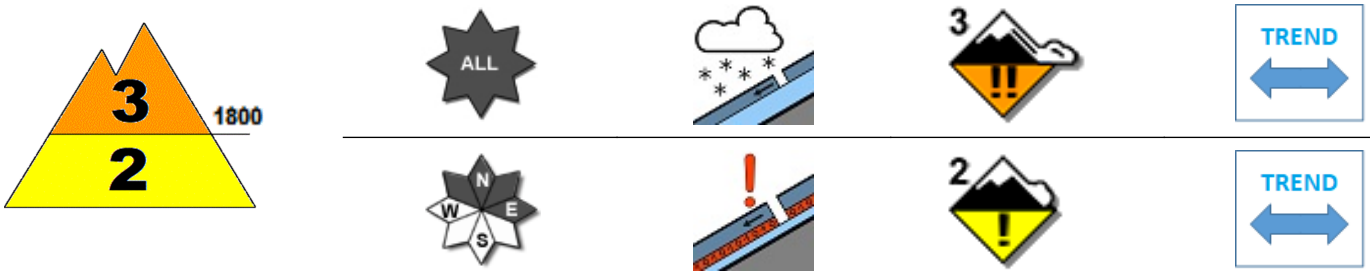


## DANGER PATTERNS: no distinct danger pattern.

**SNOWPACK: Snowpack stability is poor on many points (areas) above 1800 m.a.s.l. All aspects are critical. medium avalanches are possible.**
**Snowpack stability is poor on some points (areas) below 1800 m.a.s.l. All Shaddy slopes are critical. Medium avalanches are possible.**

## WARNING

Due to the forecast of severe weather conditions and reduced visibility forecast,route choice and evaluation will become difficult.

## EUROPEAN AVALANCHE WARNING SERVICE

## AVALANCHE PROBLEMS

According to EAWS standards Meteomont bulletin is a synoptic-scale system (regional scale). It shall be the user's responsibility to correlate the danger level evaluation of the bulletin with a detailed and expertise analysis of the zonal hazards (single slope), that could be markedly different. Meteorological forecast are issued at UTC (for Italy: in winter time UTC+1: in summer time UTC+2).

Bulletin is subjected to check processes through: the record of Observers and Avalanches and snow Experts data in C-Sifa; the validation by forecasters; the certification by Meteomont Section.

MINISTERO DELLA DIFESA

meteomont
Servizio Nazionale di previsione neve e valanghe

EAWS EUROPEAN AVALANCHE WARNING SERVICES

CARABINIERI

# ALPI COZIE NORD

## WEATHER FORECAST FOR

| Elevation | | 03/02/2026 h6:00 | 03/02/2026 h12:00 | 03/02/2026 h18:00 |
|---|---|---|---|---|
| 1000 | Wind | 01 Knots from West | 02 Knots from S-East | 01 Knots from S-East |
| | Temperatures | -04 °C | -04 °C | -04 °C |
| | Wind chill | -4 °C | -4 °C | -4 °C |
| 2000 | Wind | 01 Knots from South | 02 Knots from South | 02 Knots from S-East |
| | Temperatures | -06 °C | -05 °C | -07 °C |
| | Wind chill | -6 °C | -5 °C | -7 °C |
| 3000 | Wind | 13 Knots from S-West | 11 Knots from S-West | 08 Knots from S-West |
| | Temperatures | -09 °C | -09 °C | -09 °C |
| | Wind chill | -17 °C | -17 °C | -15 °C |
| Freezing level | | 0900-1100 m. | 0900-1100 m. | 0900-1100 m. |
| Atmospheric phenomenon | | | — | — |
| Keys to sky condition | | | | |

## KEYS TO ATMOSPHERIC PHENOMENON

— Absence of adverse weather phenomena
Fog
Mist
Light rain
Moderate rain
Heavy rain
Thunderstorm
Weak snowfall
Moderate snowfall
Heavy snowfall

## KEYS TO SKY CONDITION

Clear
Partly cloudy
Cloudy
Mostly cloudy
Overcast

## Weather and snow data recorded during field and out of field obsevations on 02/02/2026.

| Observation field | District | Elevation (m.a.s.l.) | Snow depth (cm) | Snowfall in previous 24 hours (cm) | Temp. Min (°C) | Temp. Max (°C) | General weather conditions |
|---|---|---|---|---|---|---|---|
| PRINCIPI | Sestriere (TO) | 2000 | 90 | 0 | -11 | -2 | Absence of rain or other precipitation |
| PRAGELATO | Pragelato (TO) | 1550 | 70 | 0 | -12 | +4 | Absence of rain or other precipitation |
| MONTE BANCHETTA * | Pragelato (TO) | 2610 | 93 | 0 | N.P. | N.P. | Absence of rain or other precipitation |

(*) Out of field survey

**INFORMATION MEANS PREVENTION - SCAN QRCODE TO KNOW DAILY AVALANCHE DANGER LEVEL!**

IL CAPO DEL CENTRO NAZIONALE METEOMONT
(Ten. Col. RFI Emanuela Gini)
FIRMA AUTOGRAFA OMESSA AI SENSI
DELL'ART.3 DEL D.LGS N.39/1993

According to EAWS standards Meteomont bulletin is a synoptic-scale system (regional scale). It shall be the user's responsibility to correlate the danger level evaluation of the bulletin with a detailed and expertise analysis of the zonal hazards (single slope), that could be markedly different. Meteorological forecast are issued at UTC (for Italy: in winter time UTC+1: in summer time UTC+2).

Bulletin is subjected to check processes through: the record of Observers and Avalanches and snow Experts data in C-Sifa; the validation by forecasters; the certification by Meteomont Section.