MINISTERO DELLA DIFESA

meteomont Servizio Nazionale di previsione neve e valanghe

EAWS EUROPEAN AVALANCHE WARNING SERVICES

CARABINIERI

APPENNINO EMILIANO CENTRALE

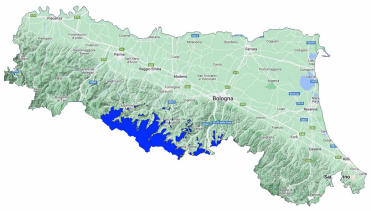

Avalanche Bulletin N. 306/2026 issued at 14:00 on 02/02/2026
48 hours validity. Next issue on 03/02/2026

By the METEOMONT Service of the ARMA dei CARABINIERI ITALY
In collaboration with Air Force Meteorological Service

Situation on 02/02/2026

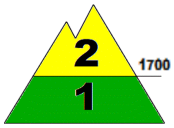

DANGER PATTERNS: shallow snow next to deep snow.

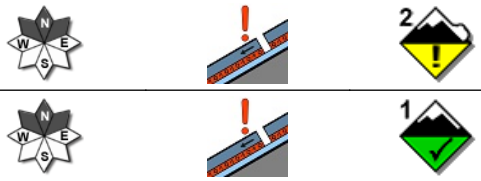

DANGER PATTERNS: shallow snow next to deep snow.

Snow line (m.a.s.l.)	North	South
	1200 - 1300	1300

Snow depth (cm)	ground snow	new snow	Elevation (m.a.s.l.)
	088	000	1840
	028	000	1550

REGISTERED AVALANCHES: No avalanches detected.

FORECAST 03/02/2026

Danger level: MODERATE 2

DANGER PATTERNS: loose snow and wind.



DANGER PATTERNS: rain on snow.

SNOWPACK: Snowpack stability is poor on some points (areas) above 1800 m.a.s.l. All North-facing slopes are critical. medium avalanches are possible.
Snowpack stability is moderate on few points (areas) below 1800 m.a.s.l. All aspects are critical. Small avalanches are possible.

WARNING

Due to severe weather conditions forecast, do not attempt to practice outdoor activities beyond the maintained and marked tracks are not advised.

EUROPEAN AVALANCHE WARNING SERVICE

AVALANCHE PROBLEMS

According to EAWS standards Meteomont bulletin is a synoptic-scale system (regional scale). It shall be the user's responsibility to correlate the danger level evaluation of the bulletin with a detailed and expertise analysis of the zonal hazards (single slope), that could be markedly different. Meteorological forecast are issued at UTC (for Italy: in winter time UTC+1: in summer time UTC+2).

Bulletin is subjected to check processes through: the record of Observers and Avalanches and snow Experts data in C-Sifa; the validation by forecasters; the certification by Meteomont Section.

APPENNINO EMILIANO CENTRALE

WEATHER FORECAST FOR

Elevation		03/02/2026 h6:00	03/02/2026 h12:00	03/02/2026 h18:00
1000	Wind	07 Knots from South	04 Knots from S-West	02 Knots from South
	Temperatures	+04 °C	+05 °C	+03 °C
	Wind chill	1 °C	3 °C	3 °C
2000	Wind	28 Knots from South	18 Knots from S-West	07 Knots from South
	Temperatures	+01 °C	-01 °C	-02 °C
	Wind chill	-7 °C	-8 °C	-6 °C
3000	Wind	26 Knots from S-West	19 Knots from S-West	09 Knots from S-West
	Temperatures	-04 °C	-06 °C	-08 °C
	Wind chill	-13 °C	-15 °C	-15 °C
Freezing level		2200-2400 m.	1700-1900 m.	1700-1900 m.
Atmospheric phenomenon			—	—
Keys to sky condition				

KEYS TO ATMOSPHERIC PHENOMENON

— Absence of adverse weather phenomena
Fog
Mist
Light rain
Moderate rain
Heavy rain
Thunderstorm
Weak snowfall
Moderate snowfall
Heavy snowfall

KEYS TO SKY CONDITION

Clear
Partly cloudy
Cloudy
Mostly cloudy
Overcast

Weather and snow data recorded during field and out of field obsevations on 02/02/2026.

Observation field	District	Elevation (m.a.s.l.)	Snow depth (cm)	Snowfall in previous 24 hours (cm)	Temp. Min (°C)	Temp. Max (°C)	General weather conditions
MONTE CUSNA	Villa Minozzo (RE)	1164	0	0	N.P.	N.P.	Absence of rain or other precipitation
RIFUGIO CAVONE	Lizzano in Belvedere (BO)	1416	37	0	-5	-2	Absence of rain or other precipitation
LAGO DELLA NINFA	Sestola (MO)	1550	29	0	-3	+1	Absence of rain or other precipitation
PIANCAVALLARO	Riolunato (MO)	1840	88	0	N.P.	N.P.	Precipitation on the horizon

(*) Out of field survey

INFORMATION MEANS PREVENTION - SCAN QRCODE TO KNOW DAILY AVALANCHE DANGER LEVEL!

IL CAPO DEL CENTRO NAZIONALE METEOMONT
(Ten. Col. RFI Emanuela Gini)
FIRMA AUTOGRAFA OMESSA AI SENSI
DELL'ART.3 DEL D.LGS N.39/1993