aineva.it

Wednesday 04.02.2026

Published 03 02 2026, 17:00

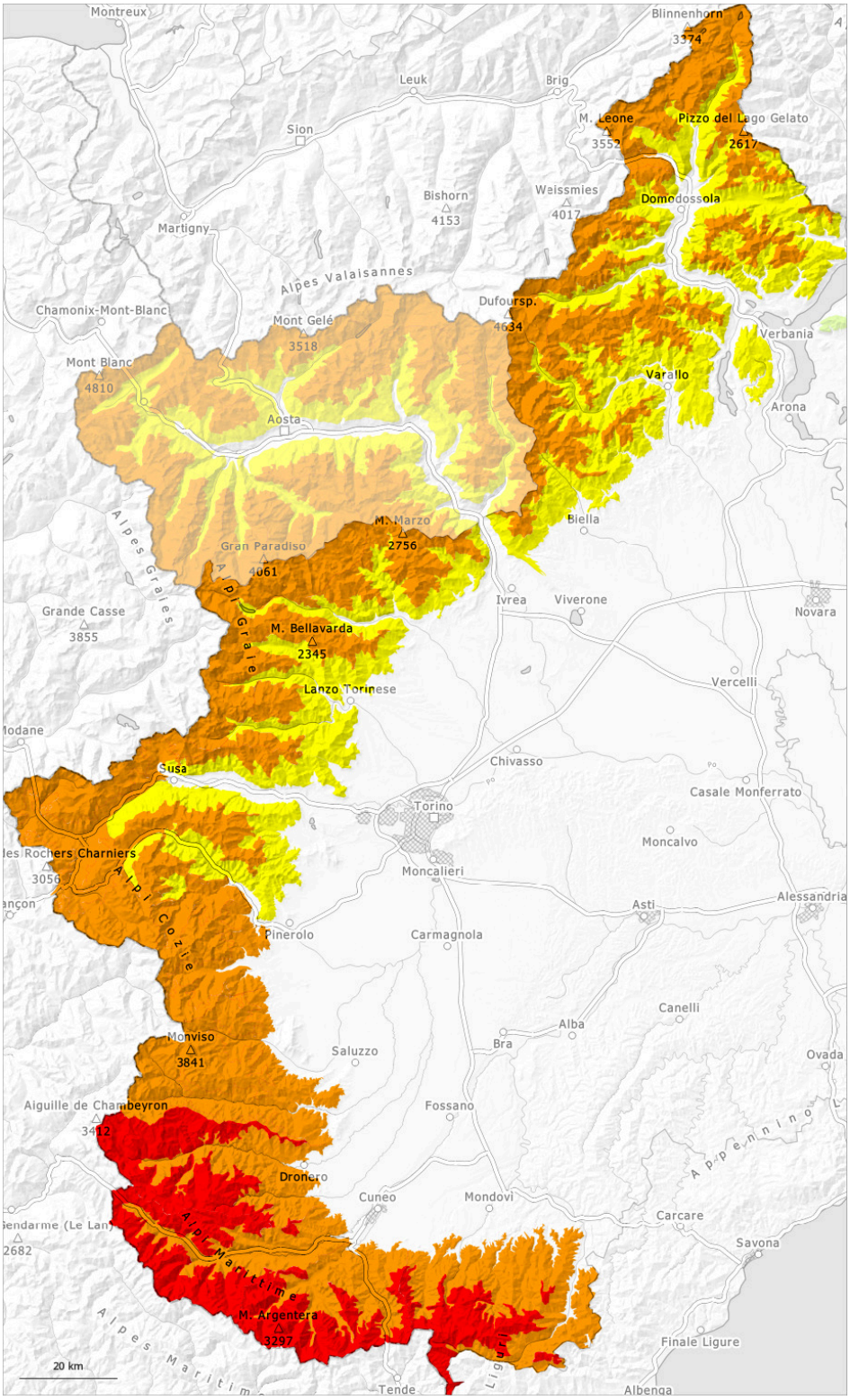

1	2	3	4	5
low	moderate	considerable	high	very high

Danger Level 4 - High

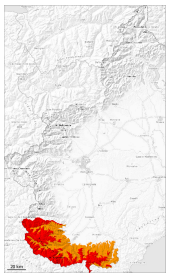

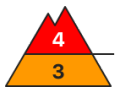

Treeline

Tendency: Decreasing avalanche danger
on Thursday 05 02 2026

Wind slab

Treeline

New snow

At intermediate and high altitudes a critical avalanche situation will be encountered over a wide area. New snow and wind slabs represent the main danger.

As a consequence of new snow and a strong southwesterly wind, avalanche prone wind slabs formed. They can be released easily and reach very large size. This applies in particular on steep slopes above the tree line, as well as in gullies and bowls, and behind abrupt changes in the terrain. In many cases avalanches can be triggered in the various wind slab layers.
The avalanche prone locations are barely recognisable because of the poor visibility.
Whumpfing sounds and the formation of shooting cracks when stepping on the snowpack and natural avalanches are a clear indication of a weakly bonded snowpack.
It is inadvisable to engage in backcountry touring outside marked and open pistes.

Snowpack

Danger patterns dp.6: cold, loose snow and wind

Over a wide area 30 to 40 cm of snow, and even more in some localities, fell yesterday. As a consequence of the strong southwesterly wind, fresh snow drift accumulations formed.
Over a wide area new snow and wind slabs are lying on a weakly bonded old snowpack.

Danger Level 3 - Considerable

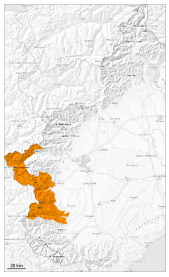

Tendency: Constant avalanche danger
on Thursday 05 02 2026

Wind slab

Considerable avalanche danger will prevail. The new snow and wind slabs represent the main danger.

As a consequence of new snow and a moderate wind, sometimes large wind slabs formed. Wind slabs can be released, even by a single winter sport participant. This applies in particular on steep slopes, as well as in gullies and bowls, and behind abrupt changes in the terrain also at intermediate altitudes.
The avalanche prone locations are barely recognisable because of the poor visibility. Whumpfing sounds and the formation of shooting cracks when stepping on the snowpack and natural avalanches are a clear indication of a weakly bonded snowpack.
Avalanches can be released in deeper layers in particular on steep shady slopes.
Careful route selection and spacing between individuals are recommended.

Snowpack

Danger patterns dp.6: cold, loose snow and wind | dp.1: deep persistent weak layer

Over a wide area 15 to 20 cm of snow, and even more in some localities, fell yesterday. As a consequence of new snow and a moderate to strong wind from southerly directions, precarious wind slabs formed in particular above the tree line. The new snow and wind slabs are lying on soft layers in particular on wind-protected shady slopes.

Intermediate and high altitudes: Isolated avalanche prone weak layers exist in the bottom section of the snowpack in particular on very steep shady slopes.

Danger Level 3 - Considerable

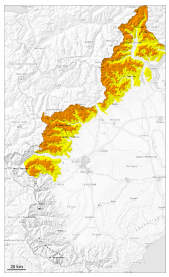

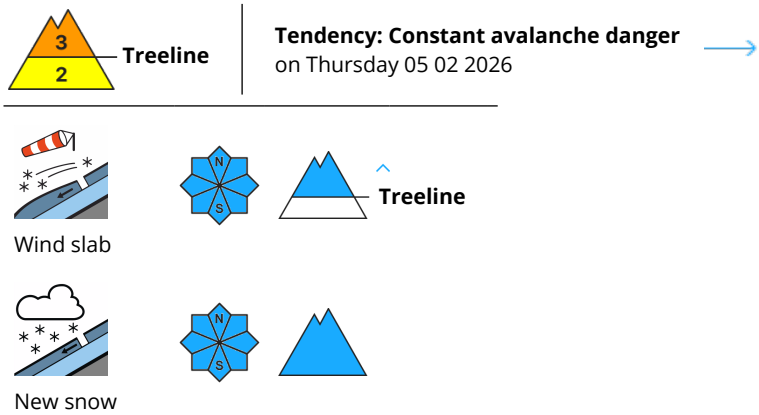

At intermediate and high altitudes a considerable avalanche danger will prevail.

As a consequence of new snow and wind from southerly directions, avalanche prone wind slabs formed. This applies in particular on steep slopes, as well as in gullies and bowls, and behind abrupt changes in the terrain also at intermediate altitudes. The fresh wind slabs can be released by small loads.
The avalanche prone locations are barely recognisable because of the poor visibility.
Avalanches can be released in deeper layers in particular on steep shady slopes.
Maintaining distances between individuals and one-at-a-time descents are recommended.

Snowpack

Danger patterns dp.6: cold, loose snow and wind | dp.1: deep persistent weak layer

Up to 10 cm of snow fell yesterday. As a consequence of new snow and a moderate wind, further wind slabs formed on Tuesday. The new snow and wind slabs are lying on soft layers in particular on wind-protected shady slopes.

Intermediate and high altitudes: Isolated avalanche prone weak layers exist in the bottom section of the snowpack in particular on very steep shady slopes.