MINISTERO DELLA DIFESA

meteomont
Servizio Nazionale di previsione neve e valanghe

EAWS EUROPEAN AVALANCHE WARNING SERVICES

CARABINIERI

ALPI CARNICHE ORIENTALI

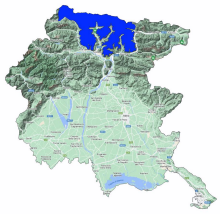

Avalanche Bulletin N. 333/2026 issued at 14:00 on 03/02/2026
48 hours validity. Next issue on 04/02/2026
By the METEOMONT Service of the ARMA dei CARABINIERI ITALY
In collaboration with Air Force Meteorological Service

Situation on 03/02/2026

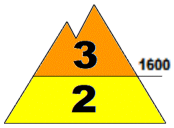

DANGER PATTERNS: loose snow and wind.

DANGER PATTERNS: loose snow and wind.

Snow line (m.a.s.l.)	North	South
	600	600

Snow depth (cm)	ground snow	new snow	Elevation (m.a.s.l.)
	70	05	1761
	35	02	1327

REGISTERED AVALANCHES: -.

FORECAST 04/02/2026

Danger level: CONSIDERABLE 3

DANGER PATTERNS: loose snow and wind.



DANGER PATTERNS: loose snow and wind.

SNOWPACK: Snowpack stability is poor on many points (areas) above 1600 m.a.s.l. All aspects are critical. medium avalanches are possible.
Snowpack stability is poor on some points (areas) below 1600 m.a.s.l. All aspects are critical. Medium avalanches are possible.

WARNING

Due to new snow,careful route choice and an excellent evaluation of snowpack stability is required.

EUROPEAN AVALANCHE WARNING SERVICE

AVALANCHE PROBLEMS

According to EAWS standards Meteomont bulletin is a synoptic-scale system (regional scale). It shall be the user's responsibility to correlate the danger level evaluation of the bulletin with a detailed and expertise analysis of the zonal hazards (single slope), that could be markedly different. Meteorological forecast are issued at UTC (for Italy: in winter time UTC+1: in summer time UTC+2).

Bulletin is subjected to check processes through: the record of Observers and Avalanches and snow Experts data in C-Sifa; the validation by forecasters; the certification by Meteomont Section.

ALPI CARNICHE ORIENTALI

WEATHER FORECAST FOR

Elevation		04/02/2026 h6:00	04/02/2026 h12:00	04/02/2026 h18:00
1000	Wind	01 Knots from N-East	01 Knots from N-East	01 Knots from N-East
	Temperatures	-01 °C	-01 °C	-01 °C
	Wind chill	-1 °C	-1 °C	-1 °C
2000	Wind	04 Knots from East	04 Knots from S-East	05 Knots from East
	Temperatures	-03 °C	-03 °C	-03 °C
	Wind chill	-6 °C	-6 °C	-7 °C
3000	Wind	13 Knots from South	17 Knots from South	12 Knots from South
	Temperatures	-07 °C	-07 °C	-07 °C
	Wind chill	-15 °C	-16 °C	-14 °C
Freezing level		1000-1200 m.	1200-1400 m.	1100-1300 m.
Atmospheric phenomenon				
Keys to sky condition				

KEYS TO ATMOSPHERIC PHENOMENON

Absence of adverse weather phenomena · Fog · Mist · Light rain · Moderate rain · Heavy rain · Thunderstorm · Weak snowfall · Moderate snowfall · Heavy snowfall

KEYS TO SKY CONDITION

Clear · Partly cloudy · Cloudy · Mostly cloudy · Overcast

Weather and snow data recorded during field and out of field obsevations on 03/02/2026.

Observation field	District	Elevation (m.a.s.l.)	Snow depth (cm)	Snowfall in previous 24 hours (cm)	Temp. Min (°C)	Temp. Max (°C)	General weather conditions
COLLINA	Forni Avoltri (UD)	1327	35	2	-4	0	Continuous light snow
ZONCOLAN *	Ravascletto (UD)	1761	70	5	N.P.	N.P.	Heavy snow

(*) Out of field survey

INFORMATION MEANS PREVENTION - SCAN QRCODE TO KNOW DAILY AVALANCHE DANGER LEVEL!

IL CAPO DEL CENTRO NAZIONALE METEOMONT
(Ten. Col. RFI Emanuela Gini)
FIRMA AUTOGRAFA OMESSA AI SENSI
DELL'ART.3 DEL D.LGS N.39/1993

According to EAWS standards Meteomont bulletin is a synoptic-scale system (regional scale). It shall be the user's responsibility to correlate the danger level evaluation of the bulletin with a detailed and expertise analysis of the zonal hazards (single slope), that could be markedly different. Meteorological forecast are issued at UTC (for Italy: in winter time UTC+1: in summer time UTC+2).

Bulletin is subjected to check processes through: the record of Observers and Avalanches and snow Experts data in C-Sifa; the validation by forecasters; the certification by Meteomont Section.