MINISTERO DELLA DIFESA

meteomont
Servizio Nazionale di previsione neve e valanghe

EAWS EUROPEAN AVALANCHE WARNING SERVICES

CARABINIERI

# ALPI OROBICHE

Avalanche Bulletin N. 333/2026 issued at 14:00 on 02/02/2026
48 hours validity. Next issue on 03/02/2026

**By the METEOMONT Service of the ARMA dei CARABINIERI ITALY**
**In collaboration with Air Force Meteorological Service**

## Situation on 02/02/2026

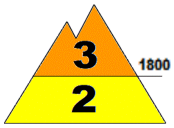


**DANGER PATTERNS: cold on warm / warm on cold.**

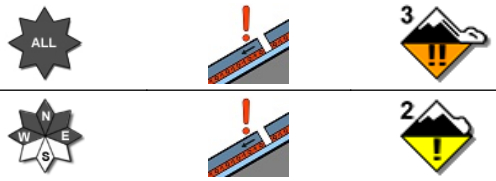


**DANGER PATTERNS: shallow snow next to deep snow.**

| Snow line (m.a.s.l.) | North | South |
|---|---|---|
| | 900 - 1200 | 1200 - 1600 |

| Snow depth (cm) | ground snow | new snow | Elevation (m.a.s.l.) |
|---|---|---|---|
| | 100 | 0 | 2280 |
| | 56 | 0 | 1635 |

**REGISTERED AVALANCHES: No avalanches detected.**

## FORECAST 03/02/2026

# Danger level: HIGH 4

## DANGER PATTERNS: buried surface hoar.

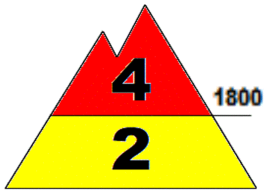


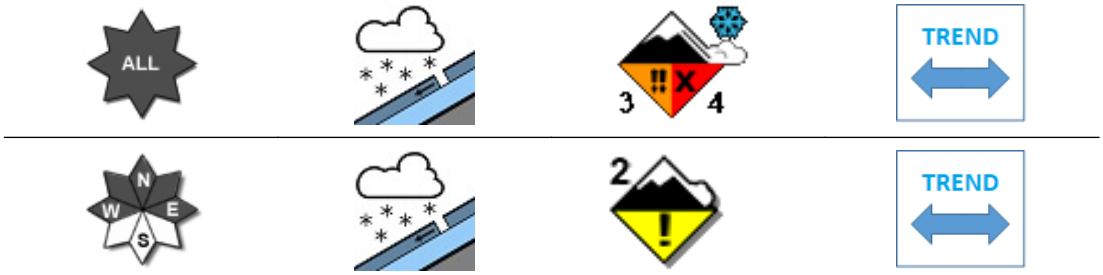


## DANGER PATTERNS: buried surface hoar.

**SNOWPACK: Snowpack stability is very poor on many points (areas) above 1800 m.a.s.l. All aspects are critical. large avalanches are possible.**
**Snowpack stability is poor on some points (areas) below 1800 m.a.s.l. All From west to east-facing slopes are critical. Medium avalanches are possible.**

## WARNING

Due to severe weather conditions forecast, outdoor activities beyond the maintained and marked tracks are restricted. If practiced,expertise in the evaluation of local danger points is required.

## EUROPEAN AVALANCHE WARNING SERVICE

## AVALANCHE PROBLEMS

According to EAWS standards Meteomont bulletin is a synoptic-scale system (regional scale). It shall be the user's responsibility to correlate the danger level evaluation of the bulletin with a detailed and expertise analysis of the zonal hazards (single slope), that could be markedly different. Meteorological forecast are issued at UTC (for Italy: in winter time UTC+1: in summer time UTC+2).

Bulletin is subjected to check processes through: the record of Observers and Avalanches and snow Experts data in C-Sifa; the validation by forecasters; the certification by Meteomont Section.

# ALPI OROBICHE

## WEATHER FORECAST FOR

| Elevation | | 03/02/2026 h6:00 | 03/02/2026 h12:00 | 03/02/2026 h18:00 |
|---|---|---|---|---|
| 1000 | Wind | 03 Knots from South | 01 Knots from S-West | 01 Knots from S-East |
| | Temperatures | -01 °C | -02 °C | -02 °C |
| | Wind chill | -3 °C | -2 °C | -2 °C |
| 2000 | Wind | 07 Knots from South | 02 Knots from S-West | 02 Knots from South |
| | Temperatures | -02 °C | -04 °C | -04 °C |
| | Wind chill | -6 °C | -4 °C | -4 °C |
| 3000 | Wind | 23 Knots from South | 11 Knots from S-West | 09 Knots from S-West |
| | Temperatures | -06 °C | -10 °C | -11 °C |
| | Wind chill | -16 °C | -18 °C | -18 °C |
| Freezing level | | 1600-1800 m. | 1500-1700 m. | 1400-1600 m. |
| Atmospheric phenomenon | | | | |
| Keys to sky condition | | | | |

## KEYS TO ATMOSPHERIC PHENOMENON

Absence of adverse weather phenomena · Fog · Mist · Light rain · Moderate rain · Heavy rain · Thunderstorm · Weak snowfall · Moderate snowfall · Heavy snowfall

## KEYS TO SKY CONDITION

Clear · Partly cloudy · Cloudy · Mostly cloudy · Overcast

## Weather and snow data recorded during field and out of field obsevations on 02/02/2026.

| Observation field | District | Elevation (m.a.s.l.) | Snow depth (cm) | Snowfall in previous 24 hours (cm) | Temp. Min (°C) | Temp. Max (°C) | General weather conditions |
|---|---|---|---|---|---|---|---|
| VODALA | Gromo (BG) | 1635 | 58 | 0 | -7 | +2 | Absence of rain or other precipitation |
| QUARTA BAITA | Foppolo (BG) | 1760 | 55 | 0 | -8 | +2 | Absence of rain or other precipitation |
| CIMA BIANCA | Colere (BG) | 2080 | 105 | 0 | -8 | +3 | Absence of rain or other precipitation |
| LAGO BRANCHINO * | Ardesio (BG) | 1672 | 60 | 0 | N.P. | N.P. | Absence of rain or other precipitation |
| PIZZO MERIGGIO * | Albosaggia (SO) | 2282 | 101 | 0 | N.P. | N.P. | Absence of rain or other precipitation |

(*) Out of field survey

**INFORMATION MEANS PREVENTION - SCAN QRCODE TO KNOW DAILY AVALANCHE DANGER LEVEL!**

IL CAPO DEL CENTRO NAZIONALE METEOMONT
(Ten. Col. RFI Emanuela Gini)
FIRMA AUTOGRAFA OMESSA AI SENSI
DELL'ART.3 DEL D.LGS N.39/1993

According to EAWS standards Meteomont bulletin is a synoptic-scale system (regional scale). It shall be the user's responsibility to correlate the danger level evaluation of the bulletin with a detailed and expertise analysis of the zonal hazards (single slope), that could be markedly different. Meteorological forecast are issued at UTC (for Italy: in winter time UTC+1: in summer time UTC+2).

Bulletin is subjected to check processes through: the record of Observers and Avalanches and snow Experts data in C-Sifa; the validation by forecasters; the certification by Meteomont Section.