MINISTERO DELLA DIFESA

meteomont
Servizio Nazionale di previsione neve e valanghe

EAWS EUROPEAN AVALANCHE WARNING SERVICES

CARABINIERI

ALPI COZIE NORD

Avalanche Bulletin N. 334/2026 issued at 14:00 on 03/02/2026
48 hours validity. Next issue on 04/02/2026

By the METEOMONT Service of the ARMA dei CARABINIERI ITALY
In collaboration with Air Force Meteorological Service

Situation on 03/02/2026

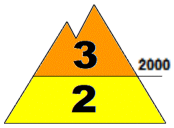

DANGER PATTERNS: loose snow and wind.

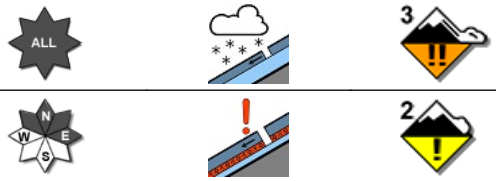

DANGER PATTERNS: no distinct danger pattern.

Snow line (m.a.s.l.)	North	South
	600	600

Snow depth (cm)	ground snow	new snow	Elevation (m.a.s.l.)
	140	020	2280
	087	012	1840

REGISTERED AVALANCHES: -.

FORECAST 04/02/2026

Danger level: CONSIDERABLE 3

DANGER PATTERNS: no distinct danger pattern.

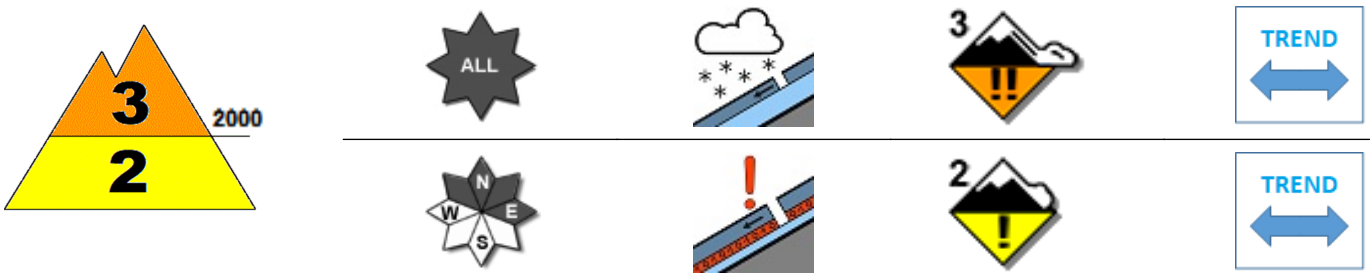

DANGER PATTERNS: no distinct danger pattern.

SNOWPACK: Snowpack stability is poor on many points (areas) above 2000 m.a.s.l. All aspects are critical. medium avalanches are possible.
Snowpack stability is poor on some points (areas) below 2000 m.a.s.l. All Shaddy slopes are critical. Medium avalanches are possible.

WARNING

Due to current severe weather conditions and reduced visibility,route choice and evaluation will become difficult.

EUROPEAN AVALANCHE WARNING SERVICE

5 - VERY HIGH | 4 - HIGH | 3 - CONSIDERABLE | 2 - MODERATE | 1 - LOW | NO SNOW | NO INFO

AVALANCHE PROBLEMS

NEW SNOW | WIND - DRIFTED SNOW | PERSISTENT WEAK LAYERS | WET SNOW | GLIDING SNOW | SNOW CORNICES | NO EVIDENT AVALANCHE PROBLEM. | NO INFO

According to EAWS standards Meteomont bulletin is a synoptic-scale system (regional scale). It shall be the user's responsibility to correlate the danger level evaluation of the bulletin with a detailed and expertise analysis of the zonal hazards (single slope), that could be markedly different. Meteorological forecast are issued at UTC (for Italy: in winter time UTC+1: in summer time UTC+2).

Bulletin is subjected to check processes through: the record of Observers and Avalanches and snow Experts data in C-Sifa; the validation by forecasters; the certification by Meteomont Section.

ALPI COZIE NORD

WEATHER FORECAST FOR

Elevation		04/02/2026 h6:00	04/02/2026 h12:00	04/02/2026 h18:00
1000	Wind	01 Knots from West	01 Knots from N-East	00 Calm
	Temperatures	-02 °C	-01 °C	+01 °C
	Wind chill	-2 °C	-1 °C	1 °C
2000	Wind	02 Knots from East	01 Knots from North	02 Knots from West
	Temperatures	-04 °C	-04 °C	-01 °C
	Wind chill	-4 °C	-4 °C	-1 °C
3000	Wind	04 Knots from East	02 Knots from East	04 Knots from West
	Temperatures	-11 °C	-10 °C	-09 °C
	Wind chill	-15 °C	-10 °C	-13 °C
Freezing level		1100-1300 m.	1400-1600 m.	1600-1800 m.
Atmospheric phenomenon				—
Keys to sky condition				

KEYS TO ATMOSPHERIC PHENOMENON

— Absence of adverse weather phenomena
Fog
Mist
Light rain
Moderate rain
Heavy rain
Thunderstorm
Weak snowfall
Moderate snowfall
Heavy snowfall

KEYS TO SKY CONDITION

Clear
Partly cloudy
Cloudy
Mostly cloudy
Overcast

Weather and snow data recorded during field and out of field obsevations on 03/02/2026.

Observation field	District	Elevation (m.a.s.l.)	Snow depth (cm)	Snowfall in previous 24 hours (cm)	Temp. Min (°C)	Temp. Max (°C)	General weather conditions
PRINCIPI	Sestriere (TO)	2000	100	12	-7	-4	Continuous light snow
MONTE ROTTA *	Cesana Torinese (TO)	2176	118	23	N.P.	N.P.	Continuous light snow

(*) Out of field survey

INFORMATION MEANS PREVENTION - SCAN QRCODE TO KNOW DAILY AVALANCHE DANGER LEVEL!

IL CAPO DEL CENTRO NAZIONALE METEOMONT
(Ten. Col. RFI Emanuela Gini)
FIRMA AUTOGRAFA OMESSA AI SENSI
DELL'ART.3 DEL D.LGS N.39/1993

According to EAWS standards Meteomont bulletin is a synoptic-scale system (regional scale). It shall be the user's responsibility to correlate the danger level evaluation of the bulletin with a detailed and expertise analysis of the zonal hazards (single slope), that could be markedly different. Meteorological forecast are issued at UTC (for Italy: in winter time UTC+1: in summer time UTC+2).

Bulletin is subjected to check processes through: the record of Observers and Avalanches and snow Experts data in C-Sifa; the validation by forecasters; the certification by Meteomont Section.