MINISTERO DELLA DIFESA

meteomont Servizio Nazionale di previsione neve e valanghe

EAWS EUROPEAN AVALANCHE WARNING SERVICES

CARABINIERI

GRAN SASSO EST - LAGA EST

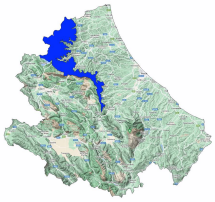

Avalanche Bulletin N. 323/2026 issued at 14:00 on 03/02/2026
48 hours validity. Next issue on 04/02/2026

By the METEOMONT Service of the ARMA dei CARABINIERI ITALY
In collaboration with Air Force Meteorological Service

Situation on 03/02/2026

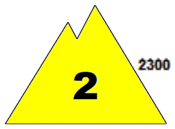

DANGER PATTERNS: shallow snow next to deep snow.



DANGER PATTERNS: springtime situation.

Snow line (m.a.s.l.)	North	South
	1100 - 1400	1100 - 1500

Snow depth (cm)	ground snow	new snow	Elevation (m.a.s.l.)
	019	000	1497
	016	000	1355

REGISTERED AVALANCHES: No avalanches detected.

FORECAST 04/02/2026

Danger level: MODERATE 2

DANGER PATTERNS: shallow snow next to deep snow.

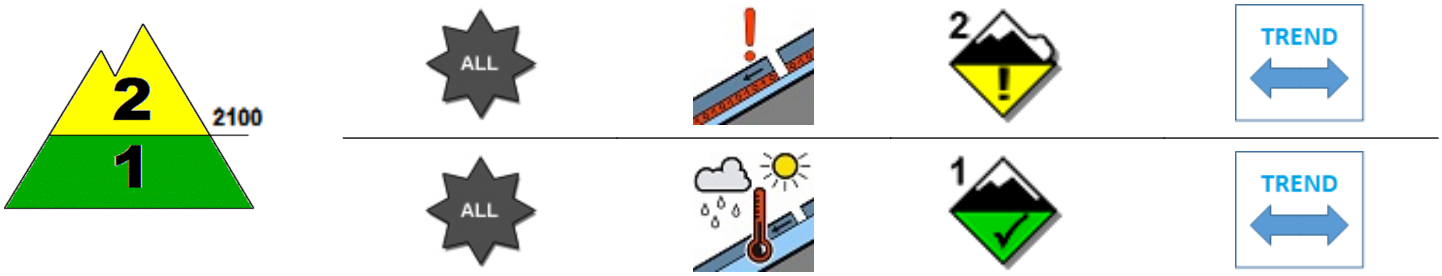

DANGER PATTERNS: springtime situation.

SNOWPACK: Snowpack stability is poor on few points (areas) above 2100 m.a.s.l. All aspects are critical. large avalanches are possible.
Snowpack stability is moderate on few points (areas) below 2100 m.a.s.l. All aspects are critical. Medium avalanches are possible.

WARNING

Be aware of hidden snowdrifts.

EUROPEAN AVALANCHE WARNING SERVICE

AVALANCHE PROBLEMS

According to EAWS standards Meteomont bulletin is a synoptic-scale system (regional scale). It shall be the user's responsibility to correlate the danger level evaluation of the bulletin with a detailed and expertise analysis of the zonal hazards (single slope), that could be markedly different. Meteorological forecast are issued at UTC (for Italy: in winter time UTC+1: in summer time UTC+2).

Bulletin is subjected to check processes through: the record of Observers and Avalanches and snow Experts data in C-Sifa; the validation by forecasters; the certification by Meteomont Section.

MINISTERO DELLA DIFESA

meteomont
Servizio Nazionale di previsione neve e valanghe

EAWS EUROPEAN AVALANCHE WARNING SERVICES

CARABINIERI

GRAN SASSO EST - LAGA EST

WEATHER FORECAST FOR

Elevation		04/02/2026 h6:00	04/02/2026 h12:00	04/02/2026 h18:00
1000	Wind	04 Knots from South	03 Knots from South	04 Knots from S-West
	Temperatures	+03 °C	+04 °C	+02 °C
	Wind chill	1 °C	3 °C	-0 °C
2000	Wind	14 Knots from South	09 Knots from South	10 Knots from West
	Temperatures	+00 °C	+00 °C	-03 °C
	Wind chill	-6 °C	-5 °C	-9 °C
3000	Wind	23 Knots from South	12 Knots from South	12 Knots from West
	Temperatures	-04 °C	-06 °C	-06 °C
	Wind chill	-13 °C	-13 °C	-13 °C
Freezing level		1900-2100 m.	1900-2100 m.	1500-1700 m.
Atmospheric phenomenon		—		
Keys to sky condition				

KEYS TO ATMOSPHERIC PHENOMENON

Absence of adverse weather phenomena — Fog — Mist — Light rain — Moderate rain — Heavy rain — Thunderstorm

Weak snowfall — Moderate snowfall — Heavy snowfall

KEYS TO SKY CONDITION

Clear — Partly cloudy — Cloudy — Mostly cloudy — Overcast

Weather and snow data recorded during field and out of field obsevations on 03/02/2026.

Observation field	District	Elevation (m.a.s.l.)	Snow depth (cm)	Snowfall in previous 24 hours (cm)	Temp. Min (°C)	Temp. Max (°C)	General weather conditions
FAVACCHIOLE	Crognaleto (TE)	1016	0	0	-2	+8	Absence of rain or other precipitation
PRATO SELVA	Fano Adriano (TE)	1355	16	0	0	+8	Absence of rain or other precipitation
PIANO SAN PIETRO	Isola del Gran Sasso d'Italia (TE)	950	0	0	N.P.	N.P.	Absence of rain or other precipitation
PRATI DI TIVO	Pietracamela (TE)	1380	31	0	-2	+9	Absence of rain or other precipitation
SANT' EGIDIO *	Rocca Santa Maria (TE)	1497	19	0	-3	+6	Absence of rain or other precipitation
SAN PAOLO	Acquasanta Terme (AP)	960	0	0	-2	+9	Absence of rain or other precipitation
COLLE SAN GIACOMO	Civitella del Tronto (TE)	1075	0	0	-1	+9	Absence of rain or other precipitation

(*) Out of field survey

INFORMATION MEANS PREVENTION - SCAN QRCODE TO KNOW DAILY AVALANCHE DANGER LEVEL!

IL CAPO DEL CENTRO NAZIONALE METEOMONT
(Ten. Col. RFI Emanuela Gini)
FIRMA AUTOGRAFA OMESSA AI SENSI
DELL'ART.3 DEL D.LGS N.39/1993

According to EAWS standards Meteomont bulletin is a synoptic-scale system (regional scale). It shall be the user's responsibility to correlate the danger level evaluation of the bulletin with a detailed and expertise analysis of the zonal hazards (single slope), that could be markedly different. Meteorological forecast are issued at UTC (for Italy: in winter time UTC+1: in summer time UTC+2).

Bulletin is subjected to check processes through: the record of Observers and Avalanches and snow Experts data in C-Sifa; the validation by forecasters; the certification by Meteomont Section.