MINISTERO DELLA DIFESA

meteomont
Servizio Nazionale di previsione neve e valanghe

EAWS EUROPEAN AVALANCHE WARNING SERVICES

CARABINIERI

MAJELLA

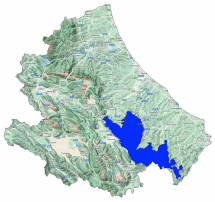

Avalanche Bulletin N. 321/2026 issued at 14:00 on 02/02/2026
48 hours validity. Next issue on 03/02/2026

By the METEOMONT Service of the ARMA dei CARABINIERI ITALY
In collaboration with Air Force Meteorological Service

Situation on 02/02/2026

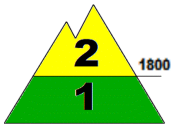

DANGER PATTERNS: shallow snow next to deep snow.



DANGER PATTERNS: springtime situation.

	North	South
Snow line (m.a.s.l.)	*1300 - 1500*	*1300 - 1700*

	ground snow	new snow	Elevation (m.a.s.l.)
Snow depth (cm)	*029*	*001*	*1650*
	012	*000*	*1300*

REGISTERED AVALANCHES: No avalanches detected.

FORECAST 03/02/2026

Danger level: MODERATE 2

DANGER PATTERNS: shallow snow next to deep snow.

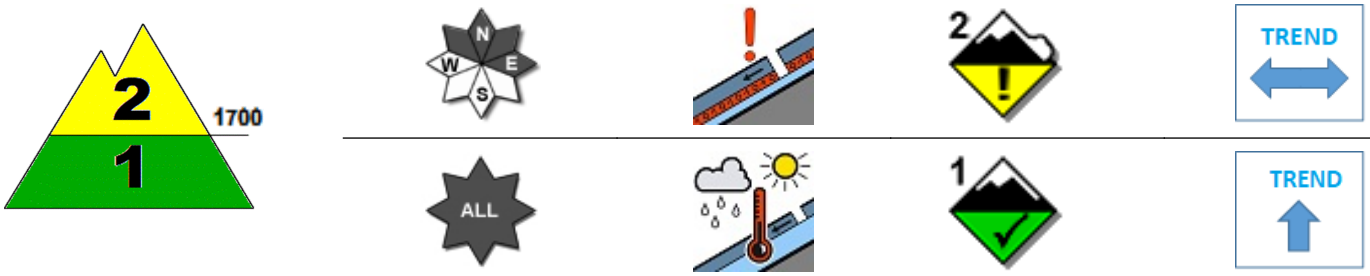

DANGER PATTERNS: springtime situation.

SNOWPACK: Snowpack stability is poor on some points (areas) above 1700 m.a.s.l. All Shaddy slopes are critical. medium avalanches are possible.
Snowpack stability is moderate on few points (areas) below 1700 m.a.s.l. All aspects are critical. Small avalanches are possible.

WARNING

Due to the snow cover conditions,outdoor activities beyond the maintained and marked tracks require an excellent evaluation of local danger points.

EUROPEAN AVALANCHE WARNING SERVICE

5 - VERY HIGH | 4 - HIGH | 3 - CONSIDERABLE | 2 - MODERATE | 1 - LOW | NO SNOW | NO SNOW | NO INFO

AVALANCHE PROBLEMS

NEW SNOW | WIND - DRIFTED SNOW | PERSISTENT WEAK LAYERS | WET SNOW | GLIDING SNOW | SNOW CORNICES | NO EVIDENT AVALANCHE PROBLEM. | NO INFO

According to EAWS standards Meteomont bulletin is a synoptic-scale system (regional scale). It shall be the user's responsibility to correlate the danger level evaluation of the bulletin with a detailed and expertise analysis of the zonal hazards (single slope), that could be markedly different. Meteorological forecast are issued at UTC (for Italy: in winter time UTC+1: in summer time UTC+2).

Bulletin is subjected to check processes through: the record of Observers and Avalanches and snow Experts data in C-Sifa; the validation by forecasters; the certification by Meteomont Section.

MAJELLA

WEATHER FORECAST FOR

Elevation		03/02/2026 h6:00	03/02/2026 h12:00	03/02/2026 h18:00
1000	Wind	03 Knots from S-West	03 Knots from S-West	03 Knots from S-West
	Temperatures	+03 °C	+05 °C	+04 °C
	Wind chill	2 °C	4 °C	3 °C
2000	Wind	07 Knots from S-West	08 Knots from S-West	09 Knots from S-West
	Temperatures	+02 °C	+03 °C	+02 °C
	Wind chill	-2 °C	-1 °C	-2 °C
3000	Wind	18 Knots from West	20 Knots from S-West	21 Knots from S-West
	Temperatures	-03 °C	-02 °C	-03 °C
	Wind chill	-11 °C	-10 °C	-11 °C
Freezing level		2300-2500 m.	2400-2600 m.	2200-2400 m.
Atmospheric phenomenon		—	—	—
Keys to sky condition				

KEYS TO ATMOSPHERIC PHENOMENON

— Absence of adverse weather phenomena
Fog
Mist
Light rain
Moderate rain
Heavy rain
Thunderstorm
Weak snowfall
Moderate snowfall
Heavy snowfall

KEYS TO SKY CONDITION

Clear
Partly cloudy
Cloudy
Mostly cloudy
Overcast

Weather and snow data recorded during field and out of field obsevations on 02/02/2026.

Observation field	District	Elevation (m.a.s.l.)	Snow depth (cm)	Snowfall in previous 24 hours (cm)	Temp. Min (°C)	Temp. Max (°C)	General weather conditions
QUARTARANA	Campo di Giove (AQ)	1200	1	0	-3	+2	Absence of rain or other precipitation
PASSOLANCIANO	Lettomanoppello (PE)	1300	12	0	-3	+1	Absence of rain or other precipitation
MAIELETTA MAMMA ROSA	Pretoro (CH)	1650	29	1	-9	-3	Absence of rain or other precipitation
FOSSO CESE *	Sant'Eufemia a Maiella (PE)	1145	0	0	N.P.	N.P.	Absence of rain or other precipitation

(*) Out of field survey

INFORMATION MEANS PREVENTION - SCAN QRCODE TO KNOW DAILY AVALANCHE DANGER LEVEL!

IL CAPO DEL CENTRO NAZIONALE METEOMONT
(Ten. Col. RFI Emanuela Gini)
FIRMA AUTOGRAFA OMESSA AI SENSI
DELL'ART.3 DEL D.LGS N.39/1993

According to EAWS standards Meteomont bulletin is a synoptic-scale system (regional scale). It shall be the user's responsibility to correlate the danger level evaluation of the bulletin with a detailed and expertise analysis of the zonal hazards (single slope), that could be markedly different. Meteorological forecast are issued at UTC (for Italy: in winter time UTC+1: in summer time UTC+2).

Bulletin is subjected to check processes through: the record of Observers and Avalanches and snow Experts data in C-Sifa; the validation by forecasters; the certification by Meteomont Section.