MINISTERO DELLA DIFESA

meteomont
Servizio Nazionale di previsione neve e valanghe

EAWS EUROPEAN AVALANCHE WARNING SERVICES

CARABINIERI

MAINARDE-ALTO MOLISE

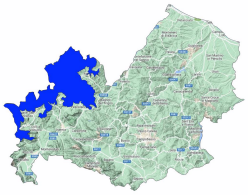

Avalanche Bulletin N. 283/2026 issued at 14:00 on 02/02/2026
48 hours validity. Next issue on 03/02/2026

By the METEOMONT Service of the ARMA dei CARABINIERI ITALY
In collaboration with Air Force Meteorological Service

Situation on 02/02/2026

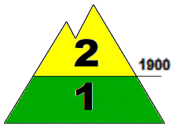

DANGER PATTERNS: shallow snow next to deep snow.



DANGER PATTERNS: springtime situation.

Snow line (m.a.s.l.)	North	South
	1300 - 1400	1300 - 1500

Snow depth (cm)	ground snow	new snow	Elevation (m.a.s.l.)
	015	000	1500
	000	000	1220

REGISTERED AVALANCHES: No avalanches detected.

FORECAST 03/02/2026

Danger level: MODERATE 2

DANGER PATTERNS: shallow snow next to deep snow.

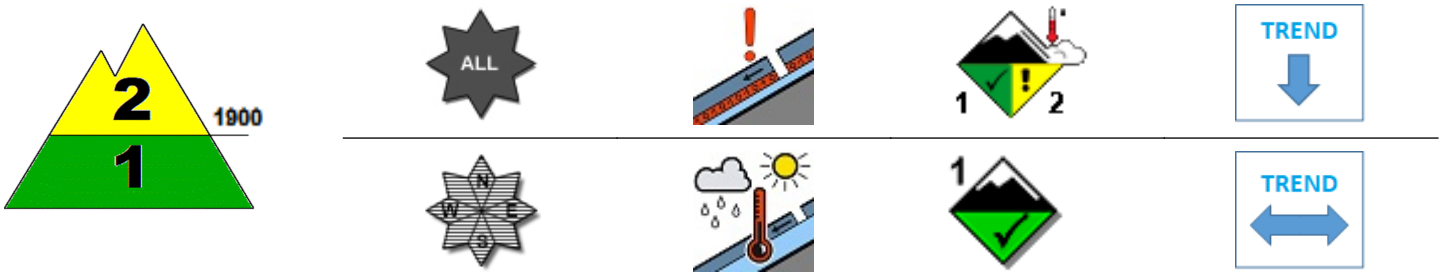

DANGER PATTERNS: springtime situation.

SNOWPACK: Snowpack stability is poor on few points (areas) above 1900 m.a.s.l. All aspects are critical. large avalanches are possible.
Snowpack stability is moderate on some points (areas) below 1900 m.a.s.l. All Isolated slopes are critical. Small avalanches are possible.

WARNING

Due to snow cover conditions ,outdoor activities beyond the maintained and marked tracks require a good evaluation of local danger points.

EUROPEAN AVALANCHE WARNING SERVICE

5 - VERY HIGH | 4 - HIGH | 3 - CONSIDERABLE | 2 - MODERATE | 1 - LOW | NO SNOW | NO INFO

AVALANCHE PROBLEMS

NEW SNOW | WIND - DRIFTED SNOW | PERSISTENT WEAK LAYERS | WET SNOW | GLIDING SNOW | SNOW CORNICES | NO EVIDENT AVALANCHE PROBLEM. | NO INFO

According to EAWS standards Meteomont bulletin is a synoptic-scale system (regional scale). It shall be the user's responsibility to correlate the danger level evaluation of the bulletin with a detailed and expertise analysis of the zonal hazards (single slope), that could be markedly different. Meteorological forecast are issued at UTC (for Italy: in winter time UTC+1: in summer time UTC+2).

Bulletin is subjected to check processes through: the record of Observers and Avalanches and snow Experts data in C-Sifa; the validation by forecasters; the certification by Meteomont Section.

MINISTERO DELLA DIFESA

meteomont
Servizio Nazionale di previsione neve e valanghe

EAWS EUROPEAN AVALANCHE WARNING SERVICES

CARABINIERI

MAINARDE-ALTO MOLISE

WEATHER FORECAST FOR

Elevation		03/02/2026 h6:00	03/02/2026 h12:00	03/02/2026 h18:00
1000	Wind	03 Knots from S-West	04 Knots from S-West	04 Knots from S-West
	Temperatures	+03 °C	+04 °C	+06 °C
	Wind chill	2 °C	2 °C	4 °C
2000	Wind	09 Knots from S-West	13 Knots from S-West	11 Knots from S-West
	Temperatures	+00 °C	+01 °C	+02 °C
	Wind chill	-5 °C	-4 °C	-3 °C
3000	Wind	19 Knots from S-West	21 Knots from S-West	21 Knots from S-West
	Temperatures	-03 °C	-01 °C	-03 °C
	Wind chill	-11 °C	-9 °C	-11 °C
Freezing level		2000-2200 m.	2200-2400 m.	2200-2400 m.
Atmospheric phenomenon			—	
Keys to sky condition				

KEYS TO ATMOSPHERIC PHENOMENON

Absence of adverse weather phenomena — Fog — Mist — Light rain — Moderate rain — Heavy rain — Thunderstorm

Weak snowfall — Moderate snowfall — Heavy snowfall

KEYS TO SKY CONDITION

Clear — Partly cloudy — Cloudy — Mostly cloudy — Overcast

Weather and snow data recorded during field and out of field obsevations on 02/02/2026.

Observation field	District	Elevation (m.a.s.l.)	Snow depth (cm)	Snowfall in previous 24 hours (cm)	Temp. Min (°C)	Temp. Max (°C)	General weather conditions
PRATO GENTILE	Capracotta (IS)	1490	15	0	-3	0	Absence of rain or other precipitation
PESCOPENNATARO	Pescopennataro (IS)	1220	0	0	-3	+3	Absence of rain or other precipitation

(*) Out of field survey

INFORMATION MEANS PREVENTION - SCAN QRCODE TO KNOW DAILY AVALANCHE DANGER LEVEL!

IL CAPO DEL CENTRO NAZIONALE METEOMONT
(Ten. Col. RFI Emanuela Gini)
FIRMA AUTOGRAFA OMESSA AI SENSI
DELL'ART.3 DEL D.LGS N.39/1993

According to EAWS standards Meteomont bulletin is a synoptic-scale system (regional scale). It shall be the user's responsibility to correlate the danger level evaluation of the bulletin with a detailed and expertise analysis of the zonal hazards (single slope), that could be markedly different. Meteorological forecast are issued at UTC (for Italy: in winter time UTC+1: in summer time UTC+2).

Bulletin is subjected to check processes through: the record of Observers and Avalanches and snow Experts data in C-Sifa; the validation by forecasters; the certification by Meteomont Section.