MINISTERO DELLA DIFESA

meteomont Servizio Nazionale di previsione neve e valanghe

EAWS EUROPEAN AVALANCHE WARNING SERVICES

CARABINIERI

In collaborazione con: arpav

DOLOMITI SETTENTRIONALI

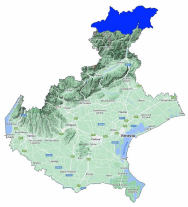

Avalanche Bulletin N. 334/2026 issued at 14:00 on 03/02/2026
48 hours validity. Next issue on 04/02/2026

By the METEOMONT Service of the ARMA dei CARABINIERI ITALY
In collaboration with Air Force Meteorological Service

Situation on 03/02/2026

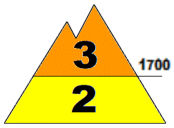

DANGER PATTERNS: loose snow and wind.

DANGER PATTERNS: loose snow and wind.

Snow line (m.a.s.l.)	North	South
	900	900 - 1100

Snow depth (cm)	ground snow	new snow	Elevation (m.a.s.l.)
	69	04	2119
	55	05	1530

REGISTERED AVALANCHES: -.

FORECAST 04/02/2026

Danger level: CONSIDERABLE 3

DANGER PATTERNS: loose snow and wind.

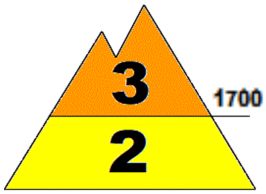

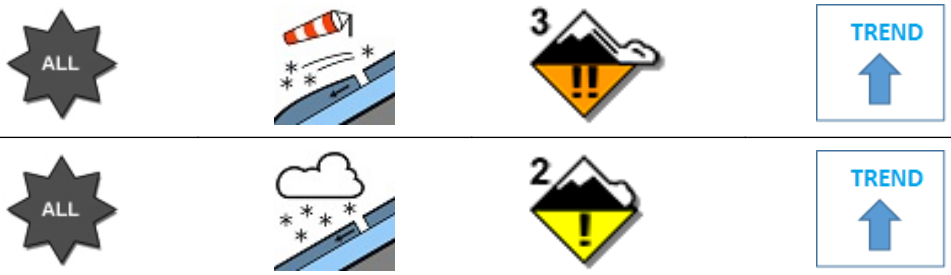

DANGER PATTERNS: loose snow and wind.

SNOWPACK: Snowpack stability is very poor on some points (areas) above 1700 m.a.s.l. All aspects are critical. medium avalanches are possible.
Snowpack stability is very poor on few points (areas) below 1700 m.a.s.l. All aspects are critical. Medium avalanches are possible.

WARNING

Due to new snow,careful route choice and an excellent evaluation of snowpack stability is required.

EUROPEAN AVALANCHE WARNING SERVICE

AVALANCHE PROBLEMS

According to EAWS standards Meteomont bulletin is a synoptic-scale system (regional scale). It shall be the user's responsibility to correlate the danger level evaluation of the bulletin with a detailed and expertise analysis of the zonal hazards (single slope), that could be markedly different. Meteorological forecast are issued at UTC (for Italy: in winter time UTC+1: in summer time UTC+2).

Bulletin is subjected to check processes through: the record of Observers and Avalanches and snow Experts data in C-Sifa; the validation by forecasters; the certification by Meteomont Section.

DOLOMITI SETTENTRIONALI

WEATHER FORECAST FOR

Elevation		04/02/2026 h6:00	04/02/2026 h12:00	04/02/2026 h18:00
1000	Wind	01 Knots from East	02 Knots from S-East	01 Knots from East
	Temperatures	-03 °C	+00 °C	-01 °C
	Wind chill	-3 °C	0 °C	-1 °C
2000	Wind	03 Knots from East	05 Knots from S-East	03 Knots from East
	Temperatures	-03 °C	-01 °C	-02 °C
	Wind chill	-5 °C	-4 °C	-4 °C
3000	Wind	09 Knots from S-East	17 Knots from South	08 Knots from South
	Temperatures	-08 °C	-07 °C	-07 °C
	Wind chill	-15 °C	-16 °C	-13 °C
Freezing level		1300-1500 m.	1700-1900 m.	1600-1800 m.
Atmospheric phenomenon				
Keys to sky condition				

KEYS TO ATMOSPHERIC PHENOMENON

Absence of adverse weather phenomena — Fog — Mist — Light rain — Moderate rain — Heavy rain — Thunderstorm

Weak snowfall — Moderate snowfall — Heavy snowfall

KEYS TO SKY CONDITION

Clear — Partly cloudy — Cloudy — Mostly cloudy — Overcast

Weather and snow data recorded during field and out of field obsevations on 03/02/2026.

Observation field	District	Elevation (m.a.s.l.)	Snow depth (cm)	Snowfall in previous 24 hours (cm)	Temp. Min (°C)	Temp. Max (°C)	General weather conditions
MISURINA	Auronzo di Cadore (BL)	1759	52	3	-12	+9	Continuous light snow
MONTE AGUDO	Auronzo di Cadore (BL)	1530	55	5	-7	0	Moderate snow
MONTE FALORIA	Cortina d'Ampezzo (BL)	2119	69	4	-11	+11	Moderate snow
COL DELLA TENDA	Comelico Superiore (BL)	1930	76	3	-8	-2	Continuous light snow

(*) Out of field survey

INFORMATION MEANS PREVENTION - SCAN QRCODE TO KNOW DAILY AVALANCHE DANGER LEVEL!

IL CAPO DEL CENTRO NAZIONALE METEOMONT
(Ten. Col. RFI Emanuela Gini)
FIRMA AUTOGRAFA OMESSA AI SENSI
DELL'ART.3 DEL D.LGS N.39/1993

According to EAWS standards Meteomont bulletin is a synoptic-scale system (regional scale). It shall be the user's responsibility to correlate the danger level evaluation of the bulletin with a detailed and expertise analysis of the zonal hazards (single slope), that could be markedly different. Meteorological forecast are issued at UTC (for Italy: in winter time UTC+1: in summer time UTC+2).

Bulletin is subjected to check processes through: the record of Observers and Avalanches and snow Experts data in C-Sifa; the validation by forecasters; the certification by Meteomont Section.