MINISTERO DELLA DIFESA

meteomont Servizio Nazionale di previsione neve e valanghe

EAWS EUROPEAN AVALANCHE WARNING SERVICES

CARABINIERI

PREALPI LOMBARDE

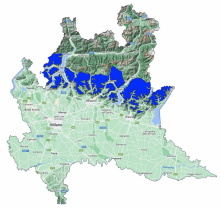

Avalanche Bulletin N. 334/2026 issued at 14:00 on 04/02/2026
48 hours validity. Next issue on 05/02/2026

By the METEOMONT Service of the ARMA dei CARABINIERI ITALY
In collaboration with Air Force Meteorological Service

Situation on 04/02/2026

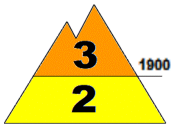

DANGER PATTERNS: buried surface hoar.



DANGER PATTERNS: deep persistent weak layer.

Snow line (m.a.s.l.)	North	South
	400	400

Snow depth (cm)	ground snow	new snow	Elevation (m.a.s.l.)
	50-70	6	2000
	55-95	5	1750

REGISTERED AVALANCHES: -.

FORECAST 05/02/2026

Danger level: CONSIDERABLE 3

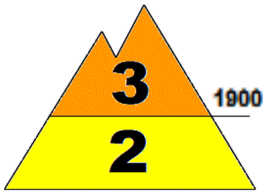

DANGER PATTERNS: buried surface hoar.

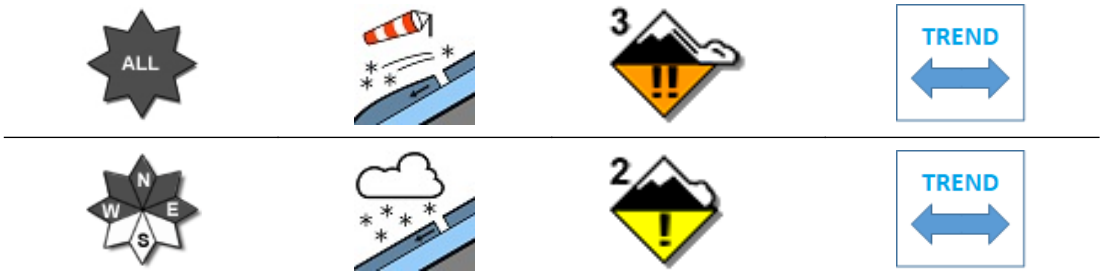

DANGER PATTERNS: buried surface hoar.

SNOWPACK: Snowpack stability is very poor on many points (areas) above 1900 m.a.s.l. All aspects are critical. medium avalanches are possible.
Snowpack stability is poor on some points (areas) below 1900 m.a.s.l. All From west to east-facing slopes are critical. Medium avalanches are possible.

WARNING

Due to the snow cover conditions,outdoor activities beyond the maintained and marked tracks require an excellent evaluation of local danger points.

EUROPEAN AVALANCHE WARNING SERVICE

AVALANCHE PROBLEMS

According to EAWS standards Meteomont bulletin is a synoptic-scale system (regional scale). It shall be the user's responsibility to correlate the danger level evaluation of the bulletin with a detailed and expertise analysis of the zonal hazards (single slope), that could be markedly different. Meteorological forecast are issued at UTC (for Italy: in winter time UTC+1: in summer time UTC+2).

Bulletin is subjected to check processes through: the record of Observers and Avalanches and snow Experts data in C-Sifa; the validation by forecasters; the certification by Meteomont Section.

PREALPI LOMBARDE

WEATHER FORECAST FOR

Elevation		05/02/2026 h6:00	05/02/2026 h12:00	05/02/2026 h18:00
1000	Wind	01 Knots from N-West	01 Knots from South	02 Knots from South
	Temperatures	+00 °C	+00 °C	+01 °C
	Wind chill	0 °C	0 °C	1 °C
2000	Wind	03 Knots from N-West	01 Knots from S-West	02 Knots from S-West
	Temperatures	-01 °C	-01 °C	-01 °C
	Wind chill	-3 °C	-1 °C	-1 °C
3000	Wind	04 Knots from North	02 Knots from N-West	05 Knots from S-West
	Temperatures	-07 °C	-07 °C	-07 °C
	Wind chill	-11 °C	-7 °C	-11 °C
Freezing level		1700-1900 m.	1700-1900 m.	1500-1700 m.
Atmospheric phenomenon		—	—	—
Keys to sky condition				

KEYS TO ATMOSPHERIC PHENOMENON

— Absence of adverse weather phenomena
Fog
Mist
Light rain
Moderate rain
Heavy rain
Thunderstorm
Weak snowfall
Moderate snowfall
Heavy snowfall

KEYS TO SKY CONDITION

Clear
Partly cloudy
Cloudy
Mostly cloudy
Overcast

Weather and snow data recorded during field and out of field obsevations on 04/02/2026.

Observation field	District	Elevation (m.a.s.l.)	Snow depth (cm)	Snowfall in previous 24 hours (cm)	Temp. Min (°C)	Temp. Max (°C)	General weather conditions
PIANI DI BOBBIO	Barzio (LC)	1724	95	N.P.	-3	0	Precipitation on the horizon
PIAN DELLE BETULLE	Margno (LC)	1445	38	2	-4	+2	Continuous light snow

(*) Out of field survey

INFORMATION MEANS PREVENTION - SCAN QRCODE TO KNOW DAILY AVALANCHE DANGER LEVEL!

IL CAPO DEL CENTRO NAZIONALE METEOMONT
(Ten. Col. RFI Emanuela Gini)
FIRMA AUTOGRAFA OMESSA AI SENSI
DELL'ART.3 DEL D.LGS N.39/1993

According to EAWS standards Meteomont bulletin is a synoptic-scale system (regional scale). It shall be the user's responsibility to correlate the danger level evaluation of the bulletin with a detailed and expertise analysis of the zonal hazards (single slope), that could be markedly different. Meteorological forecast are issued at UTC (for Italy: in winter time UTC+1: in summer time UTC+2).

Bulletin is subjected to check processes through: the record of Observers and Avalanches and snow Experts data in C-Sifa; the validation by forecasters; the certification by Meteomont Section.