APPENNINO UMBRO-MARCHIG. MERID. - MONTI SIBILLINI

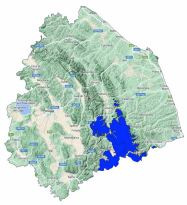

Avalanche Bulletin N. 289/2026 issued at 14:00 on 04/02/2026
48 hours validity. Next issue on 05/02/2026

By the METEOMONT Service of the ARMA dei CARABINIERI ITALY
In collaboration with Air Force Meteorological Service

Situation on 04/02/2026

DANGER PATTERNS: rain on snow.

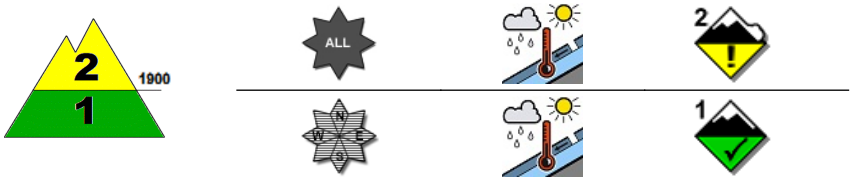

DANGER PATTERNS: rain on snow.

Snow line (m.a.s.l.)	North	South
	1400	1700

Snow depth (cm)	ground snow	new snow	Elevation (m.a.s.l.)
	80-120	000	2100
	20 -30	000	1700

REGISTERED AVALANCHES: Small avalanches, Surface loose snow avalanches.

FORECAST 05/02/2026

Danger level: MODERATE 2

DANGER PATTERNS: springtime situation.



DANGER PATTERNS: rain on snow.

SNOWPACK: Snowpack stability is moderate on some points (areas) above 1800 m.a.s.l. All aspects are critical. medium avalanches are possible.
Snowpack stability is moderate on few points (areas) below 1800 m.a.s.l. All Isolated slopes are critical. Small avalanches are possible.

WARNING

Meteomont recommends that you to always carry ARTVA, probe and shovel.

EUROPEAN AVALANCHE WARNING SERVICE

AVALANCHE PROBLEMS

According to EAWS standards Meteomont bulletin is a synoptic-scale system (regional scale). It shall be the user's responsibility to correlate the danger level evaluation of the bulletin with a detailed and expertise analysis of the zonal hazards (single slope), that could be markedly different. Meteorological forecast are issued at UTC (for Italy: in winter time UTC+1: in summer time UTC+2).

Bulletin is subjected to check processes through: the record of Observers and Avalanches and snow Experts data in C-Sifa; the validation by forecasters; the certification by Meteomont Section.

MINISTERO DELLA DIFESA

meteomont
Servizio Nazionale di previsione neve e valanghe

EAWS EUROPEAN AVALANCHE WARNING SERVICES

CARABINIERI

In collaborazione con: MARCHE

APPENNINO UMBRO-MARCHIG. MERID. - MONTI SIBILLINI

WEATHER FORECAST FOR

Elevation		05/02/2026 h6:00	05/02/2026 h12:00	05/02/2026 h18:00
1000	Wind	06 Knots from West	07 Knots from West	04 Knots from West
	Temperatures	+00 °C	+01 °C	+02 °C
	Wind chill	-4 °C	-3 °C	-0 °C
2000	Wind	15 Knots from West	19 Knots from West	09 Knots from West
	Temperatures	-04 °C	-03 °C	-02 °C
	Wind chill	-11 °C	-11 °C	-7 °C
3000	Wind	19 Knots from West	17 Knots from West	16 Knots from N-West
	Temperatures	-07 °C	-05 °C	-03 °C
	Wind chill	-16 °C	-13 °C	-10 °C
Freezing level		1400-1600 m.	1500-1700 m.	1700-1900 m.
Atmospheric phenomenon			—	—
Keys to sky condition				

KEYS TO ATMOSPHERIC PHENOMENON

— Absence of adverse weather phenomena
Fog
Mist
Light rain
Moderate rain
Heavy rain
Thunderstorm
Weak snowfall
Moderate snowfall
Heavy snowfall

KEYS TO SKY CONDITION

Clear
Partly cloudy
Cloudy
Mostly cloudy
Overcast

Weather and snow data recorded during field and out of field obsevations on 04/02/2026.

Observation field	District	Elevation (m.a.s.l.)	Snow depth (cm)	Snowfall in previous 24 hours (cm)	Temp. Min (°C)	Temp. Max (°C)	General weather conditions
FORCA DI GUALDO	Castelsantangelo sul Nera (MC)	1496	25 cm of fresh snow mixed with rain	Rain and no snow	+2	+5	Intermittent light rain
LA VALLETTA	Bolognola (MC)	1352	0	0	+1	+7	Light rain
COLLE	Montegallo (AP)	1036	0	0	+3	+11	Light rain
PARCO GUARNIERI	Montemonaco (AP)	980	0	0	+4	+12	Intermittent light rain
FRONTIGNANO *	Castelsantangelo sul Nera (MC)	1703	14	0	-2	+8	Heavy or moderate rain and snow or drizzle
MONTE PRATA *	Castelsantangelo sul Nera (MC)	1750	41	N.P.	N.P.	N.P.	Absence of rain or other precipitation

(*) Out of field survey

INFORMATION MEANS PREVENTION - SCAN QRCODE TO KNOW DAILY AVALANCHE DANGER LEVEL!

IL CAPO DEL CENTRO NAZIONALE METEOMONT
(Ten. Col. RFI Emanuela Gini)
FIRMA AUTOGRAFA OMESSA AI SENSI
DELL'ART.3 DEL D.LGS N.39/1993

According to EAWS standards Meteomont bulletin is a synoptic-scale system (regional scale). It shall be the user's responsibility to correlate the danger level evaluation of the bulletin with a detailed and expertise analysis of the zonal hazards (single slope), that could be markedly different. Meteorological forecast are issued at UTC (for Italy: in winter time UTC+1: in summer time UTC+2).

Bulletin is subjected to check processes through: the record of Observers and Avalanches and snow Experts data in C-Sifa; the validation by forecasters; the certification by Meteomont Section.