MINISTERO DELLA DIFESA

meteomont Servizio Nazionale di previsione neve e valanghe

EAWS EUROPEAN AVALANCHE WARNING SERVICES

CARABINIERI

APPENNINO LUCANO

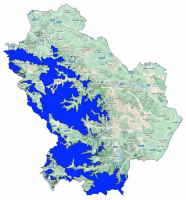

Avalanche Bulletin N. 232/2026 issued at 14:00 on 03/02/2026
48 hours validity. Next issue on 04/02/2026

By the METEOMONT Service of the ARMA dei CARABINIERI ITALY
In collaboration with Air Force Meteorological Service

Situation on 03/02/2026

DANGER PATTERNS: loose snow and wind.

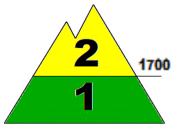



DANGER PATTERNS: springtime situation.

Snow line (m.a.s.l.)	North	South
	1400 - 1500	1600 - 1700

Snow depth (cm)	ground snow	new snow	Elevation (m.a.s.l.)
	020	000	1532
	002	000	1380

REGISTERED AVALANCHES: No avalanches detected.

FORECAST 04/02/2026

Danger level: MODERATE 2

DANGER PATTERNS: rain on snow.



DANGER PATTERNS: rain on snow.

SNOWPACK: Snowpack stability is moderate on some points (areas) above 1700 m.a.s.l. All aspects are critical. medium avalanches are possible.
Snowpack stability is moderate on some points (areas) below 1700 m.a.s.l. All aspects are critical. Small avalanches are possible.

WARNING

Due to daytime rising temperatures,careful evaluation of the timing of outdoor activities, in order to avoid crossing steep slopes during the warmest hours of the day , is required.

EUROPEAN AVALANCHE WARNING SERVICE

AVALANCHE PROBLEMS

According to EAWS standards Meteomont bulletin is a synoptic-scale system (regional scale). It shall be the user's responsibility to correlate the danger level evaluation of the bulletin with a detailed and expertise analysis of the zonal hazards (single slope), that could be markedly different. Meteorological forecast are issued at UTC (for Italy: in winter time UTC+1: in summer time UTC+2).

Bulletin is subjected to check processes through: the record of Observers and Avalanches and snow Experts data in C-Sifa; the validation by forecasters; the certification by Meteomont Section.

APPENNINO LUCANO

WEATHER FORECAST FOR

Elevation		04/02/2026 h6:00	04/02/2026 h12:00	04/02/2026 h18:00
1000	Wind	18 Knots from S-East	15 Knots from South	12 Knots from West
	Temperatures	+09 °C	+08 °C	+05 °C
	Wind chill	5 °C	4 °C	1 °C
2000	Wind	16 Knots from South	17 Knots from South	15 Knots from S-West
	Temperatures	+04 °C	+01 °C	-02 °C
	Wind chill	-1 °C	-5 °C	-9 °C
3000	Wind	19 Knots from South	21 Knots from South	16 Knots from S-West
	Temperatures	-05 °C	-06 °C	-07 °C
	Wind chill	-14 °C	-15 °C	-16 °C
Freezing level		2400-2600 m.	2000-2200 m.	1400-1600 m.
Atmospheric phenomenon		—		
Keys to sky condition				

KEYS TO ATMOSPHERIC PHENOMENON

Absence of adverse weather phenomena — Fog — Mist — Light rain — Moderate rain — Heavy rain — Thunderstorm

Weak snowfall — Moderate snowfall — Heavy snowfall

KEYS TO SKY CONDITION

Clear — Partly cloudy — Cloudy — Mostly cloudy — Overcast

Weather and snow data recorded during field and out of field obsevations on 03/02/2026.

Observation field	District	Elevation (m.a.s.l.)	Snow depth (cm)	Snowfall in previous 24 hours (cm)	Temp. Min (°C)	Temp. Max (°C)	General weather conditions
LAUDEMIO	Lagonegro (PZ)	1532	20	0	0	+6	Absence of rain or other precipitation
PIANO IMPERATORE	Marsicovetere (PZ)	1560	19	0	+3	+6	Absence of rain or other precipitation
PEDARRETO	Rotonda (PZ)	1380	2	0	+1	+7	Absence of rain or other precipitation

(*) Out of field survey

INFORMATION MEANS PREVENTION - SCAN QRCODE TO KNOW DAILY AVALANCHE DANGER LEVEL!

IL CAPO DEL CENTRO NAZIONALE METEOMONT
(Ten. Col. RFI Emanuela Gini)
FIRMA AUTOGRAFA OMESSA AI SENSI
DELL'ART.3 DEL D.LGS N.39/1993