MINISTERO DELLA DIFESA

meteomont Servizio Nazionale di previsione neve e valanghe

EAWS EUROPEAN AVALANCHE WARNING SERVICES

CARABINIERI

ALPI OROBICHE

Avalanche Bulletin N. 335/2026 issued at 14:00 on 04/02/2026
48 hours validity. Next issue on 05/02/2026

By the METEOMONT Service of the ARMA dei CARABINIERI ITALY
In collaboration with Air Force Meteorological Service

Situation on 04/02/2026

DANGER PATTERNS: buried surface hoar.

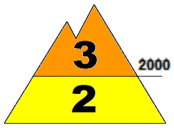



DANGER PATTERNS: buried surface hoar.

Snow line (m.a.s.l.)	North	South
	800	800

Snow depth (cm)	ground snow	new snow	Elevation (m.a.s.l.)
	80-120	10	2100
	61	4	1635

REGISTERED AVALANCHES: Small avalanches, Slab surface avalanches.

FORECAST 05/02/2026

Danger level: CONSIDERABLE 3

DANGER PATTERNS: buried surface hoar.



DANGER PATTERNS: buried surface hoar.

SNOWPACK: Snowpack stability is very poor on many points (areas) above 2000 m.a.s.l. All aspects are critical. medium avalanches are possible.
Snowpack stability is very poor on some points (areas) below 2000 m.a.s.l. All From west to east-facing slopes are critical. Medium avalanches are possible.

WARNING

Due to new snow,careful route choice and an excellent evaluation of snowpack stability is required.

EUROPEAN AVALANCHE WARNING SERVICE

AVALANCHE PROBLEMS

According to EAWS standards Meteomont bulletin is a synoptic-scale system (regional scale). It shall be the user's responsibility to correlate the danger level evaluation of the bulletin with a detailed and expertise analysis of the zonal hazards (single slope), that could be markedly different. Meteorological forecast are issued at UTC (for Italy: in winter time UTC+1: in summer time UTC+2).

Bulletin is subjected to check processes through: the record of Observers and Avalanches and snow Experts data in C-Sifa; the validation by forecasters; the certification by Meteomont Section.

ALPI OROBICHE

WEATHER FORECAST FOR

Elevation		05/02/2026 h6:00	05/02/2026 h12:00	05/02/2026 h18:00
1000	Wind	01 Knots from N-West	01 Knots from South	01 Knots from North
	Temperatures	+00 °C	+00 °C	+00 °C
	Wind chill	0 °C	0 °C	0 °C
2000	Wind	01 Knots from N-West	01 Knots from South	01 Knots from S-East
	Temperatures	-02 °C	-01 °C	+00 °C
	Wind chill	-2 °C	-1 °C	0 °C
3000	Wind	02 Knots from North	01 Knots from S-West	05 Knots from West
	Temperatures	-07 °C	-07 °C	-06 °C
	Wind chill	-7 °C	-7 °C	-10 °C
Freezing level		1700-1900 m.	1700-1900 m.	1500-1700 m.
Atmospheric phenomenon			—	—
Keys to sky condition				

KEYS TO ATMOSPHERIC PHENOMENON

— Absence of adverse weather phenomena
Fog
Mist
Light rain
Moderate rain
Heavy rain
Thunderstorm
Weak snowfall
Moderate snowfall
Heavy snowfall

KEYS TO SKY CONDITION

Clear
Partly cloudy
Cloudy
Mostly cloudy
Overcast

Weather and snow data recorded during field and out of field obsevations on 04/02/2026.

Observation field	District	Elevation (m.a.s.l.)	Snow depth (cm)	Snowfall in previous 24 hours (cm)	Temp. Min (°C)	Temp. Max (°C)	General weather conditions
CIMA VALZELLI	Castione della Presolana (BG)	1622	55	N.P.	N.P.	N.P.	Intermittent light snow
VODALA	Gromo (BG)	1635	61	4	-2	0	Continuous light snow
QUARTA BAITA	Foppolo (BG)	1760	65	1	-3	+1	Continuous light snow
CIMA BIANCA	Colere (BG)	2080	120	10	-4	-3	Continuous light snow
CORNO BARBIONE *	Corteno Golgi (BS)	2288	120	2	N.P.	N.P.	Intermittent light snow

(*) Out of field survey

INFORMATION MEANS PREVENTION - SCAN QRCODE TO KNOW DAILY AVALANCHE DANGER LEVEL!

IL CAPO DEL CENTRO NAZIONALE METEOMONT
(Ten. Col. RFI Emanuela Gini)
FIRMA AUTOGRAFA OMESSA AI SENSI
DELL'ART.3 DEL D.LGS N.39/1993

According to EAWS standards Meteomont bulletin is a synoptic-scale system (regional scale). It shall be the user's responsibility to correlate the danger level evaluation of the bulletin with a detailed and expertise analysis of the zonal hazards (single slope), that could be markedly different. Meteorological forecast are issued at UTC (for Italy: in winter time UTC+1: in summer time UTC+2).

Bulletin is subjected to check processes through: the record of Observers and Avalanches and snow Experts data in C-Sifa; the validation by forecasters; the certification by Meteomont Section.