MINISTERO DELLA DIFESA

meteomont
Servizio Nazionale di previsione neve e valanghe

EAWS EUROPEAN AVALANCHE WARNING SERVICES

CARABINIERI

APPENNINO EMILIANO CENTRALE

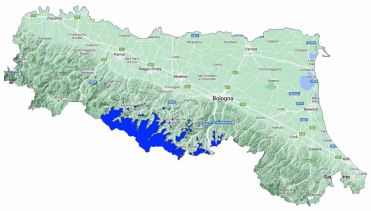

Avalanche Bulletin N. 308/2026 issued at 14:00 on 04/02/2026
48 hours validity. Next issue on 05/02/2026

By the METEOMONT Service of the ARMA dei CARABINIERI ITALY
In collaboration with Air Force Meteorological Service

Situation on 04/02/2026

DANGER PATTERNS: loose snow and wind.

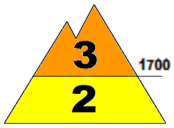

DANGER PATTERNS: loose snow and wind.

Snow line (m.a.s.l.)	North	South
	700	900

Snow depth (cm)	ground snow	new snow	Elevation (m.a.s.l.)
	090	018	1840
	045	015	1550

REGISTERED AVALANCHES: Small avalanches, Surface loose snow avalanches.

FORECAST 05/02/2026

Danger level: CONSIDERABLE 3

DANGER PATTERNS: loose snow and wind.



DANGER PATTERNS: loose snow and wind.

SNOWPACK: Snowpack stability is poor on many points (areas) above 1700 m.a.s.l. All aspects are critical. medium avalanches are possible.
Snowpack stability is poor on some points (areas) below 1700 m.a.s.l. All aspects are critical. Medium avalanches are possible.

WARNING

Due to current severe weather conditions, outdoor activities beyond the maintained and marked tracks are not advised.

EUROPEAN AVALANCHE WARNING SERVICE

AVALANCHE PROBLEMS

According to EAWS standards Meteomont bulletin is a synoptic-scale system (regional scale). It shall be the user's responsibility to correlate the danger level evaluation of the bulletin with a detailed and expertise analysis of the zonal hazards (single slope), that could be markedly different. Meteorological forecast are issued at UTC (for Italy: in winter time UTC+1: in summer time UTC+2).

Bulletin is subjected to check processes through: the record of Observers and Avalanches and snow Experts data in C-Sifa; the validation by forecasters; the certification by Meteomont Section.

APPENNINO EMILIANO CENTRALE

WEATHER FORECAST FOR

Elevation		05/02/2026 h6:00	05/02/2026 h12:00	05/02/2026 h18:00
1000	Wind	02 Knots from West	03 Knots from S-West	04 Knots from S-West
	Temperatures	+01 °C	+02 °C	+03 °C
	Wind chill	1 °C	0 °C	1 °C
2000	Wind	06 Knots from West	05 Knots from West	10 Knots from S-West
	Temperatures	-03 °C	+00 °C	+01 °C
	Wind chill	-7 °C	-3 °C	-4 °C
3000	Wind	09 Knots from N-West	07 Knots from West	09 Knots from West
	Temperatures	-06 °C	-07 °C	-06 °C
	Wind chill	-12 °C	-13 °C	-12 °C
Freezing level		1400-1600 m.	1600-1800 m.	2100-2300 m.
Atmospheric phenomenon		—	—	—
Keys to sky condition				

KEYS TO ATMOSPHERIC PHENOMENON

— Absence of adverse weather phenomena
Fog
Mist
Light rain
Moderate rain
Heavy rain
Thunderstorm
Weak snowfall
Moderate snowfall
Heavy snowfall

KEYS TO SKY CONDITION

Clear
Partly cloudy
Cloudy
Mostly cloudy
Overcast

Weather and snow data recorded during field and out of field obsevations on 04/02/2026.

Observation field	District	Elevation (m.a.s.l.)	Snow depth (cm)	Snowfall in previous 24 hours (cm)	Temp. Min (°C)	Temp. Max (°C)	General weather conditions
PASSO PRADARENA	Ventasso (RE)	1585	51	12	-2	+2	Moderate snow
RIFUGIO CAVONE	Lizzano in Belvedere (BO)	1416	52	12	0	+1	Moderate snow
LAGO DELLA NINFA	Sestola (MO)	1550	45	15	+1	+4	Moderate snow
PIANCAVALLARO *	Montecreto (MO)	1911	90	18	N.P.	N.P.	Heavy snow

(*) Out of field survey

INFORMATION MEANS PREVENTION - SCAN QRCODE TO KNOW DAILY AVALANCHE DANGER LEVEL!

IL CAPO DEL CENTRO NAZIONALE METEOMONT
(Ten. Col. RFI Emanuela Gini)
FIRMA AUTOGRAFA OMESSA AI SENSI
DELL'ART.3 DEL D.LGS N.39/1993

According to EAWS standards Meteomont bulletin is a synoptic-scale system (regional scale). It shall be the user's responsibility to correlate the danger level evaluation of the bulletin with a detailed and expertise analysis of the zonal hazards (single slope), that could be markedly different. Meteorological forecast are issued at UTC (for Italy: in winter time UTC+1: in summer time UTC+2).

Bulletin is subjected to check processes through: the record of Observers and Avalanches and snow Experts data in C-Sifa; the validation by forecasters; the certification by Meteomont Section.