MINISTERO DELLA DIFESA

meteomont
Servizio Nazionale di previsione neve e valanghe

EAWS EUROPEAN AVALANCHE WARNING SERVICES

CARABINIERI

ALPI APUANE - APPENNINO TOSCANO SETTENTRIONALE

Avalanche Bulletin N. 249/2026 issued at 14:00 on 05/02/2026
48 hours validity. Next issue on 06/02/2026

By the METEOMONT Service of the ARMA dei CARABINIERI ITALY
In collaboration with Air Force Meteorological Service

Situation on 05/02/2026

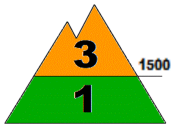

DANGER PATTERNS: deep persistent weak layer.



DANGER PATTERNS: springtime situation.

Snow line (m.a.s.l.)	North	South
	1200 - 1400	1300 - 1400

Snow depth (cm)	ground snow	new snow	Elevation (m.a.s.l.)
	210	018	1858
	047	007	1340

REGISTERED AVALANCHES: Small avalanches, Surface loose snow avalanches.

FORECAST 06/02/2026

Danger level: CONSIDERABLE 3

DANGER PATTERNS: snowfall after a long period of cold.

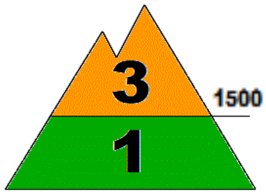

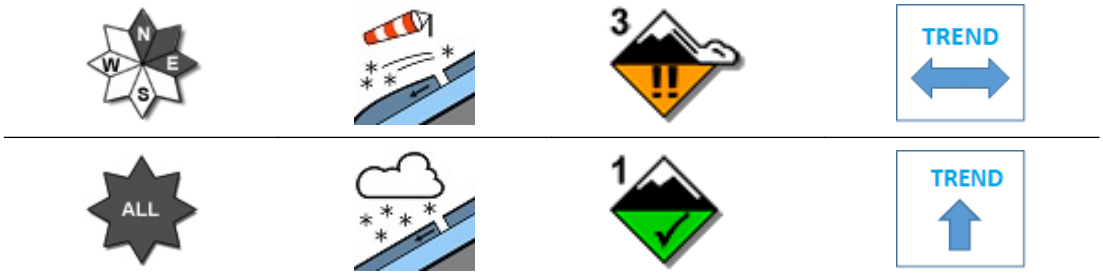

DANGER PATTERNS: deep persistent weak layer.

SNOWPACK: Snowpack stability is poor on many points (areas) above 1500 m.a.s.l. All Northeast-facing slopes are critical. medium avalanches are possible.
Snowpack stability is good on few points (areas) below 1500 m.a.s.l. All aspects are critical. Medium avalanches are possible.

WARNING

Due to snow cover conditions ,outdoor activities beyond the maintained and marked tracks require a good evaluation of local danger points.

EUROPEAN AVALANCHE WARNING SERVICE

AVALANCHE PROBLEMS

According to EAWS standards Meteomont bulletin is a synoptic-scale system (regional scale). It shall be the user's responsibility to correlate the danger level evaluation of the bulletin with a detailed and expertise analysis of the zonal hazards (single slope), that could be markedly different. Meteorological forecast are issued at UTC (for Italy: in winter time UTC+1: in summer time UTC+2).

Bulletin is subjected to check processes through: the record of Observers and Avalanches and snow Experts data in C-Sifa; the validation by forecasters; the certification by Meteomont Section.

ALPI APUANE - APPENNINO TOSCANO SETTENTRIONALE

WEATHER FORECAST FOR

Elevation		06/02/2026 h6:00	06/02/2026 h12:00	06/02/2026 h18:00
1000	Wind	04 Knots from North	01 Knots from S-West	02 Knots from S-West
	Temperatures	+00 °C	+01 °C	+02 °C
	Wind chill	-3 °C	1 °C	2 °C
2000	Wind	11 Knots from N-East	04 Knots from West	05 Knots from West
	Temperatures	-03 °C	-01 °C	+01 °C
	Wind chill	-9 °C	-4 °C	-2 °C
3000	Wind	08 Knots from West	10 Knots from N-West	08 Knots from West
	Temperatures	-05 °C	-07 °C	-06 °C
	Wind chill	-11 °C	-14 °C	-12 °C
Freezing level		1300-1500 m.	1700-1900 m.	2000-2200 m.
Atmospheric phenomenon			—	—
Keys to sky condition				

KEYS TO ATMOSPHERIC PHENOMENON

— Absence of adverse weather phenomena
Fog
Mist
Light rain
Moderate rain
Heavy rain
Thunderstorm
Weak snowfall
Moderate snowfall
Heavy snowfall

KEYS TO SKY CONDITION

Clear
Partly cloudy
Cloudy
Mostly cloudy
Overcast

Weather and snow data recorded during field and out of field obsevations on 05/02/2026.

Observation field	District	Elevation (m.a.s.l.)	Snow depth (cm)	Snowfall in previous 24 hours (cm)	Temp. Min (°C)	Temp. Max (°C)	General weather conditions
PONTE ALLE LIME	Abetone Cutigliano (PT)	1340	51	5	N.P.	N.P.	Absence of rain or other precipitation
OTE GONITO *	Abetone Cutigliano (PT)	1746	140	15	N.P.	N.P.	Continuous light snow
ALPE TRE POTENZE *	Abetone Cutigliano (PT)	1858	210	18	N.P.	N.P.	Absence of rain or other precipitation

(*) Out of field survey

INFORMATION MEANS PREVENTION - SCAN QRCODE TO KNOW DAILY AVALANCHE DANGER LEVEL!

IL CAPO DEL CENTRO NAZIONALE METEOMONT
(Ten. Col. RFI Emanuela Gini)
FIRMA AUTOGRAFA OMESSA AI SENSI
DELL'ART.3 DEL D.LGS N.39/1993

According to EAWS standards Meteomont bulletin is a synoptic-scale system (regional scale). It shall be the user's responsibility to correlate the danger level evaluation of the bulletin with a detailed and expertise analysis of the zonal hazards (single slope), that could be markedly different. Meteorological forecast are issued at UTC (for Italy: in winter time UTC+1: in summer time UTC+2).

Bulletin is subjected to check processes through: the record of Observers and Avalanches and snow Experts data in C-Sifa; the validation by forecasters; the certification by Meteomont Section.