MINISTERO DELLA DIFESA

meteomont Servizio Nazionale di previsione neve e valanghe

EAWS EUROPEAN AVALANCHE WARNING SERVICES

CARABINIERI

ALPI APUANE - APPENNINO TOSCANO SETTENTRIONALE

Avalanche Bulletin N. 248/2026 issued at 14:00 on 04/02/2026
48 hours validity. Next issue on 05/02/2026

By the METEOMONT Service of the ARMA dei CARABINIERI ITALY
In collaboration with Air Force Meteorological Service

Situation on 04/02/2026

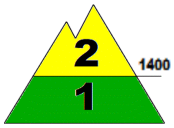

DANGER PATTERNS: deep persistent weak layer.



DANGER PATTERNS: springtime situation.

Snow line (m.a.s.l.)	North	South
	1200 - 1400	1300 - 1400

Snow depth (cm)	ground snow	new snow	Elevation (m.a.s.l.)
	060	017	1625
	047	007	1340

REGISTERED AVALANCHES: No avalanches detected.

FORECAST 05/02/2026

Danger level: MODERATE 2

DANGER PATTERNS: snowfall after a long period of cold.



DANGER PATTERNS: springtime situation.

SNOWPACK: Snowpack stability is moderate on some points (areas) above 1400 m.a.s.l. All East-facing slopes are critical. medium avalanches are possible.
Snowpack stability is good on few points (areas) below 1400 m.a.s.l. All aspects are critical. Medium avalanches are possible.

WARNING

Due to current severe weather conditions, outdoor activities beyond the maintained and marked tracks are restricted. If practiced, expertise in the evaluation of local danger points is required.

EUROPEAN AVALANCHE WARNING SERVICE

AVALANCHE PROBLEMS

According to EAWS standards Meteomont bulletin is a synoptic-scale system (regional scale). It shall be the user's responsibility to correlate the danger level evaluation of the bulletin with a detailed and expertise analysis of the zonal hazards (single slope), that could be markedly different. Meteorological forecast are issued at UTC (for Italy: in winter time UTC+1: in summer time UTC+2).

Bulletin is subjected to check processes through: the record of Observers and Avalanches and snow Experts data in C-Sifa; the validation by forecasters; the certification by Meteomont Section.

ALPI APUANE - APPENNINO TOSCANO SETTENTRIONALE

WEATHER FORECAST FOR

Elevation		05/02/2026 h6:00	05/02/2026 h12:00	05/02/2026 h18:00
1000	Wind	02 Knots from West	03 Knots from S-West	04 Knots from South
	Temperatures	+01 °C	+02 °C	+02 °C
	Wind chill	1 °C	0 °C	-0 °C
2000	Wind	06 Knots from West	07 Knots from S-West	10 Knots from S-West
	Temperatures	-03 °C	-03 °C	+00 °C
	Wind chill	-7 °C	-8 °C	-5 °C
3000	Wind	09 Knots from N-West	07 Knots from West	11 Knots from West
	Temperatures	-06 °C	-07 °C	-05 °C
	Wind chill	-12 °C	-13 °C	-12 °C
Freezing level		1400-1600 m.	1600-1800 m.	2100-2300 m.
Atmospheric phenomenon		—	—	—
Keys to sky condition				

KEYS TO ATMOSPHERIC PHENOMENON

— Absence of adverse weather phenomena
Fog
Mist
Light rain
Moderate rain
Heavy rain
Thunderstorm
Weak snowfall
Moderate snowfall
Heavy snowfall

KEYS TO SKY CONDITION

Clear
Partly cloudy
Cloudy
Mostly cloudy
Overcast

Weather and snow data recorded during field and out of field obsevations on 04/02/2026.

Observation field	District	Elevation (m.a.s.l.)	Snow depth (cm)	Snowfall in previous 24 hours (cm)	Temp. Min (°C)	Temp. Max (°C)	General weather conditions
PONTE ALLE LIME	Abetone Cutigliano (PT)	1340	47	7	N.P.	N.P.	Moderate snow
ORECCHIELLA	San Romano in Garfagnana (LU)	1240	0	0	+2	+8	Light rain
ALPE DI SAN PELLEGRINO	Castiglione di Garfagnana (LU)	1651	46	12	-1	+2	Moderate snow
RIFUGIO ROSSI *	Molazzana (LU)	1625	60	17	N.P.	N.P.	Moderate snow
PRATI DELLA PANIA *	Molazzana (LU)	1522	34	3	N.P.	N.P.	Moderate snow

(*) Out of field survey

INFORMATION MEANS PREVENTION - SCAN QRCODE TO KNOW DAILY AVALANCHE DANGER LEVEL!

IL CAPO DEL CENTRO NAZIONALE METEOMONT
(Ten. Col. RFI Emanuela Gini)
FIRMA AUTOGRAFA OMESSA AI SENSI
DELL'ART.3 DEL D.LGS N.39/1993

According to EAWS standards Meteomont bulletin is a synoptic-scale system (regional scale). It shall be the user's responsibility to correlate the danger level evaluation of the bulletin with a detailed and expertise analysis of the zonal hazards (single slope), that could be markedly different. Meteorological forecast are issued at UTC (for Italy: in winter time UTC+1: in summer time UTC+2).

Bulletin is subjected to check processes through: the record of Observers and Avalanches and snow Experts data in C-Sifa; the validation by forecasters; the certification by Meteomont Section.