MINISTERO DELLA DIFESA

meteomont Servizio Nazionale di previsione neve e valanghe

EAWS EUROPEAN AVALANCHE WARNING SERVICES

CARABINIERI

In collaborazione con: MARCHE

# APPENNINO UMBRO-MARCHIG. MERID. - MONTI SIBILLINI

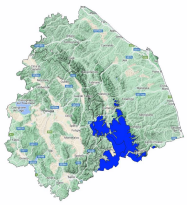

Avalanche Bulletin N. 290/2026 issued at 14:00 on 05/02/2026
48 hours validity. Next issue on 06/02/2026

**By the METEOMONT Service of the ARMA dei CARABINIERI ITALY**
**In collaboration with Air Force Meteorological Service**

## Situation on 05/02/2026

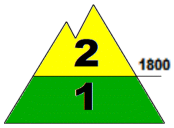


**DANGER PATTERNS: springtime situation.**

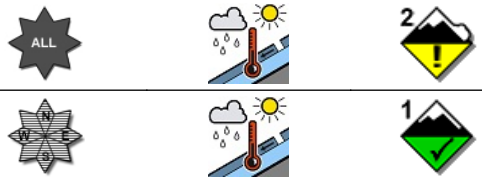


**DANGER PATTERNS: springtime situation.**

| Snow line (m.a.s.l.) | North | South |
|---|---|---|
| | 1500 | 1700 |

| Snow depth (cm) | ground snow | new snow | Elevation (m.a.s.l.) |
|---|---|---|---|
| | 80-120 | 10 | 2100 |
| | 20 -30 | 005 | 1700 |

**REGISTERED AVALANCHES: No avalanches detected.**

## FORECAST 06/02/2026

# Danger level: MODERATE 2

## DANGER PATTERNS: rain on snow.




## DANGER PATTERNS: rain on snow.

**SNOWPACK: Snowpack stability is moderate on some points (areas) above 1800 m.a.s.l. All aspects are critical. medium avalanches are possible.**
**Snowpack stability is moderate on few points (areas) below 1800 m.a.s.l. All Isolated slopes are critical. Small avalanches are possible.**

## WARNING

Meteomont recommends that you to always carry ARTVA, probe and shovel.

## EUROPEAN AVALANCHE WARNING SERVICE

## AVALANCHE PROBLEMS

According to EAWS standards Meteomont bulletin is a synoptic-scale system (regional scale). It shall be the user's responsibility to correlate the danger level evaluation of the bulletin with a detailed and expertise analysis of the zonal hazards (single slope), that could be markedly different. Meteorological forecast are issued at UTC (for Italy: in winter time UTC+1: in summer time UTC+2).

Bulletin is subjected to check processes through: the record of Observers and Avalanches and snow Experts data in C-Sifa; the validation by forecasters; the certification by Meteomont Section.

MINISTERO DELLA DIFESA

meteomont
Servizio Nazionale di previsione neve e valanghe

EAWS EUROPEAN AVALANCHE WARNING SERVICES

CARABINIERI

In collaborazione con: MARCHE

# APPENNINO UMBRO-MARCHIG. MERID. - MONTI SIBILLINI

## WEATHER FORECAST FOR

| Elevation | | 06/02/2026 h6:00 | 06/02/2026 h12:00 | 06/02/2026 h18:00 |
|---|---|---|---|---|
| 1000 | Wind | 05 Knots from S-West | 10 Knots from West | 08 Knots from West |
| | Temperatures | +04 °C | +01 °C | +02 °C |
| | Wind chill | 2 °C | -4 °C | -2 °C |
| 2000 | Wind | 18 Knots from S-West | 26 Knots from West | 20 Knots from West |
| | Temperatures | +01 °C | -02 °C | -01 °C |
| | Wind chill | -5 °C | -11 °C | -8 °C |
| 3000 | Wind | 22 Knots from West | 28 Knots from West | 21 Knots from West |
| | Temperatures | -06 °C | -04 °C | -05 °C |
| | Wind chill | -15 °C | -14 °C | -14 °C |
| Freezing level | | 2100-2300 m. | 1500-1700 m. | 1700-1900 m. |
| Atmospheric phenomenon | | | | |
| Keys to sky condition | | | | |

## KEYS TO ATMOSPHERIC PHENOMENON

Absence of adverse weather phenomena · Fog · Mist · Light rain · Moderate rain · Heavy rain · Thunderstorm · Weak snowfall · Moderate snowfall · Heavy snowfall

## KEYS TO SKY CONDITION

Clear · Partly cloudy · Cloudy · Mostly cloudy · Overcast

## Weather and snow data recorded during field and out of field obsevations on 05/02/2026.

| Observation field | District | Elevation (m.a.s.l.) | Snow depth (cm) | Snowfall in previous 24 hours (cm) | Temp. Min (°C) | Temp. Max (°C) | General weather conditions |
|---|---|---|---|---|---|---|---|
| FORCA DI GUALDO | Castelsantangelo sul Nera (MC) | 1496 | 32 | 8 | -1 | +3 | Intermittent light snow |
| LA VALLETTA | Bolognola (MC) | 1352 | 0 | 0 | -1 | +3 | Absence of rain or other precipitation |
| COLLE | Montegallo (AP) | 1036 | 0 | 0 | +1 | +8 | Absence of rain or other precipitation |
| PARCO GUARNIERI | Montemonaco (AP) | 980 | 0 | 0 | +3 | +12 | Absence of rain or other precipitation |
| FRONTIGNANO * | Ussita (MC) | 1696 | 17 | 6 | -2 | +1 | Continuous light snow |

(*) Out of field survey

**INFORMATION MEANS PREVENTION - SCAN QRCODE TO KNOW DAILY AVALANCHE DANGER LEVEL!**

IL CAPO DEL CENTRO NAZIONALE METEOMONT
(Ten. Col. RFI Emanuela Gini)
FIRMA AUTOGRAFA OMESSA AI SENSI
DELL'ART.3 DEL D.LGS N.39/1993

According to EAWS standards Meteomont bulletin is a synoptic-scale system (regional scale). It shall be the user's responsibility to correlate the danger level evaluation of the bulletin with a detailed and expertise analysis of the zonal hazards (single slope), that could be markedly different. Meteorological forecast are issued at UTC (for Italy: in winter time UTC+1: in summer time UTC+2).

Bulletin is subjected to check processes through: the record of Observers and Avalanches and snow Experts data in C-Sifa; the validation by forecasters; the certification by Meteomont Section.