MINISTERO DELLA DIFESA

meteomont Servizio Nazionale di previsione neve e valanghe

EAWS EUROPEAN AVALANCHE WARNING SERVICES

CARABINIERI

GRAN SASSO EST - LAGA EST

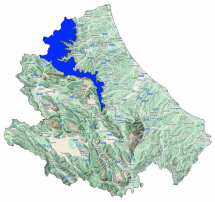

Avalanche Bulletin N. 324/2026 issued at 14:00 on 04/02/2026
48 hours validity. Next issue on 05/02/2026

By the METEOMONT Service of the ARMA dei CARABINIERI ITALY
In collaboration with Air Force Meteorological Service

Situation on 04/02/2026

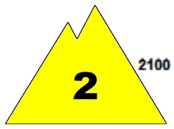

DANGER PATTERNS: shallow snow next to deep snow.



DANGER PATTERNS: rain on snow.

Snow line (m.a.s.l.)	North	South
	1300 - 1400	1400 - 1500

Snow depth (cm)	ground snow	new snow	Elevation (m.a.s.l.)
	062	000	1915
	021	000	1380

REGISTERED AVALANCHES: No avalanches detected.

FORECAST 05/02/2026

Danger level: MODERATE 2

DANGER PATTERNS: shallow snow next to deep snow.

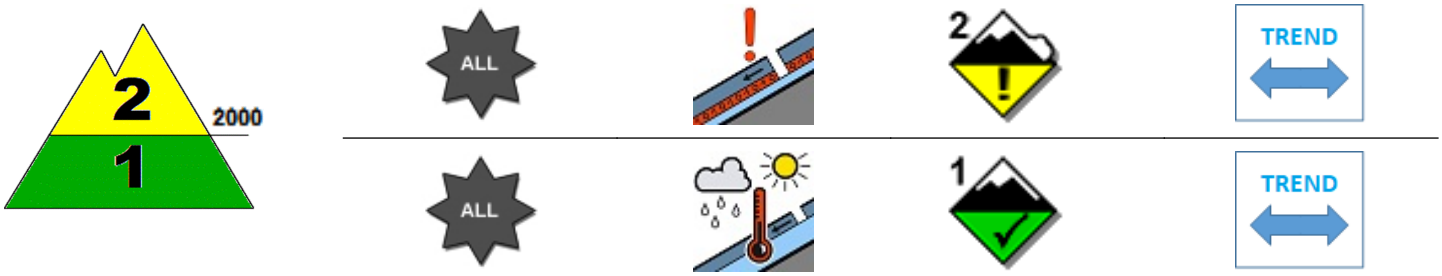

DANGER PATTERNS: springtime situation.

SNOWPACK: Snowpack stability is moderate on some points (areas) above 2000 m.a.s.l. All aspects are critical. medium avalanches are possible.
Snowpack stability is moderate on few points (areas) below 2000 m.a.s.l. All aspects are critical. Medium avalanches are possible.

WARNING

Due to current severe weather conditions and reduced visibility,route choice and evaluation will become difficult.

EUROPEAN AVALANCHE WARNING SERVICE

AVALANCHE PROBLEMS

According to EAWS standards Meteomont bulletin is a synoptic-scale system (regional scale). It shall be the user's responsibility to correlate the danger level evaluation of the bulletin with a detailed and expertise analysis of the zonal hazards (single slope), that could be markedly different. Meteorological forecast are issued at UTC (for Italy: in winter time UTC+1: in summer time UTC+2).

Bulletin is subjected to check processes through: the record of Observers and Avalanches and snow Experts data in C-Sifa; the validation by forecasters; the certification by Meteomont Section.

MINISTERO DELLA DIFESA

meteomont
Servizio Nazionale di previsione neve e valanghe

EAWS EUROPEAN AVALANCHE WARNING SERVICES

CARABINIERI

GRAN SASSO EST - LAGA EST

WEATHER FORECAST FOR

Elevation		05/02/2026 h6:00	05/02/2026 h12:00	05/02/2026 h18:00
1000	Wind	05 Knots from West	06 Knots from West	04 Knots from S-West
	Temperatures	+00 °C	+02 °C	+02 °C
	Wind chill	-3 °C	-1 °C	-0 °C
2000	Wind	14 Knots from West	15 Knots from West	11 Knots from West
	Temperatures	-03 °C	-03 °C	-02 °C
	Wind chill	-10 °C	-10 °C	-8 °C
3000	Wind	15 Knots from West	16 Knots from West	17 Knots from N-West
	Temperatures	-08 °C	-09 °C	-04 °C
	Wind chill	-17 °C	-18 °C	-12 °C
Freezing level		1400-1600 m.	1500-1700 m.	1600-1800 m.
Atmospheric phenomenon			—	—
Keys to sky condition				

KEYS TO ATMOSPHERIC PHENOMENON

— Absence of adverse weather phenomena
Fog
Mist
Light rain
Moderate rain
Heavy rain
Thunderstorm
Weak snowfall
Moderate snowfall
Heavy snowfall

KEYS TO SKY CONDITION

Clear
Partly cloudy
Cloudy
Mostly cloudy
Overcast

Weather and snow data recorded during field and out of field obsevations on 04/02/2026.

Observation field	District	Elevation (m.a.s.l.)	Snow depth (cm)	Snowfall in previous 24 hours (cm)	Temp. Min (°C)	Temp. Max (°C)	General weather conditions
FAVACCHIOLE	Crognaleto (TE)	1016	0	0	+5	+10	Intermittent light rain
PRATO SELVA	Fano Adriano (TE)	1355	0	0	+3	+9	Fog with no visible sky
RIGOPIANO	Farindola (PE)	1135	0	0	-1	+5	Fog with no visible sky
PIANO SAN PIETRO	Isola del Gran Sasso d'Italia (TE)	950	0	0	N.P.	N.P.	Absence of rain or other precipitation
PRATI DI TIVO	Pietracamela (TE)	1380	21	0	+2	+10	Fog with no visible sky
CEPPO	Rocca Santa Maria (TE)	1349	Snow traces	0	+4	+10	Intermittent light rain
SAN PAOLO	Acquasanta Terme (AP)	960	0	0	+4	+14	Intermittent light rain
COLLE SAN GIACOMO	Civitella del Tronto (TE)	1075	0	0	0	+6	Intermittent light rain
COLLE DELL'ASINO *	Pietracamela (TE)	1915	62	0	N.P.	N.P.	Absence of rain or other precipitation

(*) Out of field survey

INFORMATION MEANS PREVENTION - SCAN QRCODE TO KNOW DAILY AVALANCHE DANGER LEVEL!

IL CAPO DEL CENTRO NAZIONALE METEOMONT
(Ten. Col. RFI Emanuela Gini)
FIRMA AUTOGRAFA OMESSA AI SENSI
DELL'ART.3 DEL D.LGS N.39/1993

According to EAWS standards Meteomont bulletin is a synoptic-scale system (regional scale). It shall be the user's responsibility to correlate the danger level evaluation of the bulletin with a detailed and expertise analysis of the zonal hazards (single slope), that could be markedly different. Meteorological forecast are issued at UTC (for Italy: in winter time UTC+1: in summer time UTC+2).

Bulletin is subjected to check processes through: the record of Observers and Avalanches and snow Experts data in C-Sifa; the validation by forecasters; the certification by Meteomont Section.