MINISTERO DELLA DIFESA

meteomont Servizio Nazionale di previsione neve e valanghe

EAWS EUROPEAN AVALANCHE WARNING SERVICES

CARABINIERI

TERMINILLO MONTI REATINI E LAGA OVEST

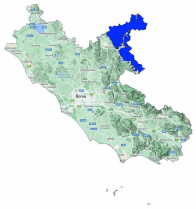

Avalanche Bulletin N. 278/2026 issued at 14:00 on 05/02/2026
48 hours validity. Next issue on 06/02/2026

By the METEOMONT Service of the ARMA dei CARABINIERI ITALY
In collaboration with Air Force Meteorological Service

Situation on 05/02/2026

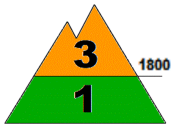

DANGER PATTERNS: loose snow and wind.

DANGER PATTERNS: rain on snow.

Snow line (m.a.s.l.)	North	South
	1400 - 1500	1700

Snow depth (cm)	ground snow	new snow	Elevation (m.a.s.l.)
	045	005	1750
	018	000	1350

REGISTERED AVALANCHES: No avalanches detected.

FORECAST 06/02/2026

Danger level: CONSIDERABLE 3

DANGER PATTERNS: loose snow and wind.

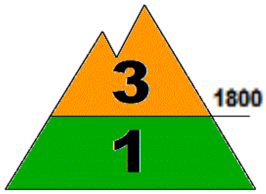

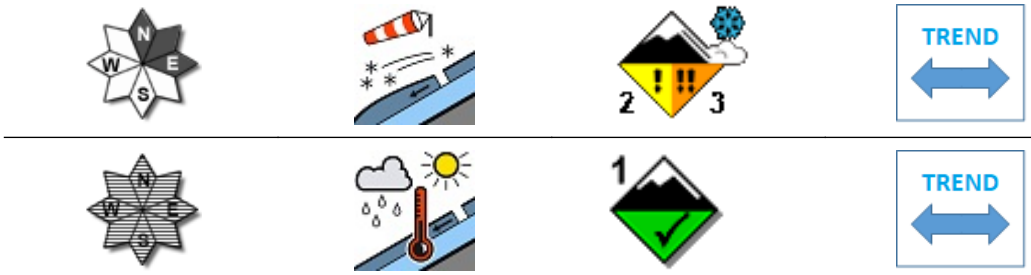

DANGER PATTERNS: rain on snow.

SNOWPACK: Snowpack stability is very poor on some points (areas) above 1800 m.a.s.l. All Northeast-facing slopes are critical. large avalanches are possible.
Snowpack stability is moderate on some points (areas) below 1800 m.a.s.l. All Isolated slopes are critical. Small avalanches are possible.

WARNING

Due to current severe weather conditions, outdoor activities beyond the maintained and marked tracks are restricted. If practiced, expertise in the evaluation of local danger points is required.

EUROPEAN AVALANCHE WARNING SERVICE

AVALANCHE PROBLEMS

According to EAWS standards Meteomont bulletin is a synoptic-scale system (regional scale). It shall be the user's responsibility to correlate the danger level evaluation of the bulletin with a detailed and expertise analysis of the zonal hazards (single slope), that could be markedly different. Meteorological forecast are issued at UTC (for Italy: in winter time UTC+1: in summer time UTC+2).

Bulletin is subjected to check processes through: the record of Observers and Avalanches and snow Experts data in C-Sifa; the validation by forecasters; the certification by Meteomont Section.

TERMINILLO MONTI REATINI E LAGA OVEST

WEATHER FORECAST FOR

Elevation		06/02/2026 h6:00	06/02/2026 h12:00	06/02/2026 h18:00
1000	Wind	09 Knots from S-West	07 Knots from West	08 Knots from West
	Temperatures	+04 °C	+02 °C	+02 °C
	Wind chill	0 °C	-2 °C	-2 °C
2000	Wind	20 Knots from S-West	16 Knots from West	19 Knots from West
	Temperatures	+01 °C	-02 °C	-02 °C
	Wind chill	-6 °C	-9 °C	-10 °C
3000	Wind	24 Knots from West	24 Knots from West	19 Knots from West
	Temperatures	-05 °C	-06 °C	-07 °C
	Wind chill	-14 °C	-16 °C	-16 °C
Freezing level		2000-2200 m.	1600-1800 m.	1700-1900 m.
Atmospheric phenomenon		—		—
Keys to sky condition				

KEYS TO ATMOSPHERIC PHENOMENON

— Absence of adverse weather phenomena
Fog
Mist
Light rain
Moderate rain
Heavy rain
Thunderstorm
Weak snowfall
Moderate snowfall
Heavy snowfall

KEYS TO SKY CONDITION

Clear
Partly cloudy
Cloudy
Mostly cloudy
Overcast

Weather and snow data recorded during field and out of field obsevations on 05/02/2026.

Observation field	District	Elevation (m.a.s.l.)	Snow depth (cm)	Snowfall in previous 24 hours (cm)	Temp. Min (°C)	Temp. Max (°C)	General weather conditions
PESCHIERE	Amatrice (RI)	1270	0	0	+2	+8	Moderate rain
M. CAIDURO	Cittareale (RI)	1300	7	0	+1	+6	Intermittent light rain
VALLONINA	Leonessa (RI)	1350	18	0	0	+5	Light rain
ANELLO DI CAMPOFOROGNA *	Micigliano (RI)	1700	42	4	-1	+1	Light rain

(*) Out of field survey

INFORMATION MEANS PREVENTION - SCAN QRCODE TO KNOW DAILY AVALANCHE DANGER LEVEL!

IL CAPO DEL CENTRO NAZIONALE METEOMONT
(Ten. Col. RFI Emanuela Gini)
FIRMA AUTOGRAFA OMESSA AI SENSI
DELL'ART.3 DEL D.LGS N.39/1993

According to EAWS standards Meteomont bulletin is a synoptic-scale system (regional scale). It shall be the user's responsibility to correlate the danger level evaluation of the bulletin with a detailed and expertise analysis of the zonal hazards (single slope), that could be markedly different. Meteorological forecast are issued at UTC (for Italy: in winter time UTC+1: in summer time UTC+2).

Bulletin is subjected to check processes through: the record of Observers and Avalanches and snow Experts data in C-Sifa; the validation by forecasters; the certification by Meteomont Section.