aineva.it

Friday 06.02.2026

Updated 06 02 2026, 14:52

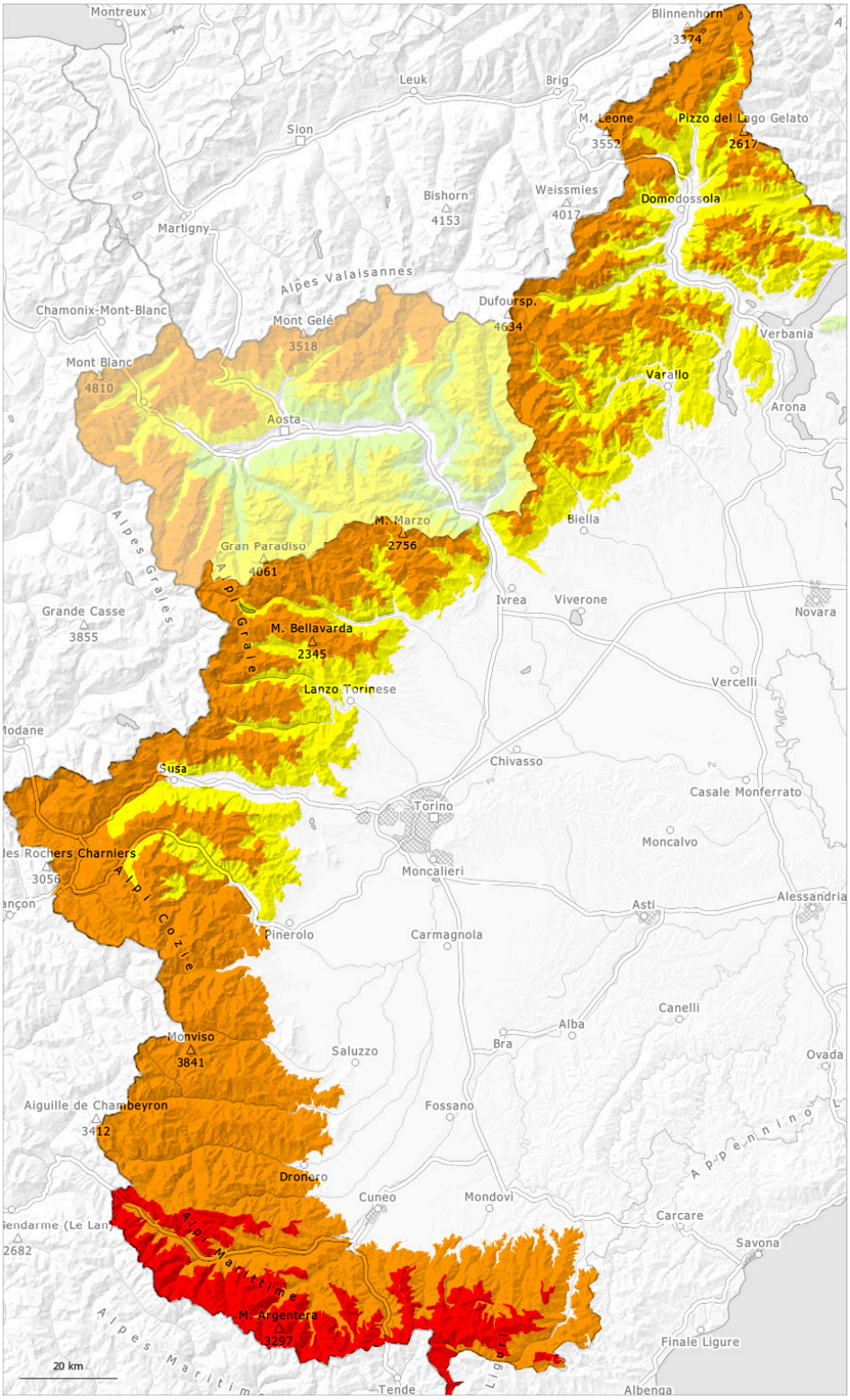

1	2	3	4	5
low	moderate	considerable	high	very high

Danger Level 4 - High

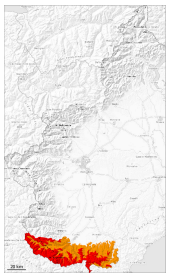

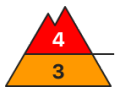

Treeline

Tendency: Decreasing avalanche danger
on Saturday 07 02 2026

Wind slab

Treeline

Wet snow

2200m

As a consequence of new snow and warming a very precarious avalanche situation will prevail. The conditions are unfavourable for backcountry touring outside marked and open pistes.

Above approximately 700 m snow will fall until late morning. As a consequence of new snow and a moderate wind, further wind slabs will form. They can be released easily and reach very large size. In many cases avalanches can be triggered in the various wind slab layers. This applies in particular on steep slopes above the tree line, as well as in gullies and bowls, and behind abrupt changes in the terrain.
As a consequence of warming and solar radiation, the natural avalanche activity will rapidly increase, in particular in case of releases originating from steep sunny starting zones that still retain some snow.
Backcountry touring calls for great caution and restraint.

Snowpack

Danger patterns dp.6: cold, loose snow and wind | dp.2: gliding snow

Up to 30 cm of snow, and even more in some localities, will fall until late morning above approximately 1500 m. As a consequence of the moderate wind, fresh snow drift accumulations will form. Over a wide area new snow and wind slabs are lying on soft layers.
Sunshine and high temperatures will give rise from early morning to rapid and thorough wetting of the snowpack in particular on steep sunny slopes at low and intermediate altitudes.
Above approximately 1000 m a lot of snow is lying.

Tendency

The weather conditions will give rise to gradual settling of the snowpack.

Danger Level 3 - Considerable

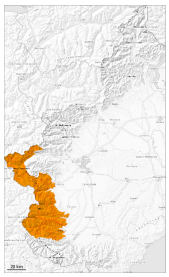

Tendency: Constant avalanche danger
on Saturday 07 02 2026

Wind slab

Treeline

Wet snow

2200m

Considerable avalanche danger will prevail. Wind slabs and wet snow represent the main danger.

Some snow will fall until late morning. As a consequence of new snow and a sometimes moderate wind, sometimes large wind slabs will form. Wind slabs can be released, even by a single winter sport participant. This applies in particular on steep slopes, as well as in gullies and bowls, and behind abrupt changes in the terrain also at intermediate altitudes.
Avalanches can be released in deeper layers in particular on steep shady slopes.
Medium-sized and, in isolated cases, large natural moist avalanches are possible as a consequence of warming during the day and solar radiation, in particular in case of releases originating from steep sunny starting zones that have retained the snow thus far.
The avalanche prone locations are sometimes covered with new snow difficult to recognise. Careful route selection and spacing between individuals are recommended.

Snowpack

Danger patterns dp.6: cold, loose snow and wind | dp.1: deep persistent weak layer

Over a wide area 10 to 20 cm of snow will fall until late morning. As a consequence of new snow and a sometimes moderate wind from westerly directions, further wind slabs will form in particular above the tree line. The new snow and wind slabs are lying on soft layers on wind-protected shady slopes.

Intermediate and high altitudes: Isolated avalanche prone weak layers exist in the bottom section of the snowpack in particular on very steep shady slopes.

Danger Level 3 - Considerable

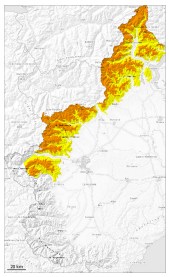

Treeline

Tendency: Constant avalanche danger
on Saturday 07 02 2026

Wind slab

Treeline

Wet snow

2100m

At intermediate and high altitudes a considerable avalanche danger will prevail.

Some snow will fall until late morning. As a consequence of new snow and a moderate wind from northwesterly directions, sometimes large wind slabs will form. This applies in particular on steep slopes, as well as in gullies and bowls, and behind abrupt changes in the terrain above the tree line. The fresh wind slabs can be released by small loads. Avalanches can be released in deeper layers in particular on very steep shady slopes.

Medium-sized to large natural dry avalanches are possible as a consequence of warming during the day and solar radiation. This applies in particular in case of releases originating from very steep sunny starting zones that have retained the snow thus far.

Careful route selection and spacing between individuals are recommended.

Snowpack

Danger patterns dp.6: cold, loose snow and wind | dp.1: deep persistent weak layer

Over a wide area 5 to 15 cm of snow will fall until late morning. As a consequence of new snow and a sometimes moderate wind, further wind slabs will form. The new snow and wind slabs are lying on soft layers in particular on wind-protected shady slopes.

Intermediate and high altitudes: Isolated avalanche prone weak layers exist in the bottom section of the snowpack in particular on very steep shady slopes.