MINISTERO DELLA DIFESA

meteomont
Servizio Nazionale di previsione neve e valanghe

EAWS EUROPEAN AVALANCHE WARNING SERVICES

CARABINIERI

ALPI RETICHE

Avalanche Bulletin N. 339/2026 issued at 14:00 on 06/02/2026
48 hours validity. Next issue on 07/02/2026

By the METEOMONT Service of the ARMA dei CARABINIERI ITALY
In collaboration with Air Force Meteorological Service

Situation on 06/02/2026

DANGER PATTERNS: buried surface hoar.

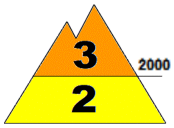



DANGER PATTERNS: buried surface hoar.

Snow line (m.a.s.l.)	North	South
	700 - 900	700 - 1000

Snow depth (cm)	ground snow	new snow	Elevation (m.a.s.l.)
	57	1	2150
	64	3	1640

REGISTERED AVALANCHES: No avalanches detected.

FORECAST 07/02/2026

Danger level: CONSIDERABLE 3

DANGER PATTERNS: buried surface hoar.

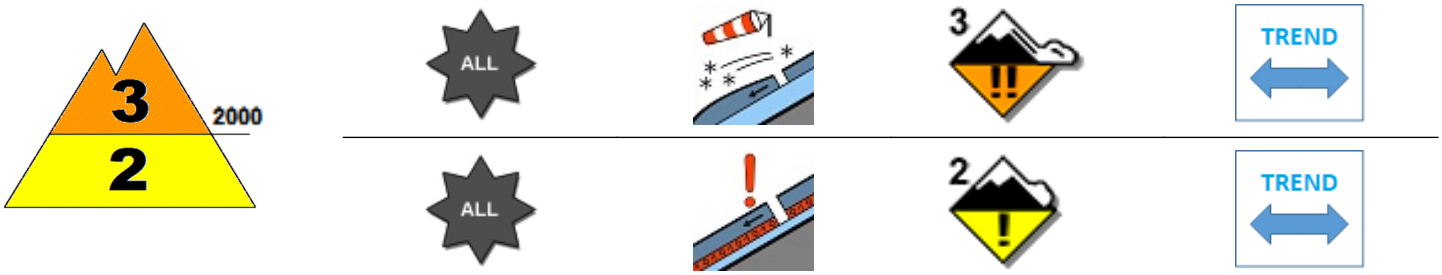

DANGER PATTERNS: buried surface hoar.

SNOWPACK: Snowpack stability is very poor on many points (areas) above 2000 m.a.s.l. All aspects are critical. medium avalanches are possible.
Snowpack stability is poor on many points (areas) below 2000 m.a.s.l. All aspects are critical. Small avalanches are possible.

WARNING

Due to new snow, careful route choice and a good evaluation of snowpack stability is required.

EUROPEAN AVALANCHE WARNING SERVICE

AVALANCHE PROBLEMS

According to EAWS standards Meteomont bulletin is a synoptic-scale system (regional scale). It shall be the user's responsibility to correlate the danger level evaluation of the bulletin with a detailed and expertise analysis of the zonal hazards (single slope), that could be markedly different. Meteorological forecast are issued at UTC (for Italy: in winter time UTC+1: in summer time UTC+2).

Bulletin is subjected to check processes through: the record of Observers and Avalanches and snow Experts data in C-Sifa; the validation by forecasters; the certification by Meteomont Section.

MINISTERO DELLA DIFESA

meteomont
Servizio Nazionale di previsione neve e valanghe

EAWS EUROPEAN AVALANCHE WARNING SERVICES

CARABINIERI

ALPI RETICHE

WEATHER FORECAST FOR

Elevation		07/02/2026 h6:00	07/02/2026 h12:00	07/02/2026 h18:00
1000	Wind	01 Knots from North	00 Calm	01 Knots from N-East
	Temperatures	-03 °C	-02 °C	-02 °C
	Wind chill	-3 °C	-2 °C	-2 °C
2000	Wind	01 Knots from North	00 Calm	01 Knots from N-East
	Temperatures	-03 °C	-02 °C	-02 °C
	Wind chill	-3 °C	-2 °C	-2 °C
3000	Wind	00 Calm	01 Knots from East	01 Knots from North
	Temperatures	-09 °C	-09 °C	-08 °C
	Wind chill	-9 °C	-9 °C	-8 °C
Freezing level		1500-1700 m.	1600-1800 m.	1600-1800 m.
Atmospheric phenomenon		—	—	—
Keys to sky condition				

KEYS TO ATMOSPHERIC PHENOMENON

— Absence of adverse weather phenomena
Fog
Mist
Light rain
Moderate rain
Heavy rain
Thunderstorm
Weak snowfall
Moderate snowfall
Heavy snowfall

KEYS TO SKY CONDITION

Clear
Partly cloudy
Cloudy
Mostly cloudy
Overcast

Weather and snow data recorded during field and out of field obsevations on 06/02/2026.

Observation field	District	Elevation (m.a.s.l.)	Snow depth (cm)	Snowfall in previous 24 hours (cm)	Temp. Min (°C)	Temp. Max (°C)	General weather conditions
SPONDA	Livigno (SO)	2150	57	1	-7	+5	Intermittent light snow
BORMIO2000-LECCIONA	Valdisotto (SO)	2050	61	1	-3	+2	Absence of rain or other precipitation
DOSSO DEL VALLONE	Valfurva (SO)	2582	58	2	-9	+4	Intermittent light snow
SANTA APOLLONIA	Vezza d'Oglio (BS)	1599	33	2	N.P.	N.P.	Moderate snow
PREDA	Edolo (BS)	1580	41	2	-2	+2	Moderate snow
COLONIA VIGILI	Ponte di Legno (BS)	1640	64	3	-3	+5	Continuous light snow
PIZZO BELTOVO DI FUORI *	Stelvio (BZ)	3161	136	3	N.P.	N.P.	Absence of rain or other precipitation
PISTA STELVIO *	Valdisotto (SO)	2268	60	2	N.P.	N.P.	Continuous light snow

(*) Out of field survey

INFORMATION MEANS PREVENTION - SCAN QRCODE TO KNOW DAILY AVALANCHE DANGER LEVEL!

IL CAPO DEL CENTRO NAZIONALE METEOMONT
(Ten. Col. RFI Emanuela Gini)
FIRMA AUTOGRAFA OMESSA AI SENSI
DELL'ART.3 DEL D.LGS N.39/1993

According to EAWS standards Meteomont bulletin is a synoptic-scale system (regional scale). It shall be the user's responsibility to correlate the danger level evaluation of the bulletin with a detailed and expertise analysis of the zonal hazards (single slope), that could be markedly different. Meteorological forecast are issued at UTC (for Italy: in winter time UTC+1: in summer time UTC+2).

Bulletin is subjected to check processes through: the record of Observers and Avalanches and snow Experts data in C-Sifa; the validation by forecasters; the certification by Meteomont Section.