MINISTERO DELLA DIFESA

meteomont
Servizio Nazionale di previsione neve e valanghe

EAWS EUROPEAN AVALANCHE WARNING SERVICES

CARABINIERI

# ALPI COZIE NORD

Avalanche Bulletin N. 336/2026 issued at 14:00 on 05/02/2026
48 hours validity. Next issue on 06/02/2026
**By the METEOMONT Service of the ARMA dei CARABINIERI ITALY**
**In collaboration with Air Force Meteorological Service**

## Situation on 05/02/2026

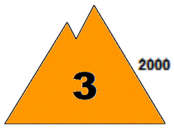


**DANGER PATTERNS: loose snow and wind.**




**DANGER PATTERNS: no distinct danger pattern.**

| Snow line (m.a.s.l.) | North | South |
|---|---|---|
| | 600 | 700 |

| Snow depth (cm) | ground snow | new snow | Elevation (m.a.s.l.) |
|---|---|---|---|
| | 138 | 000 | 2280 |
| | 086 | 000 | 1840 |

**REGISTERED AVALANCHES: No avalanches detected.**

## FORECAST 06/02/2026

# Danger level: CONSIDERABLE 3

## DANGER PATTERNS: loose snow and wind.




## DANGER PATTERNS: loose snow and wind.

**SNOWPACK: Snowpack stability is poor on many points (areas) above 2000 m.a.s.l. All are critical. medium avalanches are possible.**
**Snowpack stability is very poor on some points (areas) below 2000 m.a.s.l. All aspects are critical. Medium avalanches are possible.**

## WARNING

Due to observed wind activity, avoid accumulation zones, bowls, gullies, irregular slopes and leeward slopes in general.

## EUROPEAN AVALANCHE WARNING SERVICE

## AVALANCHE PROBLEMS

According to EAWS standards Meteomont bulletin is a synoptic-scale system (regional scale). It shall be the user's responsibility to correlate the danger level evaluation of the bulletin with a detailed and expertise analysis of the zonal hazards (single slope), that could be markedly different. Meteorological forecast are issued at UTC (for Italy: in winter time UTC+1: in summer time UTC+2).

Bulletin is subjected to check processes through: the record of Observers and Avalanches and snow Experts data in C-Sifa; the validation by forecasters; the certification by Meteomont Section.

# ALPI COZIE NORD

## WEATHER FORECAST FOR

| Elevation | | 06/02/2026 h6:00 | 06/02/2026 h12:00 | 06/02/2026 h18:00 |
|---|---|---|---|---|
| 1000 | Wind | 01 Knots from S-East | 02 Knots from N-West | 03 Knots from West |
| | Temperatures | +00 °C | +04 °C | +03 °C |
| | Wind chill | 0 °C | 4 °C | 2 °C |
| 2000 | Wind | 01 Knots from S-West | 05 Knots from N-West | 05 Knots from West |
| | Temperatures | -01 °C | +01 °C | +01 °C |
| | Wind chill | -1 °C | -2 °C | -2 °C |
| 3000 | Wind | 11 Knots from West | 13 Knots from West | 10 Knots from N-West |
| | Temperatures | -07 °C | -07 °C | -07 °C |
| | Wind chill | -14 °C | -15 °C | -14 °C |
| Freezing level | | 1100-1300 m. | 2000-2200 m. | 2000-2200 m. |
| Atmospheric phenomenon | | — | — | — |
| Keys to sky condition | | | | |

## KEYS TO ATMOSPHERIC PHENOMENON

— Absence of adverse weather phenomena
Fog
Mist
Light rain
Moderate rain
Heavy rain
Thunderstorm
Weak snowfall
Moderate snowfall
Heavy snowfall

## KEYS TO SKY CONDITION

Clear
Partly cloudy
Cloudy
Mostly cloudy
Overcast

## Weather and snow data recorded during field and out of field obsevations on 05/02/2026.

| Observation field | District | Elevation (m.a.s.l.) | Snow depth (cm) | Snowfall in previous 24 hours (cm) | Temp. Min (°C) | Temp. Max (°C) | General weather conditions |
|---|---|---|---|---|---|---|---|
| PRINCIPI | Sestriere (TO) | 2000 | 97 | 0 | -10 | +0 | Absence of rain or other precipitation |
| PRAGELATO | Pragelato (TO) | 1550 | 77 | 3 | -6 | 0 | Absence of rain or other precipitation |
| PRATO IN FIERA * | Meana di Susa (TO) | 2312 | 105 | 0 | N.P. | N.P. | Absence of rain or other precipitation |

(*) Out of field survey

**INFORMATION MEANS PREVENTION - SCAN QRCODE TO KNOW DAILY AVALANCHE DANGER LEVEL!**

IL CAPO DEL CENTRO NAZIONALE METEOMONT
(Ten. Col. RFI Emanuela Gini)
FIRMA AUTOGRAFA OMESSA AI SENSI
DELL'ART.3 DEL D.LGS N.39/1993

According to EAWS standards Meteomont bulletin is a synoptic-scale system (regional scale). It shall be the user's responsibility to correlate the danger level evaluation of the bulletin with a detailed and expertise analysis of the zonal hazards (single slope), that could be markedly different. Meteorological forecast are issued at UTC (for Italy: in winter time UTC+1: in summer time UTC+2).

Bulletin is subjected to check processes through: the record of Observers and Avalanches and snow Experts data in C-Sifa; the validation by forecasters; the certification by Meteomont Section.