MINISTERO DELLA DIFESA

meteomont
Servizio Nazionale di previsione neve e valanghe

EAWS EUROPEAN AVALANCHE WARNING SERVICES

CARABINIERI

APPENNINO EMILIANO CENTRALE

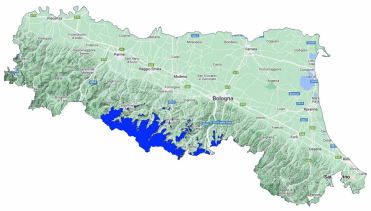

Avalanche Bulletin N. 310/2026 issued at 14:00 on 06/02/2026
48 hours validity. Next issue on 07/02/2026

By the METEOMONT Service of the ARMA dei CARABINIERI ITALY
In collaboration with Air Force Meteorological Service

Situation on 06/02/2026

DANGER PATTERNS: loose snow and wind.

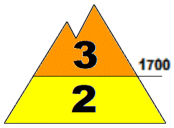

DANGER PATTERNS: rain on snow.

Snow line (m.a.s.l.)	North	South
	1100 - 1200	1300 - 1400

Snow depth (cm)	ground snow	new snow	Elevation (m.a.s.l.)
	115	004	1840
	061	004	1550

REGISTERED AVALANCHES: -.

FORECAST 07/02/2026

Danger level: CONSIDERABLE 3

DANGER PATTERNS: loose snow and wind.



DANGER PATTERNS: springtime situation.

SNOWPACK: Snowpack stability is poor on many points (areas) above 1700 m.a.s.l. All Northeast-facing slopes are critical. medium avalanches are possible.
Snowpack stability is poor on some points (areas) below 1700 m.a.s.l. All aspects are critical. Medium avalanches are possible.

WARNING

Due to current severe weather conditions, outdoor activities beyond the maintained and marked tracks are not advised.

EUROPEAN AVALANCHE WARNING SERVICE

AVALANCHE PROBLEMS

According to EAWS standards Meteomont bulletin is a synoptic-scale system (regional scale). It shall be the user's responsibility to correlate the danger level evaluation of the bulletin with a detailed and expertise analysis of the zonal hazards (single slope), that could be markedly different. Meteorological forecast are issued at UTC (for Italy: in winter time UTC+1: in summer time UTC+2).

Bulletin is subjected to check processes through: the record of Observers and Avalanches and snow Experts data in C-Sifa; the validation by forecasters; the certification by Meteomont Section.

APPENNINO EMILIANO CENTRALE

WEATHER FORECAST FOR

Elevation		07/02/2026 h6:00	07/02/2026 h12:00	07/02/2026 h18:00
1000	Wind	04 Knots from S-West	02 Knots from S-West	01 Knots from S-East
	Temperatures	+03 °C	+04 °C	+03 °C
	Wind chill	1 °C	4 °C	3 °C
2000	Wind	12 Knots from S-West	09 Knots from S-West	04 Knots from S-West
	Temperatures	-02 °C	-02 °C	-02 °C
	Wind chill	-8 °C	-7 °C	-5 °C
3000	Wind	05 Knots from N-West	04 Knots from West	04 Knots from West
	Temperatures	-07 °C	-08 °C	-09 °C
	Wind chill	-11 °C	-12 °C	-13 °C
Freezing level		1600-1800 m.	1600-1800 m.	1600-1800 m.
Atmospheric phenomenon		—	—	—
Keys to sky condition				

KEYS TO ATMOSPHERIC PHENOMENON

— Absence of adverse weather phenomena
Fog
Mist
Light rain
Moderate rain
Heavy rain
Thunderstorm
Weak snowfall
Moderate snowfall
Heavy snowfall

KEYS TO SKY CONDITION

Clear
Partly cloudy
Cloudy
Mostly cloudy
Overcast

Weather and snow data recorded during field and out of field obsevations on 06/02/2026.

Observation field	District	Elevation (m.a.s.l.)	Snow depth (cm)	Snowfall in previous 24 hours (cm)	Temp. Min (°C)	Temp. Max (°C)	General weather conditions
PASSO PRADARENA	Ventasso (RE)	1585	62	6	-1	+1	Fog with no visible sky
RIFUGIO CAVONE	Lizzano in Belvedere (BO)	1416	52	0	+1	+1	Intermittent light rain
LAGO DELLA NINFA	Sestola (MO)	1550	61	4	0	+2	Heavy or moderate rain and snow or drizzle
PIANA PISTA N 9 *	Riolunato (MO)	1741	115	4	N.P.	N.P.	Moderate snow
LE PRESE - MONTE CUSNA *	Villa Minozzo (RE)	1765	72	N.P.	N.P.	N.P.	Freezing rain

(*) Out of field survey

INFORMATION MEANS PREVENTION - SCAN QRCODE TO KNOW DAILY AVALANCHE DANGER LEVEL!

IL CAPO DEL CENTRO NAZIONALE METEOMONT
(Ten. Col. RFI Emanuela Gini)
FIRMA AUTOGRAFA OMESSA AI SENSI
DELL'ART.3 DEL D.LGS N.39/1993

According to EAWS standards Meteomont bulletin is a synoptic-scale system (regional scale). It shall be the user's responsibility to correlate the danger level evaluation of the bulletin with a detailed and expertise analysis of the zonal hazards (single slope), that could be markedly different. Meteorological forecast are issued at UTC (for Italy: in winter time UTC+1: in summer time UTC+2).

Bulletin is subjected to check processes through: the record of Observers and Avalanches and snow Experts data in C-Sifa; the validation by forecasters; the certification by Meteomont Section.