MINISTERO DELLA DIFESA

meteomont Servizio Nazionale di previsione neve e valanghe

EAWS EUROPEAN AVALANCHE WARNING SERVICES

CARABINIERI

In collaborazione con: MARCHE

APPENNINO UMBRO-MARCHIG. MERID. - MONTI SIBILLINI

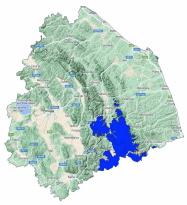

Avalanche Bulletin N. 291/2026 issued at 14:00 on 06/02/2026
48 hours validity. Next issue on 07/02/2026

By the METEOMONT Service of the ARMA dei CARABINIERI ITALY
In collaboration with Air Force Meteorological Service

Situation on 06/02/2026

DANGER PATTERNS: loose snow and wind.

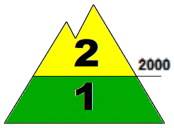



DANGER PATTERNS: rain on snow.

Snow line (m.a.s.l.)	North	South
	1500	1700

Snow depth (cm)	ground snow	new snow	Elevation (m.a.s.l.)
	80-140	10 - 15	2100
	30 -50	005 - 010	1700

REGISTERED AVALANCHES: No avalanches detected.

FORECAST 07/02/2026

Danger level: MODERATE 2

DANGER PATTERNS: loose snow and wind.

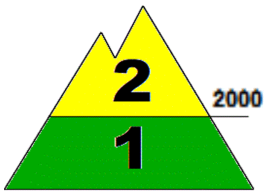



DANGER PATTERNS: rain on snow.

SNOWPACK: Snowpack stability is moderate on some points (areas) above 2000 m.a.s.l. All aspects are critical. medium avalanches are possible.
Snowpack stability is moderate on few points (areas) below 2000 m.a.s.l. All Isolated slopes are critical. Small avalanches are possible.

WARNING

Meteomont recommends that you to always carry ARTVA, probe and shovel.

EUROPEAN AVALANCHE WARNING SERVICE

5 - VERY HIGH | 4 - HIGH | 3 - CONSIDERABLE | 2 - MODERATE | 1 - LOW | NO SNOW | NO INFO

AVALANCHE PROBLEMS

NEW SNOW | WIND - DRIFTED SNOW | PERSISTENT WEAK LAYERS | WET SNOW | GLIDING SNOW | SNOW CORNICES | NO EVIDENT AVALANCHE PROBLEM. | NO INFO

According to EAWS standards Meteomont bulletin is a synoptic-scale system (regional scale). It shall be the user's responsibility to correlate the danger level evaluation of the bulletin with a detailed and expertise analysis of the zonal hazards (single slope), that could be markedly different. Meteorological forecast are issued at UTC (for Italy: in winter time UTC+1: in summer time UTC+2).

Bulletin is subjected to check processes through: the record of Observers and Avalanches and snow Experts data in C-Sifa; the validation by forecasters; the certification by Meteomont Section.

MINISTERO DELLA DIFESA

meteomont
Servizio Nazionale di previsione neve e valanghe

EAWS EUROPEAN AVALANCHE WARNING SERVICES

CARABINIERI

In collaborazione con: MARCHE

APPENNINO UMBRO-MARCHIG. MERID. - MONTI SIBILLINI

WEATHER FORECAST FOR

Elevation		07/02/2026 h6:00	07/02/2026 h12:00	07/02/2026 h18:00
1000	Wind	03 Knots from S-West	03 Knots from S-West	02 Knots from West
	Temperatures	+01 °C	+03 °C	+01 °C
	Wind chill	-1 °C	2 °C	1 °C
2000	Wind	07 Knots from S-West	06 Knots from S-West	05 Knots from West
	Temperatures	-02 °C	-02 °C	-02 °C
	Wind chill	-6 °C	-6 °C	-5 °C
3000	Wind	11 Knots from West	09 Knots from West	10 Knots from West
	Temperatures	-07 °C	-07 °C	-08 °C
	Wind chill	-14 °C	-13 °C	-15 °C
Freezing level		1700-1900 m.	1700-1900 m.	1700-1900 m.
Atmospheric phenomenon			—	
Keys to sky condition				

KEYS TO ATMOSPHERIC PHENOMENON

Absence of adverse weather phenomena — Fog — Mist — Light rain — Moderate rain — Heavy rain — Thunderstorm

Weak snowfall — Moderate snowfall — Heavy snowfall

KEYS TO SKY CONDITION

Clear — Partly cloudy — Cloudy — Mostly cloudy — Overcast

Weather and snow data recorded during field and out of field obsevations on 06/02/2026.

Observation field	District	Elevation (m.a.s.l.)	Snow depth (cm)	Snowfall in previous 24 hours (cm)	Temp. Min (°C)	Temp. Max (°C)	General weather conditions
FORCA DI GUALDO	Castelsantangelo sul Nera (MC)	1496	39 cm of fresh snow mixed with rain	10 cm of fresh snow mixed with rain	-1	+3	Intermittent light rain
LA VALLETTA	Bolognola (MC)	1352	0	0	+2	+5	Absence of rain or other precipitation
COLLE	Montegallo (AP)	1036	0	0	+0	+8	Absence of rain or other precipitation
PARCO GUARNIERI	Montemonaco (AP)	980	0	0	-1	+8	Light rain
RIFUGIO PERUGIA	Norcia (PG)	1500	2	2	N.P.	N.P.	Fog with no visible sky
FRONTIGNANO *	Ussita (MC)	1696	29	4	-2	+3	Light rain

(*) Out of field survey

INFORMATION MEANS PREVENTION - SCAN QRCODE TO KNOW DAILY AVALANCHE DANGER LEVEL!

IL CAPO DEL CENTRO NAZIONALE METEOMONT
(Ten. Col. RFI Emanuela Gini)
FIRMA AUTOGRAFA OMESSA AI SENSI
DELL'ART.3 DEL D.LGS N.39/1993

According to EAWS standards Meteomont bulletin is a synoptic-scale system (regional scale). It shall be the user's responsibility to correlate the danger level evaluation of the bulletin with a detailed and expertise analysis of the zonal hazards (single slope), that could be markedly different. Meteorological forecast are issued at UTC (for Italy: in winter time UTC+1: in summer time UTC+2).

Bulletin is subjected to check processes through: the record of Observers and Avalanches and snow Experts data in C-Sifa; the validation by forecasters; the certification by Meteomont Section.