MINISTERO DELLA DIFESA

meteomont Servizio Nazionale di previsione neve e valanghe

EAWS EUROPEAN AVALANCHE WARNING SERVICES

CARABINIERI

MAJELLA

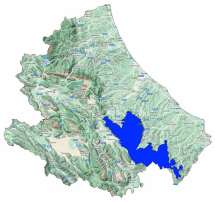

Avalanche Bulletin N. 325/2026 issued at 14:00 on 06/02/2026
48 hours validity. Next issue on 07/02/2026

By the METEOMONT Service of the ARMA dei CARABINIERI ITALY
In collaboration with Air Force Meteorological Service

Situation on 06/02/2026

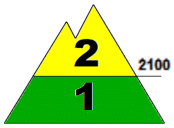

DANGER PATTERNS: no distinct danger pattern.



DANGER PATTERNS: rain on snow.

Snow line (m.a.s.l.)	North	South
	1500 - 1600	1800 - 1900

Snow depth (cm)	ground snow	new snow	Elevation (m.a.s.l.)
	216	010	2131
	015	000	1650

REGISTERED AVALANCHES: No avalanches detected.

FORECAST 07/02/2026

Danger level: MODERATE 2

DANGER PATTERNS: no distinct danger pattern.

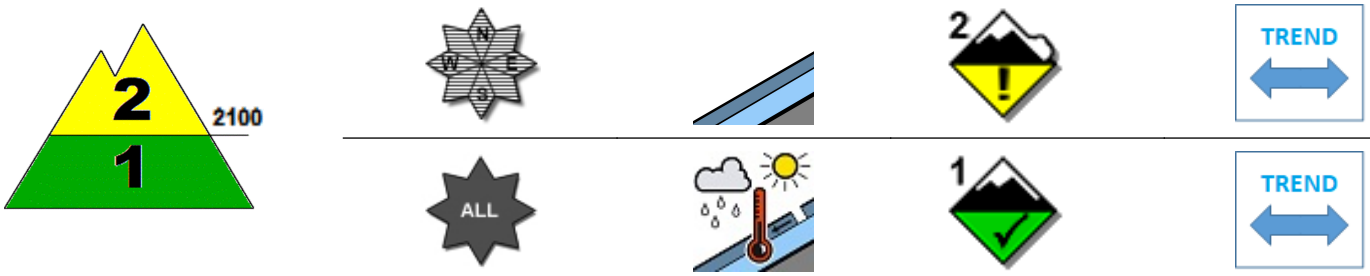

DANGER PATTERNS: springtime situation.

SNOWPACK: Snowpack stability is moderate on some points (areas) above 2100 m.a.s.l. All Isolated slopes are critical. medium avalanches are possible.
Snowpack stability is moderate on few points (areas) below 2100 m.a.s.l. All aspects are critical. Medium avalanches are possible.

WARNING

Due to current severe weather conditions and reduced visibility,route choice and evaluation will become difficult.

EUROPEAN AVALANCHE WARNING SERVICE

AVALANCHE PROBLEMS

According to EAWS standards Meteomont bulletin is a synoptic-scale system (regional scale). It shall be the user's responsibility to correlate the danger level evaluation of the bulletin with a detailed and expertise analysis of the zonal hazards (single slope), that could be markedly different. Meteorological forecast are issued at UTC (for Italy: in winter time UTC+1: in summer time UTC+2).

Bulletin is subjected to check processes through: the record of Observers and Avalanches and snow Experts data in C-Sifa; the validation by forecasters; the certification by Meteomont Section.

MINISTERO DELLA DIFESA

meteomont
Servizio Nazionale di previsione neve e valanghe

EAWS EUROPEAN AVALANCHE WARNING SERVICES

CARABINIERI

MAJELLA

WEATHER FORECAST FOR

Elevation		07/02/2026 h6:00	07/02/2026 h12:00	07/02/2026 h18:00
1000	Wind	03 Knots from S-West	03 Knots from S-West	03 Knots from S-West
	Temperatures	+01 °C	+02 °C	+01 °C
	Wind chill	-1 °C	0 °C	-1 °C
2000	Wind	07 Knots from S-West	07 Knots from S-West	06 Knots from S-West
	Temperatures	-01 °C	-01 °C	-01 °C
	Wind chill	-5 °C	-5 °C	-5 °C
3000	Wind	14 Knots from West	13 Knots from West	12 Knots from West
	Temperatures	-06 °C	-08 °C	-08 °C
	Wind chill	-14 °C	-16 °C	-16 °C
Freezing level		1800-2000 m.	1800-2000 m.	1800-2000 m.
Atmospheric phenomenon		—	—	—
Keys to sky condition				

KEYS TO ATMOSPHERIC PHENOMENON

— Absence of adverse weather phenomena
Fog
Mist
Light rain
Moderate rain
Heavy rain
Thunderstorm
Weak snowfall
Moderate snowfall
Heavy snowfall

KEYS TO SKY CONDITION

Clear
Partly cloudy
Cloudy
Mostly cloudy
Overcast

Weather and snow data recorded during field and out of field obsevations on 06/02/2026.

Observation field	District	Elevation (m.a.s.l.)	Snow depth (cm)	Snowfall in previous 24 hours (cm)	Temp. Min (°C)	Temp. Max (°C)	General weather conditions
QUARTARANA	Campo di Giove (AQ)	1200	0	0	+1	+9	Light rain
PASSOLANCIANO	Lettomanoppello (PE)	1300	4	0	+1	+7	Intermittent light rain
VALICO DELLA FORCHETTA	Palena (CH)	1270	0	0	+1	+7	Absence of rain or other precipitation
VALLE DEL SOLE	Pizzoferrato (CH)	1440	0	0	N.P.	N.P.	Absence of rain or other precipitation
MAIELETTA MAMMA ROSA	Pretoro (CH)	1650	15	0	-4	+4	Absence of rain or other precipitation
RAVA DELLA VESPA *	Sant'Eufemia a Maiella (PE)	2017	216	10	N.P.	N.P.	Precipitation on the horizon

(*) Out of field survey

INFORMATION MEANS PREVENTION - SCAN QRCODE TO KNOW DAILY AVALANCHE DANGER LEVEL!

IL CAPO DEL CENTRO NAZIONALE METEOMONT
(Ten. Col. RFI Emanuela Gini)
FIRMA AUTOGRAFA OMESSA AI SENSI
DELL'ART.3 DEL D.LGS N.39/1993

According to EAWS standards Meteomont bulletin is a synoptic-scale system (regional scale). It shall be the user's responsibility to correlate the danger level evaluation of the bulletin with a detailed and expertise analysis of the zonal hazards (single slope), that could be markedly different. Meteorological forecast are issued at UTC (for Italy: in winter time UTC+1: in summer time UTC+2).

Bulletin is subjected to check processes through: the record of Observers and Avalanches and snow Experts data in C-Sifa; the validation by forecasters; the certification by Meteomont Section.