MINISTERO DELLA DIFESA

meteomont
Servizio Nazionale di previsione neve e valanghe

EAWS EUROPEAN AVALANCHE WARNING SERVICES

CARABINIERI

P.N. ABRUZZO

Avalanche Bulletin N. 294/2026 issued at 14:00 on 07/02/2026
48 hours validity. Next issue on 08/02/2026

By the METEOMONT Service of the ARMA dei CARABINIERI ITALY
In collaboration with Air Force Meteorological Service

Situation on 07/02/2026

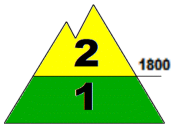

DANGER PATTERNS: loose snow and wind.



DANGER PATTERNS: springtime situation.

Snow line (m.a.s.l.)	North	South
	1500 - 1600	1800 - 1900

Snow depth (cm)	ground snow	new snow	Elevation (m.a.s.l.)
	035	000	1480
	020	000	1470

REGISTERED AVALANCHES: No avalanches detected.

FORECAST 08/02/2026

Danger level: MODERATE 2

DANGER PATTERNS: loose snow and wind.



DANGER PATTERNS: rain on snow.

SNOWPACK: Snowpack stability is moderate on some points (areas) above 1700 m.a.s.l. All Northeast-facing slopes are critical. medium avalanches are possible.
Snowpack stability is moderate on some points (areas) below 1700 m.a.s.l. All Isolated slopes are critical. Small avalanches are possible.

WARNING

Due to the forecast of severe weather conditions and reduced visibility forecast,route choice and evaluation will become difficult.

EUROPEAN AVALANCHE WARNING SERVICE

AVALANCHE PROBLEMS

According to EAWS standards Meteomont bulletin is a synoptic-scale system (regional scale). It shall be the user's responsibility to correlate the danger level evaluation of the bulletin with a detailed and expertise analysis of the zonal hazards (single slope), that could be markedly different. Meteorological forecast are issued at UTC (for Italy: in winter time UTC+1: in summer time UTC+2).

Bulletin is subjected to check processes through: the record of Observers and Avalanches and snow Experts data in C-Sifa; the validation by forecasters; the certification by Meteomont Section.

P.N. ABRUZZO

WEATHER FORECAST FOR

Elevation		08/02/2026 h6:00	08/02/2026 h12:00	08/02/2026 h18:00
1000	Wind	01 Knots from S-West	03 Knots from S-West	01 Knots from South
	Temperatures	+01 °C	+03 °C	+01 °C
	Wind chill	1 °C	2 °C	1 °C
2000	Wind	04 Knots from West	06 Knots from S-West	05 Knots from S-West
	Temperatures	-03 °C	-02 °C	-02 °C
	Wind chill	-6 °C	-6 °C	-5 °C
3000	Wind	13 Knots from West	10 Knots from West	08 Knots from S-West
	Temperatures	-05 °C	-06 °C	-06 °C
	Wind chill	-12 °C	-13 °C	-12 °C
Freezing level		1500-1700 m.	1700-1900 m.	1500-1700 m.
Atmospheric phenomenon		—	—	
Keys to sky condition				

KEYS TO ATMOSPHERIC PHENOMENON

— Absence of adverse weather phenomena
Fog
Mist
Light rain
Moderate rain
Heavy rain
Thunderstorm
Weak snowfall
Moderate snowfall
Heavy snowfall

KEYS TO SKY CONDITION

Clear
Partly cloudy
Cloudy
Mostly cloudy
Overcast

Weather and snow data recorded during field and out of field obsevations on 07/02/2026.

Observation field	District	Elevation (m.a.s.l.)	Snow depth (cm)	Snowfall in previous 24 hours (cm)	Temp. Min (°C)	Temp. Max (°C)	General weather conditions
FORCA D'ACERO	Pescasseroli (AQ)	1480	35	0	0	+9	Absence of rain or other precipitation
VALLE GELATA	Pescocostanzo (AQ)	1466	0	0	+4	+10	Absence of rain or other precipitation
COPPO DELL'ORSO	Villetta Barrea (AQ)	1520	18	0	-2	+2	Absence of rain or other precipitation
LA PESCINA	Rivisondoli (AQ)	1470	20	0	0	+6	Absence of rain or other precipitation
PIANO AREMOGNA	Roccaraso (AQ)	1456	0	0	+3	+7	Absence of rain or other precipitation

(*) Out of field survey

INFORMATION MEANS PREVENTION - SCAN QRCODE TO KNOW DAILY AVALANCHE DANGER LEVEL!

IL CAPO DEL CENTRO NAZIONALE METEOMONT
(Ten. Col. RFI Emanuela Gini)
FIRMA AUTOGRAFA OMESSA AI SENSI
DELL'ART.3 DEL D.LGS N.39/1993

According to EAWS standards Meteomont bulletin is a synoptic-scale system (regional scale). It shall be the user's responsibility to correlate the danger level evaluation of the bulletin with a detailed and expertise analysis of the zonal hazards (single slope), that could be markedly different. Meteorological forecast are issued at UTC (for Italy: in winter time UTC+1: in summer time UTC+2).

Bulletin is subjected to check processes through: the record of Observers and Avalanches and snow Experts data in C-Sifa; the validation by forecasters; the certification by Meteomont Section.