MINISTERO DELLA DIFESA

meteomont
Servizio Nazionale di previsione neve e valanghe

EAWS EUROPEAN AVALANCHE WARNING SERVICES

CARABINIERI

MAINARDE-ALTO MOLISE

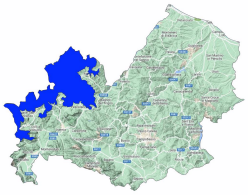

Avalanche Bulletin N. 287/2026 issued at 14:00 on 06/02/2026
48 hours validity. Next issue on 07/02/2026

By the METEOMONT Service of the ARMA dei CARABINIERI ITALY
In collaboration with Air Force Meteorological Service

Situation on 06/02/2026

DANGER PATTERNS: rain on snow.

Snow line (m.a.s.l.)	North	South
	1600 - 1700	1700 - 1800

Snow depth (cm)	ground snow	new snow	Elevation (m.a.s.l.)
	010	000	1600

REGISTERED AVALANCHES: -.

FORECAST 07/02/2026

Danger level: LOW 1

DANGER PATTERNS: no distinct danger pattern.



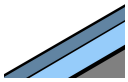

SNOWPACK: Snowpack stability is moderate on few points (areas) for Isolated slopes, medium avalanches are possible.

WARNING

Due to current severe weather conditions and reduced visibility,route choice and evaluation will become difficult.

EUROPEAN AVALANCHE WARNING SERVICE

5 - VERY HIGH

4 - HIGH

3 - CONSIDERABLE

2 - MODERATE

1 - LOW

NO SNOW

NO INFO

AVALANCHE PROBLEMS

NEW SNOW

WIND - DRIFTED SNOW

PERSISTENT WEAK LAYERS

WET SNOW

GLIDING SNOW

SNOW CORNICES

NO EVIDENT AVALANCHE PROBLEM.

NO INFO

According to EAWS standards Meteomont bulletin is a synoptic-scale system (regional scale). It shall be the user's responsibility to correlate the danger level evaluation of the bulletin with a detailed and expertise analysis of the zonal hazards (single slope), that could be markedly different. Meteorological forecast are issued at UTC (for Italy: in winter time UTC+1: in summer time UTC+2).

Bulletin is subjected to check processes through: the record of Observers and Avalanches and snow Experts data in C-Sifa; the validation by forecasters; the certification by Meteomont Section.

MINISTERO DELLA DIFESA

meteomont
Servizio Nazionale di previsione neve e valanghe

EAWS EUROPEAN AVALANCHE WARNING SERVICES

CARABINIERI

MAINARDE-ALTO MOLISE

WEATHER FORECAST FOR

Elevation		07/02/2026 h6:00	07/02/2026 h12:00	07/02/2026 h18:00
1000	Wind	05 Knots from West	04 Knots from West	03 Knots from West
	Temperatures	+03 °C	+04 °C	+04 °C
	Wind chill	0 °C	2 °C	3 °C
2000	Wind	14 Knots from West	13 Knots from West	11 Knots from West
	Temperatures	-02 °C	-02 °C	-01 °C
	Wind chill	-9 °C	-8 °C	-7 °C
3000	Wind	15 Knots from West	20 Knots from West	14 Knots from West
	Temperatures	-04 °C	-06 °C	-07 °C
	Wind chill	-11 °C	-15 °C	-15 °C
Freezing level		1600-1800 m.	1700-1900 m.	1700-1900 m.
Atmospheric phenomenon			—	
Keys to sky condition				

KEYS TO ATMOSPHERIC PHENOMENON

Absence of adverse weather phenomena — Fog — Mist — Light rain — Moderate rain — Heavy rain — Thunderstorm

Weak snowfall — Moderate snowfall — Heavy snowfall

KEYS TO SKY CONDITION

Clear — Partly cloudy — Cloudy — Mostly cloudy — Overcast

Weather and snow data recorded during field and out of field obsevations on 06/02/2026.

Observation field	District	Elevation (m.a.s.l.)	Snow depth (cm)	Snowfall in previous 24 hours (cm)	Temp. Min (°C)	Temp. Max (°C)	General weather conditions
PRATO GENTILE	Capracotta (IS)	1490	0	0	+1	+7	Intermittent light rain
PESCOPENNATARO	Pescopennataro (IS)	1220	0	0	+3	+11	Absence of rain or other precipitation

(*) Out of field survey

INFORMATION MEANS PREVENTION - SCAN QRCODE TO KNOW DAILY AVALANCHE DANGER LEVEL!

IL CAPO DEL CENTRO NAZIONALE METEOMONT
(Ten. Col. RFI Emanuela Gini)
FIRMA AUTOGRAFA OMESSA AI SENSI
DELL'ART.3 DEL D.LGS N.39/1993

According to EAWS standards Meteomont bulletin is a synoptic-scale system (regional scale). It shall be the user's responsibility to correlate the danger level evaluation of the bulletin with a detailed and expertise analysis of the zonal hazards (single slope), that could be markedly different. Meteorological forecast are issued at UTC (for Italy: in winter time UTC+1: in summer time UTC+2).

Bulletin is subjected to check processes through: the record of Observers and Avalanches and snow Experts data in C-Sifa; the validation by forecasters; the certification by Meteomont Section.