MINISTERO DELLA DIFESA

meteomont
Servizio Nazionale di previsione neve e valanghe

EAWS EUROPEAN AVALANCHE WARNING SERVICES

CARABINIERI

# MONTI SIMBRUINI E META

Avalanche Bulletin N. 272/2026 issued at 14:00 on 06/02/2026
48 hours validity. Next issue on 07/02/2026

**By the METEOMONT Service of the ARMA dei CARABINIERI ITALY**
**In collaboration with Air Force Meteorological Service**

## Situation on 06/02/2026

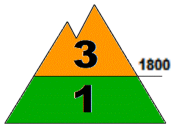


**DANGER PATTERNS: loose snow and wind.**

**DANGER PATTERNS: rain on snow.**

| Snow line (m.a.s.l.) | North | South |
|---|---|---|
| | 1500 - 1600 | 1600 - 1700 |

| Snow depth (cm) | ground snow | new snow | Elevation (m.a.s.l.) |
|---|---|---|---|
| | 073 | 001 | 1790 |
| | 010 | 000 | 1430 |

**REGISTERED AVALANCHES: No avalanches detected.**

## FORECAST 07/02/2026

# Danger level: MODERATE 2

## DANGER PATTERNS: buried graupel.

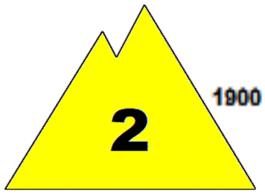


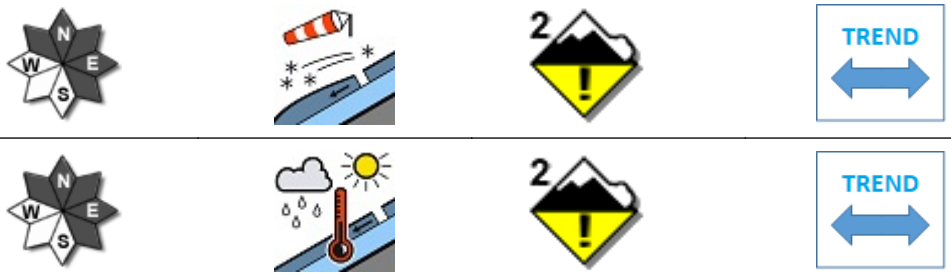


## DANGER PATTERNS: rain on snow.

**SNOWPACK: Snowpack stability is poor on some points (areas) above 1900 m.a.s.l. All are critical. medium avalanches are possible.**
**Snowpack stability is poor on few points (areas) below 1900 m.a.s.l. All are critical. Medium avalanches are possible.**

## WARNING

Due to the forecast of severe weather conditions and reduced visibility forecast,route choice and evaluation will become difficult.

## EUROPEAN AVALANCHE WARNING SERVICE

## AVALANCHE PROBLEMS

According to EAWS standards Meteomont bulletin is a synoptic-scale system (regional scale). It shall be the user's responsibility to correlate the danger level evaluation of the bulletin with a detailed and expertise analysis of the zonal hazards (single slope), that could be markedly different. Meteorological forecast are issued at UTC (for Italy: in winter time UTC+1: in summer time UTC+2).

Bulletin is subjected to check processes through: the record of Observers and Avalanches and snow Experts data in C-Sifa; the validation by forecasters; the certification by Meteomont Section.

# MONTI SIMBRUINI E META

## WEATHER FORECAST FOR

| Elevation | | 07/02/2026 h6:00 | 07/02/2026 h12:00 | 07/02/2026 h18:00 |
|---|---|---|---|---|
| 1000 | Wind | 04 Knots from S-West | 04 Knots from S-West | 04 Knots from S-West |
| | Temperatures | +02 °C | +03 °C | +03 °C |
| | Wind chill | -0 °C | 1 °C | 1 °C |
| 2000 | Wind | 09 Knots from West | 11 Knots from S-West | 12 Knots from West |
| | Temperatures | -02 °C | -01 °C | -01 °C |
| | Wind chill | -7 °C | -7 °C | -7 °C |
| 3000 | Wind | 11 Knots from West | 15 Knots from West | 13 Knots from West |
| | Temperatures | -07 °C | -07 °C | -08 °C |
| | Wind chill | -14 °C | -15 °C | -16 °C |
| Freezing level | | 1500-1700 m. | 1600-1800 m. | 1700-1900 m. |
| Atmospheric phenomenon | | | | |
| Keys to sky condition | | | | |

## KEYS TO ATMOSPHERIC PHENOMENON

Absence of adverse weather phenomena · Fog · Mist · Light rain · Moderate rain · Heavy rain · Thunderstorm · Weak snowfall · Moderate snowfall · Heavy snowfall

## KEYS TO SKY CONDITION

Clear · Partly cloudy · Cloudy · Mostly cloudy · Overcast

## Weather and snow data recorded during field and out of field obsevations on 06/02/2026.

| Observation field | District | Elevation (m.a.s.l.) | Snow depth (cm) | Snowfall in previous 24 hours (cm) | Temp. Min (°C) | Temp. Max (°C) | General weather conditions |
|---|---|---|---|---|---|---|---|
| PRATI DI MEZZO | Picinisco (FR) | 1430 | 10 | 0 | +2 | +3 | Light rain |
| CAMPO DELL'OSSO | Subiaco (RM) | 1550 | 25 | 0 | +3 | +4 | Moderate rain |
| C.STAFFI | Filettino (FR) | 1780 | 62 | 0 | 0 | +3 | Moderate rain |
| CAMPO CATINO | Guarcino (FR) | 1790 | 73 | 1 cm of fresh snow mixed with rain | -2 | +3 | Heavy or moderate rain and snow or drizzle |

(*) Out of field survey

**INFORMATION MEANS PREVENTION - SCAN QRCODE TO KNOW DAILY AVALANCHE DANGER LEVEL!**

IL CAPO DEL CENTRO NAZIONALE METEOMONT
(Ten. Col. RFI Emanuela Gini)
FIRMA AUTOGRAFA OMESSA AI SENSI
DELL'ART.3 DEL D.LGS N.39/1993

According to EAWS standards Meteomont bulletin is a synoptic-scale system (regional scale). It shall be the user's responsibility to correlate the danger level evaluation of the bulletin with a detailed and expertise analysis of the zonal hazards (single slope), that could be markedly different. Meteorological forecast are issued at UTC (for Italy: in winter time UTC+1: in summer time UTC+2).

Bulletin is subjected to check processes through: the record of Observers and Avalanches and snow Experts data in C-Sifa; the validation by forecasters; the certification by Meteomont Section.