MINISTERO DELLA DIFESA

meteomont
Servizio Nazionale di previsione neve e valanghe

EAWS EUROPEAN AVALANCHE WARNING SERVICES

CARABINIERI

MONTI SIMBRUINI E META

Avalanche Bulletin N. 272/2026 issued at 14:00 on 06/02/2026
48 hours validity. Next issue on 07/02/2026

By the METEOMONT Service of the ARMA dei CARABINIERI ITALY
In collaboration with Air Force Meteorological Service

Situation on 06/02/2026

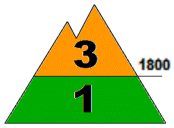

DANGER PATTERNS: loose snow and wind.

DANGER PATTERNS: rain on snow.

Snow line (m.a.s.l.)	North	South
	1500 - 1600	1600 - 1700

Snow depth (cm)	ground snow	new snow	Elevation (m.a.s.l.)
	073	001	1790
	010	000	1430

REGISTERED AVALANCHES: No avalanches detected.

FORECAST 07/02/2026

Danger level: MODERATE 2

DANGER PATTERNS: buried graupel.

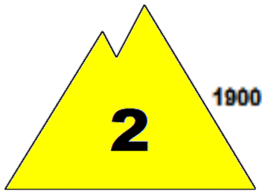

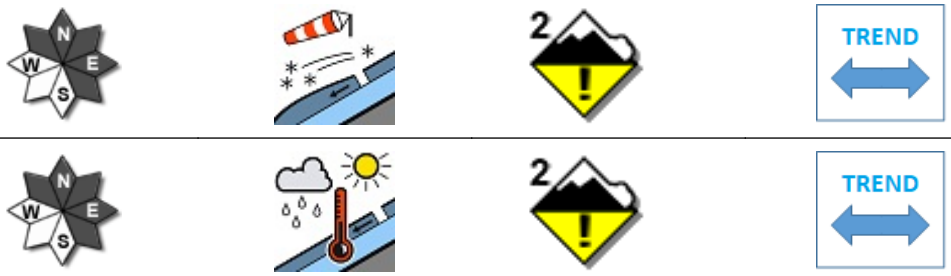

DANGER PATTERNS: rain on snow.

SNOWPACK: Snowpack stability is poor on some points (areas) above 1900 m.a.s.l. All are critical. medium avalanches are possible.
Snowpack stability is poor on few points (areas) below 1900 m.a.s.l. All are critical. Medium avalanches are possible.

WARNING

Due to the forecast of severe weather conditions and reduced visibility forecast,route choice and evaluation will become difficult.

EUROPEAN AVALANCHE WARNING SERVICE

AVALANCHE PROBLEMS

According to EAWS standards Meteomont bulletin is a synoptic-scale system (regional scale). It shall be the user's responsibility to correlate the danger level evaluation of the bulletin with a detailed and expertise analysis of the zonal hazards (single slope), that could be markedly different. Meteorological forecast are issued at UTC (for Italy: in winter time UTC+1: in summer time UTC+2).

Bulletin is subjected to check processes through: the record of Observers and Avalanches and snow Experts data in C-Sifa; the validation by forecasters; the certification by Meteomont Section.

MONTI SIMBRUINI E META

WEATHER FORECAST FOR

Elevation		07/02/2026 h6:00	07/02/2026 h12:00	07/02/2026 h18:00
1000	Wind	04 Knots from S-West	04 Knots from S-West	04 Knots from S-West
	Temperatures	+02 °C	+03 °C	+03 °C
	Wind chill	-0 °C	1 °C	1 °C
2000	Wind	09 Knots from West	11 Knots from S-West	12 Knots from West
	Temperatures	-02 °C	-01 °C	-01 °C
	Wind chill	-7 °C	-7 °C	-7 °C
3000	Wind	11 Knots from West	15 Knots from West	13 Knots from West
	Temperatures	-07 °C	-07 °C	-08 °C
	Wind chill	-14 °C	-15 °C	-16 °C
Freezing level		1500-1700 m.	1600-1800 m.	1700-1900 m.
Atmospheric phenomenon				
Keys to sky condition				

KEYS TO ATMOSPHERIC PHENOMENON

Absence of adverse weather phenomena · Fog · Mist · Light rain · Moderate rain · Heavy rain · Thunderstorm · Weak snowfall · Moderate snowfall · Heavy snowfall

KEYS TO SKY CONDITION

Clear · Partly cloudy · Cloudy · Mostly cloudy · Overcast

Weather and snow data recorded during field and out of field obsevations on 06/02/2026.

Observation field	District	Elevation (m.a.s.l.)	Snow depth (cm)	Snowfall in previous 24 hours (cm)	Temp. Min (°C)	Temp. Max (°C)	General weather conditions
PRATI DI MEZZO	Picinisco (FR)	1430	10	0	+2	+3	Light rain
CAMPO DELL'OSSO	Subiaco (RM)	1550	25	0	+3	+4	Moderate rain
C.STAFFI	Filettino (FR)	1780	62	0	0	+3	Moderate rain
CAMPO CATINO	Guarcino (FR)	1790	73	1 cm of fresh snow mixed with rain	-2	+3	Heavy or moderate rain and snow or drizzle

(*) Out of field survey

INFORMATION MEANS PREVENTION - SCAN QRCODE TO KNOW DAILY AVALANCHE DANGER LEVEL!

IL CAPO DEL CENTRO NAZIONALE METEOMONT
(Ten. Col. RFI Emanuela Gini)
FIRMA AUTOGRAFA OMESSA AI SENSI
DELL'ART.3 DEL D.LGS N.39/1993

According to EAWS standards Meteomont bulletin is a synoptic-scale system (regional scale). It shall be the user's responsibility to correlate the danger level evaluation of the bulletin with a detailed and expertise analysis of the zonal hazards (single slope), that could be markedly different. Meteorological forecast are issued at UTC (for Italy: in winter time UTC+1: in summer time UTC+2).

Bulletin is subjected to check processes through: the record of Observers and Avalanches and snow Experts data in C-Sifa; the validation by forecasters; the certification by Meteomont Section.