MINISTERO DELLA DIFESA

meteomont
Servizio Nazionale di previsione neve e valanghe

EAWS EUROPEAN AVALANCHE WARNING SERVICES

CARABINIERI

ALPI RETICHE

Avalanche Bulletin N. 341/2026 issued at 14:00 on 08/02/2026
48 hours validity. Next issue on 09/02/2026

By the METEOMONT Service of the ARMA dei CARABINIERI ITALY
In collaboration with Air Force Meteorological Service

Situation on 08/02/2026

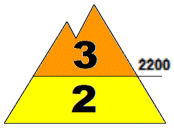

DANGER PATTERNS: buried surface hoar.

DANGER PATTERNS: loose snow and wind.

Snow line (m.a.s.l.)	North	South
	900 - 1100	1100 - 1300

Snow depth (cm)	ground snow	new snow	Elevation (m.a.s.l.)
	59	000	2582
	58	000	1640

REGISTERED AVALANCHES: Some medium avalanches, Full-depth loose snow avalanches.

FORECAST 09/02/2026

Danger level: CONSIDERABLE 3

DANGER PATTERNS: buried surface hoar.

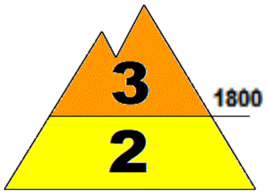

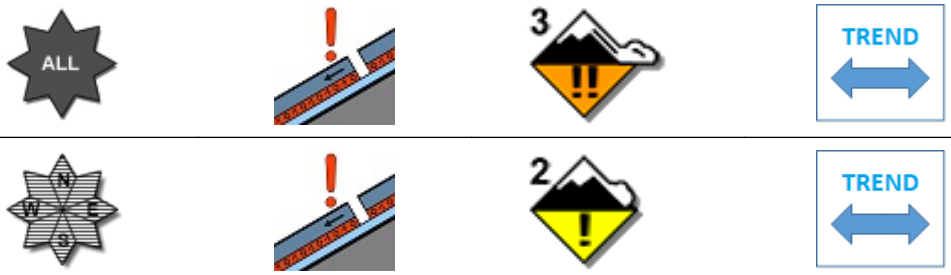

DANGER PATTERNS: shallow snow next to deep snow.

SNOWPACK: Snowpack stability is poor on many points (areas) above 1800 m.a.s.l. All aspects are critical. medium avalanches are possible.
Snowpack stability is poor on some points (areas) below 1800 m.a.s.l. All Isolated slopes are critical. Medium avalanches are possible.

WARNING

Due to the snow cover conditions,outdoor activities beyond the maintained and marked tracks require an excellent evaluation of local danger points.

EUROPEAN AVALANCHE WARNING SERVICE

AVALANCHE PROBLEMS

According to EAWS standards Meteomont bulletin is a synoptic-scale system (regional scale). It shall be the user's responsibility to correlate the danger level evaluation of the bulletin with a detailed and expertise analysis of the zonal hazards (single slope), that could be markedly different. Meteorological forecast are issued at UTC (for Italy: in winter time UTC+1: in summer time UTC+2).

Bulletin is subjected to check processes through: the record of Observers and Avalanches and snow Experts data in C-Sifa; the validation by forecasters; the certification by Meteomont Section.

MINISTERO DELLA DIFESA

meteomont
Servizio Nazionale di previsione neve e valanghe

EAWS EUROPEAN AVALANCHE WARNING SERVICES

CARABINIERI

ALPI RETICHE

WEATHER FORECAST FOR

Elevation		09/02/2026 h6:00	09/02/2026 h12:00	09/02/2026 h18:00
1000	Wind	00 Calm	00 Calm	01 Knots from North
	Temperatures	-03 °C	-04 °C	-04 °C
	Wind chill	-3 °C	-4 °C	-4 °C
2000	Wind	00 Calm	00 Calm	01 Knots from North
	Temperatures	-03 °C	-04 °C	-04 °C
	Wind chill	-3 °C	-4 °C	-4 °C
3000	Wind	01 Knots from South	03 Knots from S-West	02 Knots from S-West
	Temperatures	-10 °C	-10 °C	-10 °C
	Wind chill	-10 °C	-13 °C	-10 °C
Freezing level		0800-1000 m.	0900-1100 m.	1000-1200 m.
Atmospheric phenomenon		—	—	
Keys to sky condition				

KEYS TO ATMOSPHERIC PHENOMENON

— Absence of adverse weather phenomena
Fog
Mist
Light rain
Moderate rain
Heavy rain
Thunderstorm
Weak snowfall
Moderate snowfall
Heavy snowfall

KEYS TO SKY CONDITION

Clear
Partly cloudy
Cloudy
Mostly cloudy
Overcast

Weather and snow data recorded during field and out of field obsevations on 08/02/2026.

Observation field	District	Elevation (m.a.s.l.)	Snow depth (cm)	Snowfall in previous 24 hours (cm)	Temp. Min (°C)	Temp. Max (°C)	General weather conditions
SPONDA	Livigno (SO)	2150	53	0	-13	+5	Absence of rain or other precipitation
BORMIO2000-LECCIONA	Valdisotto (SO)	2050	57	0	-9	+5	Absence of rain or other precipitation
VALAR	Valdidentro (SO)	1930	60	0	-12	+7	Absence of rain or other precipitation
DOSSO DEL VALLONE	Valfurva (SO)	2582	59	0	-13	+1	Absence of rain or other precipitation
COLONIA VIGILI	Ponte di Legno (BS)	1640	58	0	-6	+1	Absence of rain or other precipitation
PISTA STELVIO *	Valdisotto (SO)	2220	63	0	N.P.	N.P.	Absence of rain or other precipitation
MONTE CARDINE *	Madesimo (SO)	2165	142	0	N.P.	N.P.	Absence of rain or other precipitation

(*) Out of field survey

INFORMATION MEANS PREVENTION - SCAN QRCODE TO KNOW DAILY AVALANCHE DANGER LEVEL!

IL CAPO DEL CENTRO NAZIONALE METEOMONT
(Ten. Col. RFI Emanuela Gini)
FIRMA AUTOGRAFA OMESSA AI SENSI
DELL'ART.3 DEL D.LGS N.39/1993

According to EAWS standards Meteomont bulletin is a synoptic-scale system (regional scale). It shall be the user's responsibility to correlate the danger level evaluation of the bulletin with a detailed and expertise analysis of the zonal hazards (single slope), that could be markedly different. Meteorological forecast are issued at UTC (for Italy: in winter time UTC+1: in summer time UTC+2).

Bulletin is subjected to check processes through: the record of Observers and Avalanches and snow Experts data in C-Sifa; the validation by forecasters; the certification by Meteomont Section.