TERMINILLO MONTI REATINI E LAGA OVEST

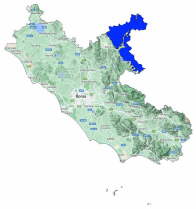

Avalanche Bulletin N. 280/2026 issued at 14:00 on 07/02/2026
48 hours validity. Next issue on 08/02/2026
By the METEOMONT Service of the ARMA dei CARABINIERI ITALY
In collaboration with Air Force Meteorological Service

Situation on 07/02/2026

DANGER PATTERNS: buried graupel.

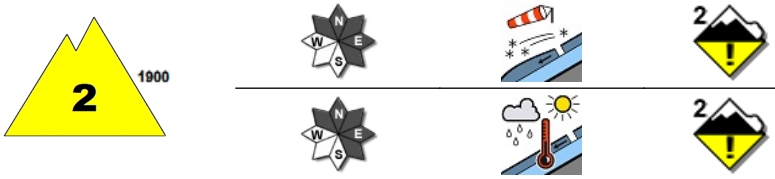

DANGER PATTERNS: rain on snow.

Snow line (m.a.s.l.)	North	South
	1400 - 1600	1700 - 1800

Snow depth (cm)	ground snow	new snow	Elevation (m.a.s.l.)
	043	000	1700
	015	000	1350

REGISTERED AVALANCHES: No avalanches detected.

FORECAST 08/02/2026

Danger level: MODERATE 2

DANGER PATTERNS: buried graupel.



DANGER PATTERNS: rain on snow.

SNOWPACK: Snowpack stability is poor on some points (areas) above 2000 m.a.s.l. All are critical. medium avalanches are possible.
Snowpack stability is poor on few points (areas) below 2000 m.a.s.l. All are critical. Medium avalanches are possible.

WARNING

Due to the forecast of severe weather conditions and reduced visibility forecast,route choice and evaluation will become difficult.

EUROPEAN AVALANCHE WARNING SERVICE

5 - VERY HIGH | 4 - HIGH | 3 - CONSIDERABLE | 2 - MODERATE | 1 - LOW | NO SNOW | NO INFO

AVALANCHE PROBLEMS

NEW SNOW | WIND - DRIFTED SNOW | PERSISTENT WEAK LAYERS | WET SNOW | GLIDING SNOW | SNOW CORNICES | NO EVIDENT AVALANCHE PROBLEM. | NO INFO

According to EAWS standards Meteomont bulletin is a synoptic-scale system (regional scale). It shall be the user's responsibility to correlate the danger level evaluation of the bulletin with a detailed and expertise analysis of the zonal hazards (single slope), that could be markedly different. Meteorological forecast are issued at UTC (for Italy: in winter time UTC+1: in summer time UTC+2).

Bulletin is subjected to check processes through: the record of Observers and Avalanches and snow Experts data in C-Sifa; the validation by forecasters; the certification by Meteomont Section.

TERMINILLO MONTI REATINI E LAGA OVEST

WEATHER FORECAST FOR

Elevation		08/02/2026 h6:00	08/02/2026 h12:00	08/02/2026 h18:00
1000	Wind	02 Knots from West	03 Knots from S-West	03 Knots from South
	Temperatures	+02 °C	+04 °C	+02 °C
	Wind chill	2 °C	3 °C	0 °C
2000	Wind	06 Knots from West	04 Knots from S-West	09 Knots from South
	Temperatures	-02 °C	-01 °C	-02 °C
	Wind chill	-6 °C	-4 °C	-7 °C
3000	Wind	10 Knots from West	08 Knots from West	10 Knots from S-West
	Temperatures	-06 °C	-06 °C	-07 °C
	Wind chill	-13 °C	-12 °C	-14 °C
Freezing level		1600-1800 m.	1800-2000 m.	1600-1800 m.
Atmospheric phenomenon		—	—	
Keys to sky condition				

KEYS TO ATMOSPHERIC PHENOMENON

— Absence of adverse weather phenomena
Fog
Mist
Light rain
Moderate rain
Heavy rain
Thunderstorm
Weak snowfall
Moderate snowfall
Heavy snowfall

KEYS TO SKY CONDITION

Clear
Partly cloudy
Cloudy
Mostly cloudy
Overcast

Weather and snow data recorded during field and out of field obsevations on 07/02/2026.

Observation field	District	Elevation (m.a.s.l.)	Snow depth (cm)	Snowfall in previous 24 hours (cm)	Temp. Min (°C)	Temp. Max (°C)	General weather conditions
PESCHIERE	Amatrice (RI)	1270	0	0	+3	+7	Absence of rain or other precipitation
M. CAIDURO	Cittareale (RI)	1300	6	0	+2	+8	Absence of rain or other precipitation
VALLONINA	Leonessa (RI)	1350	15	0	0	+6	Absence of rain or other precipitation
CAMPO FOROGNA *	Micigliano (RI)	1700	43	0	N.P.	N.P.	Fog with no visible sky

(*) Out of field survey

INFORMATION MEANS PREVENTION - SCAN QRCODE TO KNOW DAILY AVALANCHE DANGER LEVEL!

IL CAPO DEL CENTRO NAZIONALE METEOMONT
(Ten. Col. RFI Emanuela Gini)
FIRMA AUTOGRAFA OMESSA AI SENSI
DELL'ART.3 DEL D.LGS N.39/1993

According to EAWS standards Meteomont bulletin is a synoptic-scale system (regional scale). It shall be the user's responsibility to correlate the danger level evaluation of the bulletin with a detailed and expertise analysis of the zonal hazards (single slope), that could be markedly different. Meteorological forecast are issued at UTC (for Italy: in winter time UTC+1: in summer time UTC+2).

Bulletin is subjected to check processes through: the record of Observers and Avalanches and snow Experts data in C-Sifa; the validation by forecasters; the certification by Meteomont Section.