MINISTERO DELLA DIFESA

meteomont Servizio Nazionale di previsione neve e valanghe

EAWS EUROPEAN AVALANCHE WARNING SERVICES

CARABINIERI

In collaborazione con: arpav

DOLOMITI SETTENTRIONALI

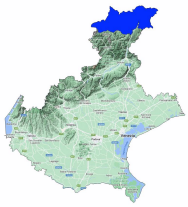

Avalanche Bulletin N. 340/2026 issued at 14:00 on 09/02/2026
48 hours validity. Next issue on 10/02/2026

By the METEOMONT Service of the ARMA dei CARABINIERI ITALY
In collaboration with Air Force Meteorological Service

Situation on 09/02/2026

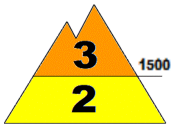

DANGER PATTERNS: loose snow and wind.

DANGER PATTERNS: springtime situation.

Snow line (m.a.s.l.)	North	South
	800 - 1200	900 - 1400

Snow depth (cm)	ground snow	new snow	Elevation (m.a.s.l.)
	78	00	2119
	38	00	1271

REGISTERED AVALANCHES: Some medium avalanches, Full-depth slab avalanches.

FORECAST 10/02/2026

Danger level: CONSIDERABLE 3

DANGER PATTERNS: loose snow and wind.



DANGER PATTERNS: springtime situation.

SNOWPACK: Snowpack stability is poor on many points (areas) above 1500 m.a.s.l. All From west to east-facing slopes are critical. medium avalanches are possible.
Snowpack stability is poor on some points (areas) below 1500 m.a.s.l. All aspects are critical. Medium avalanches are possible.

WARNING

Due to the snow cover conditions,outdoor activities beyond the maintained and marked tracks require an excellent evaluation of local danger points.

EUROPEAN AVALANCHE WARNING SERVICE

AVALANCHE PROBLEMS

According to EAWS standards Meteomont bulletin is a synoptic-scale system (regional scale). It shall be the user's responsibility to correlate the danger level evaluation of the bulletin with a detailed and expertise analysis of the zonal hazards (single slope), that could be markedly different. Meteorological forecast are issued at UTC (for Italy: in winter time UTC+1: in summer time UTC+2).

Bulletin is subjected to check processes through: the record of Observers and Avalanches and snow Experts data in C-Sifa; the validation by forecasters; the certification by Meteomont Section.

MINISTERO DELLA DIFESA

meteomont
Servizio Nazionale di previsione neve e valanghe

EAWS EUROPEAN AVALANCHE WARNING SERVICES

CARABINIERI

In collaborazione con: arpav

DOLOMITI SETTENTRIONALI

WEATHER FORECAST FOR

Elevation		10/02/2026 h6:00	10/02/2026 h12:00	10/02/2026 h18:00
1000	Wind	01 Knots from North	00 Calm	01 Knots from South
	Temperatures	-04 °C	-04 °C	-03 °C
	Wind chill	-4 °C	-4 °C	-3 °C
2000	Wind	01 Knots from West	01 Knots from S-West	01 Knots from S-West
	Temperatures	-05 °C	-05 °C	-04 °C
	Wind chill	-5 °C	-5 °C	-4 °C
3000	Wind	06 Knots from S-West	06 Knots from West	03 Knots from West
	Temperatures	-12 °C	-09 °C	-08 °C
	Wind chill	-18 °C	-14 °C	-11 °C
Freezing level		0400-0600 m.	1000-1200 m.	1200-1400 m.
Atmospheric phenomenon		—	—	—
Keys to sky condition				

KEYS TO ATMOSPHERIC PHENOMENON

— Absence of adverse weather phenomena
Fog
Mist
Light rain
Moderate rain
Heavy rain
Thunderstorm
Weak snowfall
Moderate snowfall
Heavy snowfall

KEYS TO SKY CONDITION

Clear
Partly cloudy
Cloudy
Mostly cloudy
Overcast

Weather and snow data recorded during field and out of field obsevations on 09/02/2026.

Observation field	District	Elevation (m.a.s.l.)	Snow depth (cm)	Snowfall in previous 24 hours (cm)	Temp. Min (°C)	Temp. Max (°C)	General weather conditions
MISURINA	Auronzo di Cadore (BL)	1759	61	0	-11	+15	Absence of rain or other precipitation
MONTE AGUDO	Auronzo di Cadore (BL)	1530	68	0	-5	+2	Absence of rain or other precipitation
MONTE FALORIA	Cortina d'Ampezzo (BL)	2119	78	0	-9	+7	Absence of rain or other precipitation
COL DELLA TENDA	Comelico Superiore (BL)	1930	89	0	-7	+9	Absence of rain or other precipitation
VAL LASTIES *	Canazei (TN)	2562	91	0	N.P.	N.P.	Absence of rain or other precipitation

(*) Out of field survey

INFORMATION MEANS PREVENTION - SCAN QRCODE TO KNOW DAILY AVALANCHE DANGER LEVEL!

IL CAPO DEL CENTRO NAZIONALE METEOMONT
(Ten. Col. RFI Emanuela Gini)
FIRMA AUTOGRAFA OMESSA AI SENSI
DELL'ART.3 DEL D.LGS N.39/1993

According to EAWS standards Meteomont bulletin is a synoptic-scale system (regional scale). It shall be the user's responsibility to correlate the danger level evaluation of the bulletin with a detailed and expertise analysis of the zonal hazards (single slope), that could be markedly different. Meteorological forecast are issued at UTC (for Italy: in winter time UTC+1: in summer time UTC+2).

Bulletin is subjected to check processes through: the record of Observers and Avalanches and snow Experts data in C-Sifa; the validation by forecasters; the certification by Meteomont Section.