MINISTERO DELLA DIFESA

meteomont Servizio Nazionale di previsione neve e valanghe

EAWS EUROPEAN AVALANCHE WARNING SERVICES

CARABINIERI

In collaborazione con: arpav

# DOLOMITI MERIDIONALI

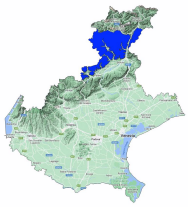

Avalanche Bulletin N. 342/2026 issued at 14:00 on 09/02/2026
48 hours validity. Next issue on 10/02/2026

**By the METEOMONT Service of the ARMA dei CARABINIERI ITALY**
**In collaboration with Air Force Meteorological Service**

## Situation on 09/02/2026

**DANGER PATTERNS: loose snow and wind.**

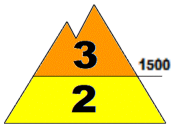

**DANGER PATTERNS: springtime situation.**

| Snow line (m.a.s.l.) | North | South |
|---|---|---|
| | 800 - 1400 | 800 - 1600 |

| Snow depth (cm) | ground snow | new snow | Elevation (m.a.s.l.) |
|---|---|---|---|
| | 80 | 00 | 2369 |
| | 31 | 00 | 1150 |

**REGISTERED AVALANCHES: Some medium avalanches, Both types of surface avalanches.**

## FORECAST 10/02/2026

# Danger level: CONSIDERABLE 3

## DANGER PATTERNS: loose snow and wind.




## DANGER PATTERNS: springtime situation.

**SNOWPACK: Snowpack stability is poor on some points (areas) above 1500 m.a.s.l. All From west to east-facing slopes are critical. large avalanches are possible.**
**Snowpack stability is poor on some points (areas) below 1500 m.a.s.l. All aspects are critical. Medium avalanches are possible.**

## WARNING

Due to snow cover conditions ,outdoor activities beyond the maintained and marked tracks require a good evaluation of local danger points.

## EUROPEAN AVALANCHE WARNING SERVICE

## AVALANCHE PROBLEMS

According to EAWS standards Meteomont bulletin is a synoptic-scale system (regional scale). It shall be the user's responsibility to correlate the danger level evaluation of the bulletin with a detailed and expertise analysis of the zonal hazards (single slope), that could be markedly different. Meteorological forecast are issued at UTC (for Italy: in winter time UTC+1: in summer time UTC+2).

Bulletin is subjected to check processes through: the record of Observers and Avalanches and snow Experts data in C-Sifa; the validation by forecasters; the certification by Meteomont Section.

# DOLOMITI MERIDIONALI

## WEATHER FORECAST FOR

| Elevation | | 10/02/2026 h6:00 | 10/02/2026 h12:00 | 10/02/2026 h18:00 |
|---|---|---|---|---|
| 1000 | Wind | 01 Knots from West | 01 Knots from S-West | 01 Knots from West |
| | Temperatures | +00 °C | +01 °C | -01 °C |
| | Wind chill | 0 °C | 1 °C | -1 °C |
| 2000 | Wind | 03 Knots from West | 05 Knots from West | 04 Knots from West |
| | Temperatures | -05 °C | -04 °C | -04 °C |
| | Wind chill | -8 °C | -8 °C | -7 °C |
| 3000 | Wind | 09 Knots from West | 10 Knots from West | 09 Knots from West |
| | Temperatures | -11 °C | -10 °C | -08 °C |
| | Wind chill | -18 °C | -18 °C | -15 °C |
| Freezing level | | 1200-1400 m. | 1300-1500 m. | 1100-1300 m. |
| Atmospheric phenomenon | | — | — | |
| Keys to sky condition | | | | |

## KEYS TO ATMOSPHERIC PHENOMENON

— Absence of adverse weather phenomena
Fog
Mist
Light rain
Moderate rain
Heavy rain
Thunderstorm
Weak snowfall
Moderate snowfall
Heavy snowfall

## KEYS TO SKY CONDITION

Clear
Partly cloudy
Cloudy
Mostly cloudy
Overcast

## Weather and snow data recorded during field and out of field obsevations on 09/02/2026.

| Observation field | District | Elevation (m.a.s.l.) | Snow depth (cm) | Snowfall in previous 24 hours (cm) | Temp. Min (°C) | Temp. Max (°C) | General weather conditions |
|---|---|---|---|---|---|---|---|
| VALFREDA * | Soraga di Fassa (TN) | 1940 | 41 | 0 | N.P. | N.P. | Absence of rain or other precipitation |
| COL DEI BALDI * | Selva di Cadore (BL) | 1920 | 103 | 0 | -7 | +9 | Absence of rain or other precipitation |
| P.SO PADON | Livinallongo del Col di Lana (BL) | 2369 | 80 | 0 | -8 | +5 | Absence of rain or other precipitation |
| SAS DA LE UNDES * | Rocca Pietore (BL) | 2600 | 105 | 0 | N.P. | N.P. | Absence of rain or other precipitation |

(*) Out of field survey

**INFORMATION MEANS PREVENTION - SCAN QRCODE TO KNOW DAILY AVALANCHE DANGER LEVEL!**

**IL CAPO DEL CENTRO NAZIONALE METEOMONT**
**(Ten. Col. RFI Emanuela Gini)**
**FIRMA AUTOGRAFA OMESSA AI SENSI**
**DELL'ART.3 DEL D.LGS N.39/1993**

According to EAWS standards Meteomont bulletin is a synoptic-scale system (regional scale). It shall be the user's responsibility to correlate the danger level evaluation of the bulletin with a detailed and expertise analysis of the zonal hazards (single slope), that could be markedly different. Meteorological forecast are issued at UTC (for Italy: in winter time UTC+1: in summer time UTC+2).

Bulletin is subjected to check processes through: the record of Observers and Avalanches and snow Experts data in C-Sifa; the validation by forecasters; the certification by Meteomont Section.