PREALPI LOMBARDE

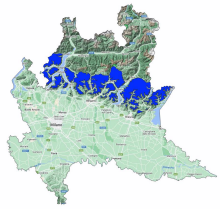

Avalanche Bulletin N. 338/2026 issued at 14:00 on 08/02/2026
48 hours validity. Next issue on 09/02/2026
By the METEOMONT Service of the ARMA dei CARABINIERI ITALY
In collaboration with Air Force Meteorological Service

Situation on 08/02/2026

DANGER PATTERNS: loose snow and wind.

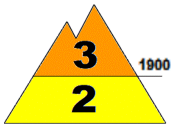



DANGER PATTERNS: loose snow and wind.

Snow line (m.a.s.l.)	North	South
	600 - 800	800 - 1000

Snow depth (cm)	ground snow	new snow	Elevation (m.a.s.l.)
	37	0	1751
	31	0	1443

REGISTERED AVALANCHES: -.

FORECAST 09/02/2026

Danger level: CONSIDERABLE 3

DANGER PATTERNS: loose snow and wind.

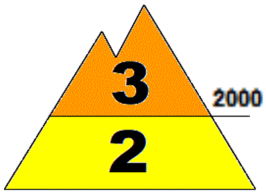

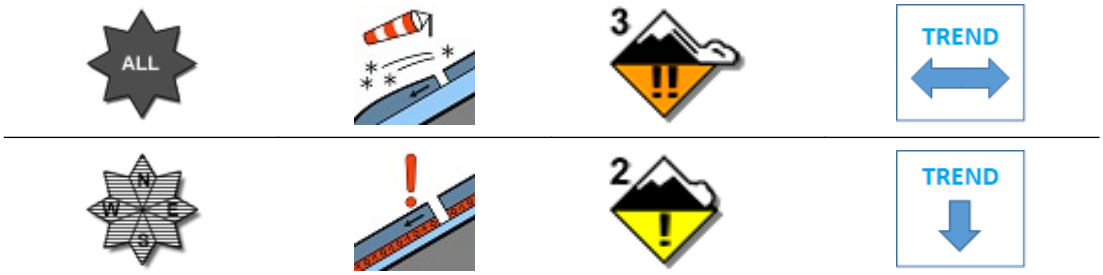

DANGER PATTERNS: no distinct danger pattern.

SNOWPACK: Snowpack stability is very poor on some points (areas) above 2000 m.a.s.l. All aspects are critical. medium avalanches are possible.
Snowpack stability is moderate on some points (areas) below 2000 m.a.s.l. All Isolated slopes are critical. Medium avalanches are possible.

WARNING

Due to the snow cover conditions,outdoor activities beyond the maintained and marked tracks require an excellent evaluation of local danger points.

EUROPEAN AVALANCHE WARNING SERVICE

AVALANCHE PROBLEMS

According to EAWS standards Meteomont bulletin is a synoptic-scale system (regional scale). It shall be the user's responsibility to correlate the danger level evaluation of the bulletin with a detailed and expertise analysis of the zonal hazards (single slope), that could be markedly different. Meteorological forecast are issued at UTC (for Italy: in winter time UTC+1: in summer time UTC+2).

Bulletin is subjected to check processes through: the record of Observers and Avalanches and snow Experts data in C-Sifa; the validation by forecasters; the certification by Meteomont Section.

PREALPI LOMBARDE

WEATHER FORECAST FOR

Elevation		09/02/2026 h6:00	09/02/2026 h12:00	09/02/2026 h18:00
1000	Wind	01 Knots from West	01 Knots from South	01 Knots from North
	Temperatures	-02 °C	-01 °C	-02 °C
	Wind chill	-2 °C	-1 °C	-2 °C
2000	Wind	01 Knots from West	01 Knots from S-West	01 Knots from N-West
	Temperatures	-04 °C	-03 °C	-03 °C
	Wind chill	-4 °C	-3 °C	-3 °C
3000	Wind	03 Knots from S-East	03 Knots from S-West	02 Knots from S-West
	Temperatures	-10 °C	-10 °C	-10 °C
	Wind chill	-13 °C	-13 °C	-10 °C
Freezing level		0900-1100 m.	1500-1700 m.	1300-1500 m.
Atmospheric phenomenon		—	—	—
Keys to sky condition				

KEYS TO ATMOSPHERIC PHENOMENON

— Absence of adverse weather phenomena
Fog
Mist
Light rain
Moderate rain
Heavy rain
Thunderstorm
Weak snowfall
Moderate snowfall
Heavy snowfall

KEYS TO SKY CONDITION

Clear
Partly cloudy
Cloudy
Mostly cloudy
Overcast

(*) Weather and snow data not available.

INFORMATION MEANS PREVENTION - SCAN QRCODE TO KNOW DAILY AVALANCHE DANGER LEVEL!

IL CAPO DEL CENTRO NAZIONALE METEOMONT
(Ten. Col. RFI Emanuela Gini)
FIRMA AUTOGRAFA OMESSA AI SENSI
DELL'ART.3 DEL D.LGS N.39/1993

According to EAWS standards Meteomont bulletin is a synoptic-scale system (regional scale). It shall be the user's responsibility to correlate the danger level evaluation of the bulletin with a detailed and expertise analysis of the zonal hazards (single slope), that could be markedly different. Meteorological forecast are issued at UTC (for Italy: in winter time UTC+1: in summer time UTC+2).

Bulletin is subjected to check processes through: the record of Observers and Avalanches and snow Experts data in C-Sifa; the validation by forecasters; the certification by Meteomont Section.