MINISTERO DELLA DIFESA

meteomont Servizio Nazionale di previsione neve e valanghe

EAWS EUROPEAN AVALANCHE WARNING SERVICES

CARABINIERI

APPENNINO EMILIANO CENTRALE

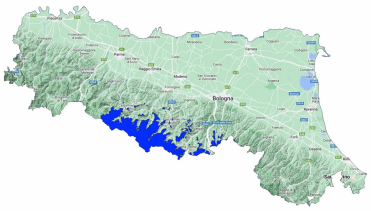

Avalanche Bulletin N. 313/2026 issued at 14:00 on 09/02/2026
48 hours validity. Next issue on 10/02/2026

By the METEOMONT Service of the ARMA dei CARABINIERI ITALY
In collaboration with Air Force Meteorological Service

Situation on 09/02/2026

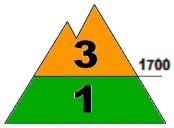

DANGER PATTERNS: loose snow and wind.

DANGER PATTERNS: springtime situation.

Snow line (m.a.s.l.)	North	South
	1200 - 1300	1300 - 1400

Snow depth (cm)	ground snow	new snow	Elevation (m.a.s.l.)
	125	001	1840
	060	002	1550

REGISTERED AVALANCHES: -.

FORECAST 10/02/2026

Danger level: CONSIDERABLE 3

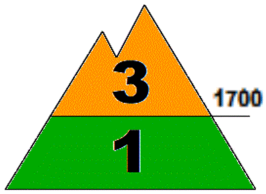

DANGER PATTERNS: loose snow and wind.

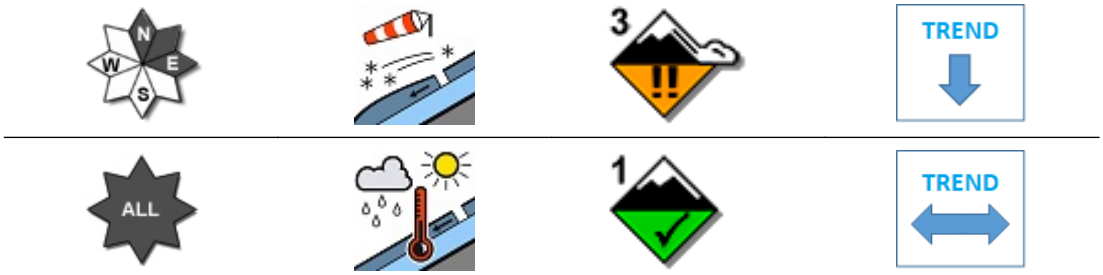

DANGER PATTERNS: springtime situation.

SNOWPACK: Snowpack stability is poor on many points (areas) above 1700 m.a.s.l. All Northeast-facing slopes are critical. medium avalanches are possible.
Snowpack stability is moderate on few points (areas) below 1700 m.a.s.l. All aspects are critical. Medium avalanches are possible.

WARNING

Due to the snow cover conditions,outdoor activities beyond the maintained and marked tracks require an excellent evaluation of local danger points.

EUROPEAN AVALANCHE WARNING SERVICE

AVALANCHE PROBLEMS

According to EAWS standards Meteomont bulletin is a synoptic-scale system (regional scale). It shall be the user's responsibility to correlate the danger level evaluation of the bulletin with a detailed and expertise analysis of the zonal hazards (single slope), that could be markedly different. Meteorological forecast are issued at UTC (for Italy: in winter time UTC+1: in summer time UTC+2).

Bulletin is subjected to check processes through: the record of Observers and Avalanches and snow Experts data in C-Sifa; the validation by forecasters; the certification by Meteomont Section.

APPENNINO EMILIANO CENTRALE

WEATHER FORECAST FOR

Elevation		10/02/2026 h6:00	10/02/2026 h12:00	10/02/2026 h18:00
1000	Wind	02 Knots from S-West	02 Knots from S-West	04 Knots from S-West
	Temperatures	+01 °C	+03 °C	+03 °C
	Wind chill	1 °C	3 °C	1 °C
2000	Wind	08 Knots from West	10 Knots from S-West	14 Knots from S-West
	Temperatures	-02 °C	-03 °C	-01 °C
	Wind chill	-7 °C	-9 °C	-7 °C
3000	Wind	08 Knots from West	13 Knots from West	13 Knots from West
	Temperatures	-09 °C	-08 °C	-06 °C
	Wind chill	-15 °C	-16 °C	-13 °C
Freezing level		1500-1700 m.	1500-1700 m.	1500-1700 m.
Atmospheric phenomenon		—		
Keys to sky condition				

KEYS TO ATMOSPHERIC PHENOMENON

Absence of adverse weather phenomena — Fog — Mist — Light rain — Moderate rain — Heavy rain — Thunderstorm

Weak snowfall — Moderate snowfall — Heavy snowfall

KEYS TO SKY CONDITION

Clear — Partly cloudy — Cloudy — Mostly cloudy — Overcast

Weather and snow data recorded during field and out of field obsevations on 09/02/2026.

Observation field	District	Elevation (m.a.s.l.)	Snow depth (cm)	Snowfall in previous 24 hours (cm)	Temp. Min (°C)	Temp. Max (°C)	General weather conditions
PASSO PRADARENA	Ventasso (RE)	1585	58	2	-1	+2	Fog with no visible sky
MONTE CUSNA	Villa Minozzo (RE)	1164	0	0	N.P.	N.P.	Heavy or moderate rain and snow or drizzle
RIFUGIO CAVONE	Lizzano in Belvedere (BO)	1416	48	1	-1	+1	Intermittent light snow
LAGO DELLA NINFA	Sestola (MO)	1550	60	2	+1	+3	Intermittent light rain

(*) Out of field survey

INFORMATION MEANS PREVENTION - SCAN QRCODE TO KNOW DAILY AVALANCHE DANGER LEVEL!

IL CAPO DEL CENTRO NAZIONALE METEOMONT
(Ten. Col. RFI Emanuela Gini)
FIRMA AUTOGRAFA OMESSA AI SENSI
DELL'ART.3 DEL D.LGS N.39/1993

According to EAWS standards Meteomont bulletin is a synoptic-scale system (regional scale). It shall be the user's responsibility to correlate the danger level evaluation of the bulletin with a detailed and expertise analysis of the zonal hazards (single slope), that could be markedly different. Meteorological forecast are issued at UTC (for Italy: in winter time UTC+1: in summer time UTC+2).

Bulletin is subjected to check processes through: the record of Observers and Avalanches and snow Experts data in C-Sifa; the validation by forecasters; the certification by Meteomont Section.