aineva.it

Tuesday 10.02.2026

Updated 10 02 2026, 08:00

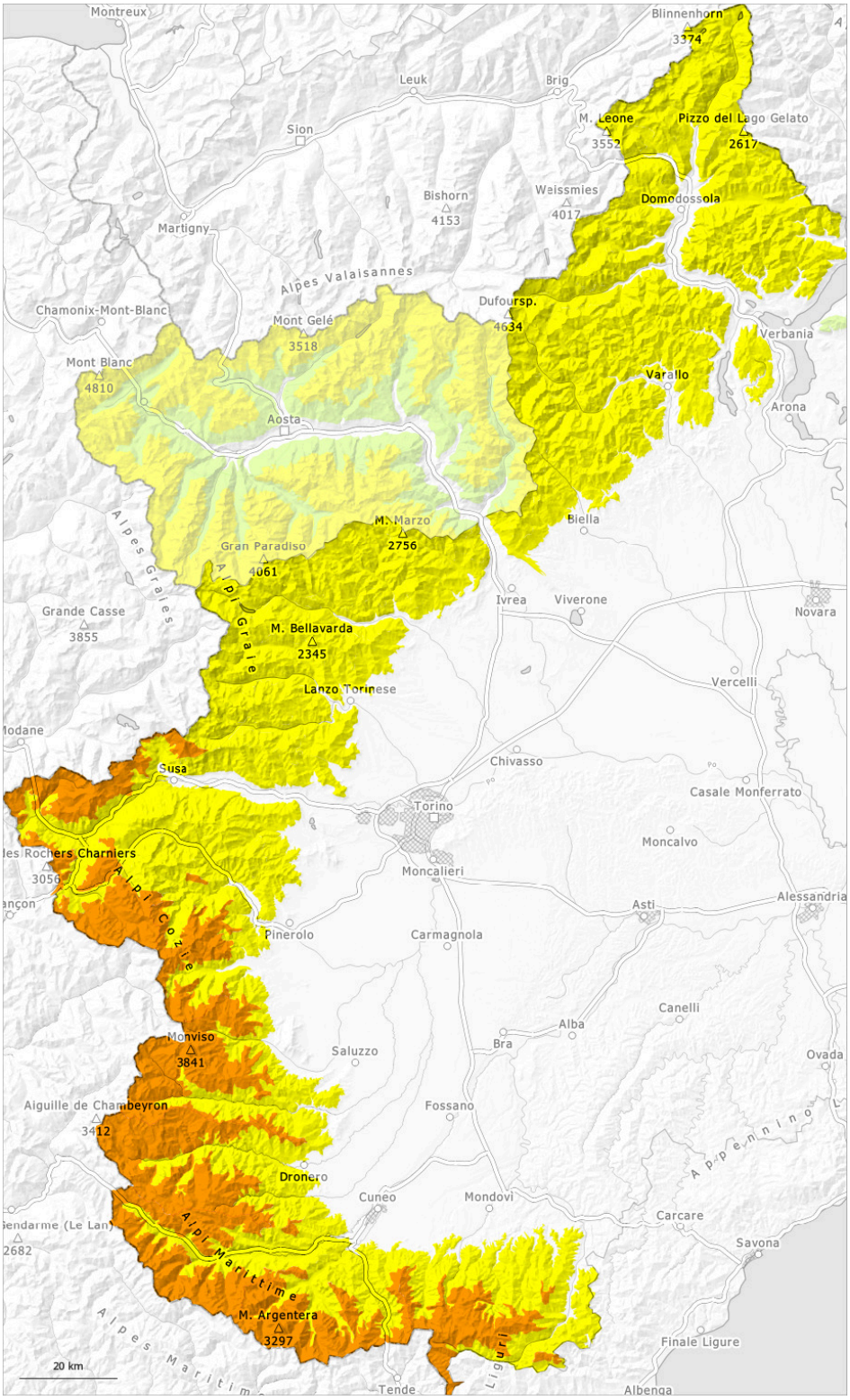

1	2	3	4	5
low	moderate	considerable	high	very high

Danger Level 3 - Considerable

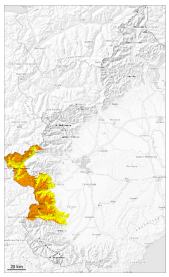

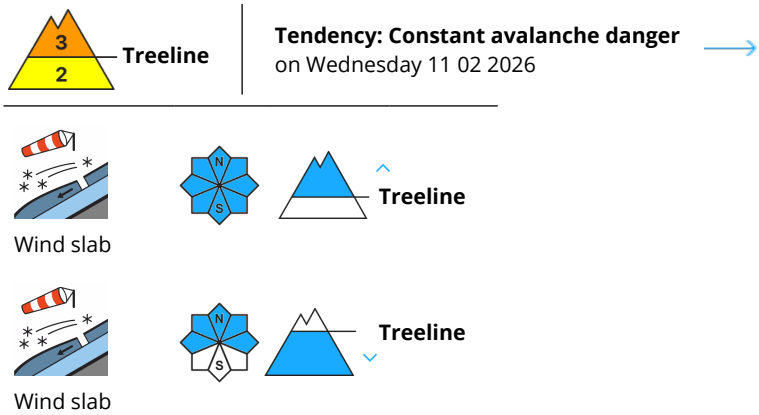

At intermediate and high altitudes more dry slab avalanches are possible. The avalanche danger will not decrease for the time being.

As a consequence of new snow and a moderate wind, mostly shallow wind slabs formed. Wind slabs can be released, even by a single winter sport participant. This applies in particular on steep slopes, as well as in gullies and bowls, and behind abrupt changes in the terrain also at intermediate altitudes.
Avalanches can be released in deeper layers in particular on steep shady slopes.
The avalanche prone locations are barely recognisable because of the poor visibility.

Meticulous route selection is required. Maintaining distances between individuals and one-at-a-time descents are recommended.

Snowpack

Danger patterns dp.6: cold, loose snow and wind

5 to 10 cm of snow has fallen since Sunday above approximately 1200 m. As a consequence of new snow and a sometimes moderate wind from westerly directions, further wind slabs formed in particular above the tree line. The new snow and wind slabs are lying on soft layers on wind-protected shady slopes. Towards its surface, the snowpack consists of rounded crystals and its surface has a melt-freeze crust that is not capable of bearing a load, in particular on steep sunny slopes.

Intermediate and high altitudes: Isolated avalanche prone weak layers exist in the bottom section of the snowpack in particular on very steep shady slopes.

Danger Level 3 - Considerable

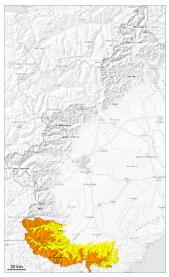

Treeline

Tendency: Constant avalanche danger
on Wednesday 11 02 2026

Wind slab

Treeline

Wet snow

1500m

As a consequence of new snow and wind a considerable danger of dry avalanches will be encountered over a wide area. This applies in particular above the tree line.

As a consequence of new snow and a moderate wind, further wind slabs formed. The fresh snow and in particular the sometimes large wind slabs can be released by a single winter sport participant in all aspects and generally above the tree line. This applies in particular on steep slopes, and adjacent to ridgelines and in gullies and bowls.
The avalanches can be released in the new snow and wind slab layers and reach large size.
The avalanche prone locations are barely recognisable because of the poor visibility.
Below approximately 1500 m small and medium-sized moist and wet avalanches are possible.

Careful route selection and spacing between individuals are recommended.

Snowpack

Danger patterns dp.6: cold, loose snow and wind

10 to 15 cm of snow, and even more in some localities, fell in the last two days above approximately 1200 m. As a consequence of snowfall and the moderate westerly wind, fresh snow drift accumulations formed. Over a wide area new snow and wind slabs are lying on soft layers.
Towards its surface, the snowpack consists of rounded crystals and its surface has a melt-freeze crust that is not capable of bearing a load, in particular on sunny slopes.
The snowpack will become moist at low altitude.

Above approximately 1500 m a lot of snow is lying.

Danger Level 2 - Moderate

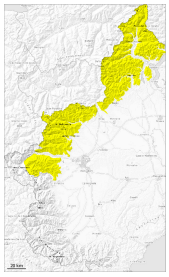

Tendency: Constant avalanche danger
on Wednesday 11 02 2026

Wind slab

Individual avalanche prone locations are to be found in particular in steep terrain at intermediate and high altitudes.

The fresh and somewhat older wind slabs represent the main danger. The avalanche prone locations are to be found in particular adjacent to ridgelines and in pass areas and on steep, little used slopes. At elevated altitudes these avalanche prone locations are more prevalent and larger.
The avalanches are medium-sized and can mostly only be released by large loads.
In very isolated cases avalanches can also be triggered in the old snowpack and reach large size.

The avalanche prone locations are barely recognisable because of the poor visibility. Careful route selection and spacing between individuals are recommended.

Snowpack

Danger patterns dp.6: cold, loose snow and wind

The avalanche prone locations are to be found especially on wind-loaded slopes. The wind slabs are lying on soft layers in particular on shady slopes.
Towards its surface, the snowpack consists of rounded crystals and its surface has a melt-freeze crust that is not capable of bearing a load, especially on steep shady slopes.
Faceted weak layers exist in the bottom section of the snowpack on shady slopes, especially at intermediate and high altitudes.