Tuesday 10.02.2026

Updated 10 02 2026, 08:00

AM

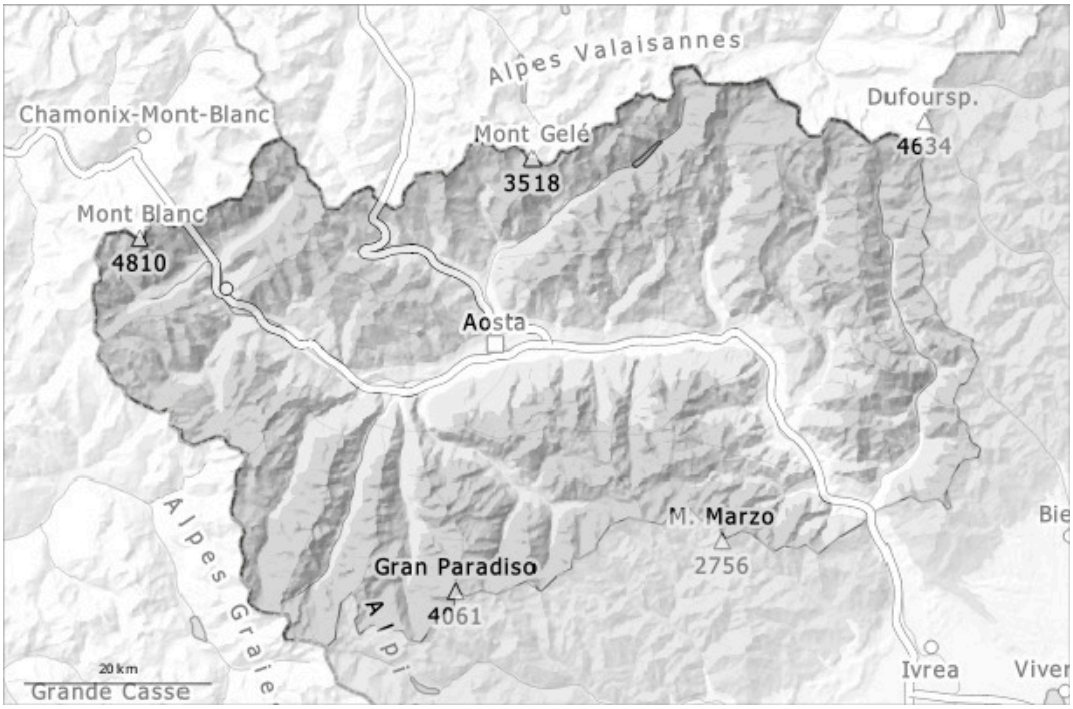

PM

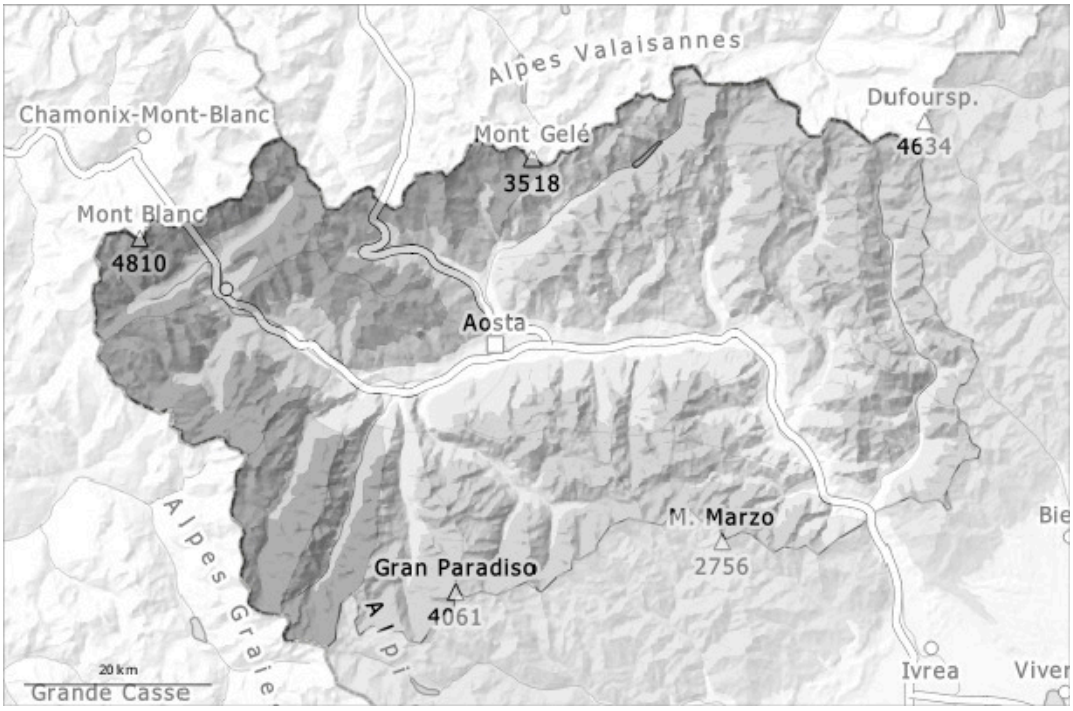

1	2	3	4	5
low	moderate	considerable	high	very high

Danger Level 3 - Considerable

AM:

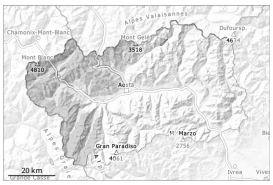

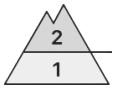

2000m

Tendency: Increasing avalanche danger
on Wednesday 11 02 2026

Persistent weak layer

2000m

PM:

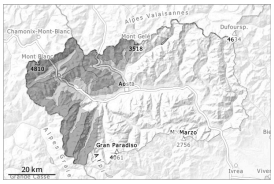

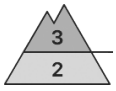

2200m

Tendency: Increasing avalanche danger
on Wednesday 11 02 2026

Wind slab

2200m

Persistent weak layer

2000m

In particular along the border with France and along the border with Switzerland the avalanche prone locations are more widespread and the danger is slightly greater.

Weak layers in the old snowpack necessitate caution. Even single winter sport participants can release avalanches. They can be triggered in deep layers of the snowpack and reach large size in isolated cases. Remotely triggered avalanches are possible. Whumpfing sounds and the formation of shooting cracks when stepping on the snowpack serve as an alarm sign.
As a consequence of new snow and wind the avalanche prone locations will become more prevalent in the afternoon. The soft wind slabs will become increasingly prone to triggering in particular on north to east to south facing aspects.
As the snowfall becomes more intense individual natural avalanches are possible as the day progresses, even medium-sized ones.

Snowpack

Danger patterns dp.6: cold, loose snow and wind

Tuesday: 20 to 40 cm of snow will fall above approximately 1600 m.
The fresh snow and especially the wind-blown snow drifts, both soft and hard, cover a thin layer of old snow and partly also surface hoar. In some cases the wind slabs have bonded poorly with the old snowpack.

Faceted weak layers exist in the old snowpack in particular on west, north and east facing slopes.
Since Friday on very steep slopes several medium-sized and, in isolated cases, large avalanches occurred naturally. Some small and medium-sized slab avalanches have been released by people in the last three days.

Tendency

The avalanche danger will increase quickly during the day. The large quantity of fresh snow as well as the wind slabs that are forming in all aspects represent the main danger.

Danger Level 2 - Moderate

AM:

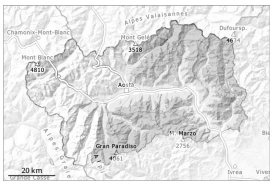

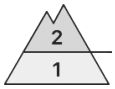

2000m

Tendency: Increasing avalanche danger
on Wednesday 11 02 2026

Persistent weak layer

2000m

PM:

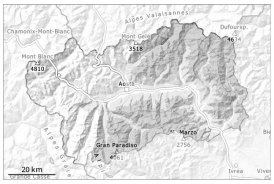

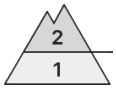

Treeline

Tendency: Increasing avalanche danger
on Wednesday 11 02 2026

Wind slab

Treeline

Persistent weak layer

2000m

As you climb higher in altitude, danger spots are more widespread.

Weak layers in the old snowpack necessitate caution. Even single winter sport participants can release avalanches. They can be triggered in deep layers of the snowpack and reach medium size. Remotely triggered avalanches are possible. Whumpfing sounds and the formation of shooting cracks when stepping on the snowpack serve as an alarm sign.
As a consequence of new snow and wind the avalanche prone locations will become more prevalent in the afternoon. The soft wind slabs will become increasingly prone to triggering in particular on north to east to south facing aspects.
As the snowfall becomes more intense individual natural avalanches are possible in the evening, but they will be mostly small.

Snowpack

Danger patterns dp.6: cold, loose snow and wind | dp.1: deep persistent weak layer

Tuesday: 5 to 10 cm of snow, and even more in some localities, will fall until the evening above approximately 1600 m.
The fresh snow and especially the wind-blown snow drifts, both soft and hard, cover a thin layer of old snow and partly also surface hoar.
Faceted weak layers exist in the old snowpack in particular on west, north and east facing slopes.

Since Friday on very steep slopes several small to medium-sized avalanches occurred naturally. Isolated

small to medium-sized slab avalanches have been released by people in the last three days.

Tendency

The avalanche danger will increase quickly during the day.