BUTLLETÍ DEL PERILL D'ALLAUS DEL PRINCIPAT D'ANDORRA

Prepared on 10/02/2026 16:00
Next update 11/02/2026 at 16 am

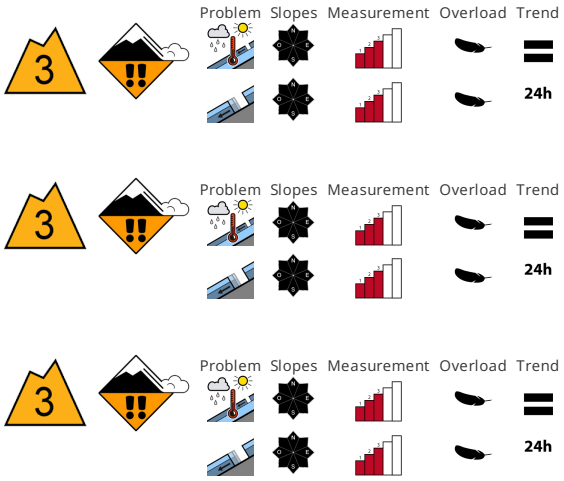

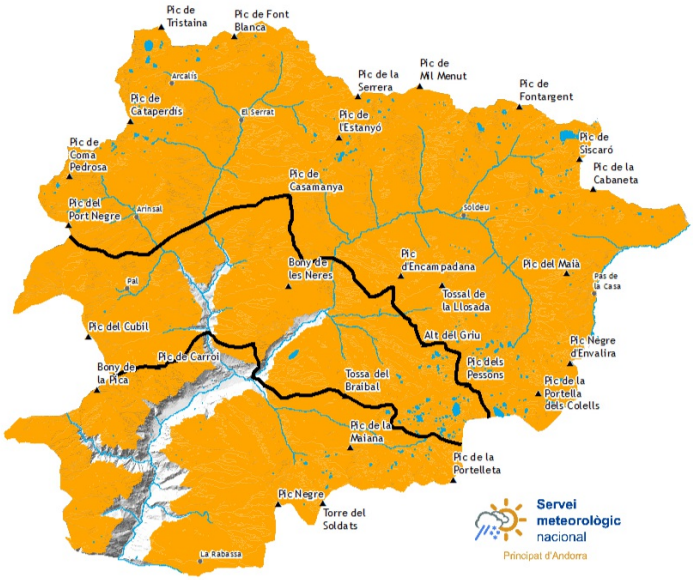

SNOW QUALITY

Significant increase in danger of moist and wet avalanches as the snowfall level rises. Gliding avalanches are also to be expected at any time. Areas with glide cracks are to be avoided. Medium-sized and, in isolated cases, large natural avalanches are to be expected. Explanation: these may only stand for these avalanches can be released in deep layers of the snowpack., this also applies in case of starting zones in which avalanches have already been released. The avalanche prone locations are widespread. Backcountry touring is to be restricted to flat or controlled terrain as far as possible. Careful route selection and spacing between individuals are recommended.

STABILITY OF THE SNOW MANTLE

In the vicinity of peaks at high altitude snow depths vary greatly, depending on the infuence of the wind. Up to high altitudes rain will fall on Tuesday. The rain will give rise to significant moistening of the snowpack over a wide area in all aspects. The surface of the snowpack will cool hardly at all during the overcast night.

OFF-PISTE SNOW COVER THICKNESSES

North zone		Snow thickness		
Snowpack		1500m	2000m	2500m
N	1300 m	50 cm	150 cm	200 cm
S	1300 m	30 cm	100 cm	130 cm

Center area		Snow thickness		
Snowpack		1500m	2000m	2500m
N	1300 m	50 cm	150 cm	200 cm
S	1300 m	30 cm	100 cm	130 cm

South zone		Snow thickness		
Snowpack		1500m	2000m	2500m
N	1300 m	50 cm	100 cm	100 cm
S	1300 m	30 cm	70 cm	70 cm

Detailed information for protected areas

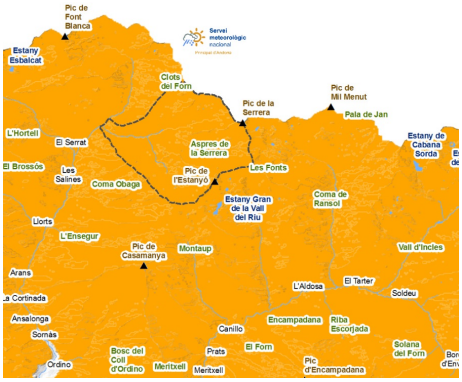

SORTENY

The rain up to high altitudes will moisten the weak layers of the surface part of the mantle, accumulated in the weak snows of the last few days. The forecast of natural wet avalanches should make us take extreme precautions and limit activities to plain terrain.

COMAPEDROSA

The lack of overnight frost can still cause wet avalanches to come down the channels that cross the roads. In addition, even if there have already been avalanches during the winter that have cleared some slopes, we cannot rule out large avalanches coming down again.

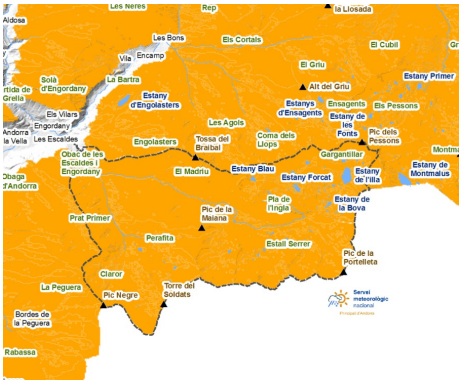

MADRIU-PERAFITA-CLAROR

As in the whole country, we will have to take extreme precautions on the steepest slopes. The rain will cause a melting of the mantle at the lowest levels, making access to the Valley difficult. Soft and soft snow cannot support the weight of a hiker.

BUTLLETÍ DEL PERILL D'ALLAUS DEL PRINCIPAT D'ANDORRA

Servei meteorològic nacional
Principat d'Andorra

Thick snow in recent days (last 24 hours measured at 06:00 UTC)

	06/02/2026	07/02/2026	08/02/2026	09/02/2026
FEDA (Central)	0 cm	0 cm	0 cm	0 cm
Engolasters - FEDA	0 cm	0 cm	0 cm	0 cm
Bony de les Neres	0 cm	0 cm	0 cm	11 cm
Sorteny	0 cm	3 cm	2 cm	22 cm
Les Fonts d'Arinsal	0 cm	0 cm	10 cm	15 cm
Perafita	0 cm	0 cm	0 cm	8 cm
Tossa Espiolets	0 cm	0 cm	4 cm	5 cm
Grau Roig - FEDA	0 cm	0 cm	0 cm	13 cm
Fontverd	0 cm	0 cm	0 cm	7 cm
Ransol - FEDA	0 cm	1 cm	0 cm	4 cm
Setúria	0 cm	4 cm	6 cm	12 cm
Caborreu	0 cm	0 cm	0 cm	6 cm
Coll Pa	0 cm	2 cm	3 cm	13 cm
Envalira Antenes	0 cm	0 cm	4 cm	18 cm
Vall del Riu FEDA	0 cm	9 cm	0 cm	7 cm