MINISTERO DELLA DIFESA

meteomont
Servizio Nazionale di previsione neve e valanghe

EAWS EUROPEAN AVALANCHE WARNING SERVICES

CARABINIERI

ALPI RETICHE

Avalanche Bulletin N. 343/2026 issued at 14:00 on 10/02/2026
48 hours validity. Next issue on 11/02/2026

By the METEOMONT Service of the ARMA dei CARABINIERI ITALY
In collaboration with Air Force Meteorological Service

Situation on 10/02/2026

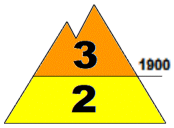

DANGER PATTERNS: deep persistent weak layer.

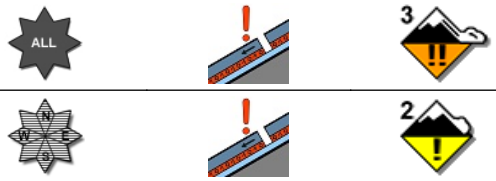

DANGER PATTERNS: shallow snow next to deep snow.

Snow line (m.a.s.l.)	North	South
	900 - 1100	1100 - 1300

Snow depth (cm)	ground snow	new snow	Elevation (m.a.s.l.)
	58	001	2582
	58	003	1640

REGISTERED AVALANCHES: No avalanches detected.

FORECAST 11/02/2026

Danger level: CONSIDERABLE 3

DANGER PATTERNS: deep persistent weak layer.

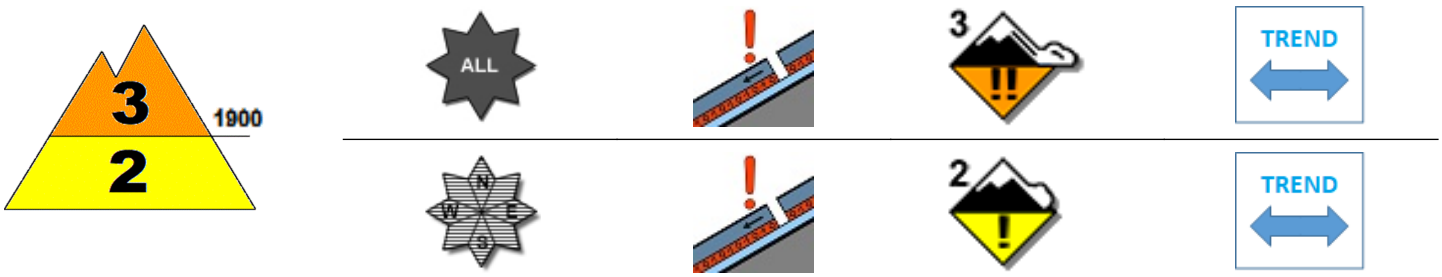

DANGER PATTERNS: shallow snow next to deep snow.

SNOWPACK: Snowpack stability is poor on many points (areas) above 1900 m.a.s.l. All aspects are critical. medium avalanches are possible.
Snowpack stability is moderate on some points (areas) below 1900 m.a.s.l. All Isolated slopes are critical. Medium avalanches are possible.

WARNING

Due to the forecast of severe weather conditions and reduced visibility forecast,route choice and evaluation will become difficult.

EUROPEAN AVALANCHE WARNING SERVICE

AVALANCHE PROBLEMS

According to EAWS standards Meteomont bulletin is a synoptic-scale system (regional scale). It shall be the user's responsibility to correlate the danger level evaluation of the bulletin with a detailed and expertise analysis of the zonal hazards (single slope), that could be markedly different. Meteorological forecast are issued at UTC (for Italy: in winter time UTC+1: in summer time UTC+2).

Bulletin is subjected to check processes through: the record of Observers and Avalanches and snow Experts data in C-Sifa; the validation by forecasters; the certification by Meteomont Section.

MINISTERO DELLA DIFESA

meteomont
Servizio Nazionale di previsione neve e valanghe

EAWS EUROPEAN AVALANCHE WARNING SERVICES

CARABINIERI

ALPI RETICHE

WEATHER FORECAST FOR

Elevation		11/02/2026 h6:00	11/02/2026 h12:00	11/02/2026 h18:00
1000	Wind	01 Knots from South	01 Knots from N-East	01 Knots from N-West
	Temperatures	-03 °C	-01 °C	-01 °C
	Wind chill	-3 °C	-1 °C	-1 °C
2000	Wind	01 Knots from South	01 Knots from N-East	01 Knots from N-West
	Temperatures	-03 °C	-01 °C	-01 °C
	Wind chill	-3 °C	-1 °C	-1 °C
3000	Wind	05 Knots from West	12 Knots from N-West	08 Knots from N-West
	Temperatures	-07 °C	-06 °C	-08 °C
	Wind chill	-11 °C	-13 °C	-14 °C
Freezing level		1400-1600 m.	1600-1800 m.	1700-1900 m.
Atmospheric phenomenon		—	—	—
Keys to sky condition				

KEYS TO ATMOSPHERIC PHENOMENON

— Absence of adverse weather phenomena
Fog
Mist
Light rain
Moderate rain
Heavy rain
Thunderstorm
Weak snowfall
Moderate snowfall
Heavy snowfall

KEYS TO SKY CONDITION

Clear
Partly cloudy
Cloudy
Mostly cloudy
Overcast

Weather and snow data recorded during field and out of field obsevations on 10/02/2026.

Observation field	District	Elevation (m.a.s.l.)	Snow depth (cm)	Snowfall in previous 24 hours (cm)	Temp. Min (°C)	Temp. Max (°C)	General weather conditions
SPONDA	Livigno (SO)	2150	52	0	-12	+1	Absence of rain or other precipitation
BORMIO2000-LECCIONA	Valdisotto (SO)	2050	56	0	-5	+1	Absence of rain or other precipitation
VALAR	Valdidentro (SO)	1930	58	0	N.P.	N.P.	Absence of rain or other precipitation
DOSSO DEL VALLONE	Valfurva (SO)	2582	58	Snow traces	-12	-2	Continuous light snow
ALPE PALU'	Chiesa in Valmalenco (SO)	2010	75	5	-7	+3	Continuous light snow
COLONIA VIGILI	Ponte di Legno (BS)	1640	58	3	-6	+8	Continuous light snow
PARE' DI LIVIGNO *	Livigno (SO)	2267	50	0	N.P.	N.P.	Absence of rain or other precipitation
CAMPOLUNGO *	Chiesa in Valmalenco (SO)	2213	90	2	N.P.	N.P.	Continuous light snow

(*) Out of field survey

INFORMATION MEANS PREVENTION - SCAN QRCODE TO KNOW DAILY AVALANCHE DANGER LEVEL!

IL CAPO DEL CENTRO NAZIONALE METEOMONT
(Ten. Col. RFI Emanuela Gini)
FIRMA AUTOGRAFA OMESSA AI SENSI
DELL'ART.3 DEL D.LGS N.39/1993

According to EAWS standards Meteomont bulletin is a synoptic-scale system (regional scale). It shall be the user's responsibility to correlate the danger level evaluation of the bulletin with a detailed and expertise analysis of the zonal hazards (single slope), that could be markedly different. Meteorological forecast are issued at UTC (for Italy: in winter time UTC+1: in summer time UTC+2).

Bulletin is subjected to check processes through: the record of Observers and Avalanches and snow Experts data in C-Sifa; the validation by forecasters; the certification by Meteomont Section.