MINISTERO DELLA DIFESA

meteomont
Servizio Nazionale di previsione neve e valanghe

EAWS EUROPEAN AVALANCHE WARNING SERVICES

CARABINIERI

VELINO - SIRENTE

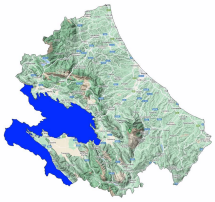

Avalanche Bulletin N. 313/2026 issued at 14:00 on 09/02/2026
48 hours validity. Next issue on 10/02/2026

By the METEOMONT Service of the ARMA dei CARABINIERI ITALY
In collaboration with Air Force Meteorological Service

Situation on 09/02/2026

DANGER PATTERNS: loose snow and wind.

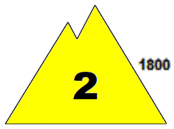



DANGER PATTERNS: gliding snow.

Snow line (m.a.s.l.)	North	South
	1500 - 1600	1600 - 1800

Snow depth (cm)	ground snow	new snow	Elevation (m.a.s.l.)
	010	000	1450
	000	000	1276

REGISTERED AVALANCHES: No avalanches detected.

FORECAST 10/02/2026

Danger level: MODERATE 2

DANGER PATTERNS: loose snow and wind.

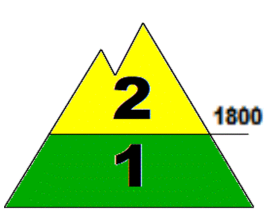



DANGER PATTERNS: springtime situation.

SNOWPACK: Snowpack stability is moderate on some points (areas) above 1800 m.a.s.l. All Northeast-facing slopes are critical. medium avalanches are possible.
Snowpack stability is poor on few points (areas) below 1800 m.a.s.l. All Sunny slopes are critical. Medium avalanches are possible.

WARNING

Meteomont recommends that you to always carry ARTVA, probe and shovel.

EUROPEAN AVALANCHE WARNING SERVICE

AVALANCHE PROBLEMS

According to EAWS standards Meteomont bulletin is a synoptic-scale system (regional scale). It shall be the user's responsibility to correlate the danger level evaluation of the bulletin with a detailed and expertise analysis of the zonal hazards (single slope), that could be markedly different. Meteorological forecast are issued at UTC (for Italy: in winter time UTC+1: in summer time UTC+2).

Bulletin is subjected to check processes through: the record of Observers and Avalanches and snow Experts data in C-Sifa; the validation by forecasters; the certification by Meteomont Section.

MINISTERO DELLA DIFESA

meteomont
Servizio Nazionale di previsione neve e valanghe

EAWS EUROPEAN AVALANCHE WARNING SERVICES

CARABINIERI

VELINO - SIRENTE

WEATHER FORECAST FOR

Elevation		10/02/2026 h6:00	10/02/2026 h12:00	10/02/2026 h18:00
1000	Wind	02 Knots from West	04 Knots from West	03 Knots from West
	Temperatures	-01 °C	+00 °C	-01 °C
	Wind chill	-1 °C	-3 °C	-3 °C
2000	Wind	03 Knots from West	05 Knots from West	04 Knots from West
	Temperatures	-02 °C	-01 °C	-02 °C
	Wind chill	-4 °C	-4 °C	-5 °C
3000	Wind	06 Knots from West	09 Knots from West	11 Knots from West
	Temperatures	-07 °C	-08 °C	-08 °C
	Wind chill	-12 °C	-15 °C	-15 °C
Freezing level		1600-1800 m.	1800-2000 m.	1600-1800 m.
Atmospheric phenomenon		—	—	—
Keys to sky condition				

KEYS TO ATMOSPHERIC PHENOMENON

— Absence of adverse weather phenomena
Fog
Mist
Light rain
Moderate rain
Heavy rain
Thunderstorm
Weak snowfall
Moderate snowfall
Heavy snowfall

KEYS TO SKY CONDITION

Clear
Partly cloudy
Cloudy
Mostly cloudy
Overcast

Weather and snow data recorded during field and out of field obsevations on 09/02/2026.

Observation field	District	Elevation (m.a.s.l.)	Snow depth (cm)	Snowfall in previous 24 hours (cm)	Temp. Min (°C)	Temp. Max (°C)	General weather conditions
PASSO LE FORCHE	Magliano de' Marsi (AQ)	1276	0	0	0	+10	Absence of rain or other precipitation
SANT'ELIA *	Collelongo (AQ)	1470	5	0	N.P.	N.P.	Absence of rain or other precipitation
MARSIA	Tagliacozzo (AQ)	1450	10	0	-1	+4	Absence of rain or other precipitation
LA CROCETTA	Lucoli (AQ)	1573	8	N.P.	-2	+9	Absence of rain or other precipitation

(*) Out of field survey

INFORMATION MEANS PREVENTION - SCAN QRCODE TO KNOW DAILY AVALANCHE DANGER LEVEL!

IL CAPO DEL CENTRO NAZIONALE METEOMONT
(Ten. Col. RFI Emanuela Gini)
FIRMA AUTOGRAFA OMESSA AI SENSI
DELL'ART.3 DEL D.LGS N.39/1993

According to EAWS standards Meteomont bulletin is a synoptic-scale system (regional scale). It shall be the user's responsibility to correlate the danger level evaluation of the bulletin with a detailed and expertise analysis of the zonal hazards (single slope), that could be markedly different. Meteorological forecast are issued at UTC (for Italy: in winter time UTC+1: in summer time UTC+2).

Bulletin is subjected to check processes through: the record of Observers and Avalanches and snow Experts data in C-Sifa; the validation by forecasters; the certification by Meteomont Section.