aineva.it

Thursday 12.02.2026

Published 11 02 2026, 17:00

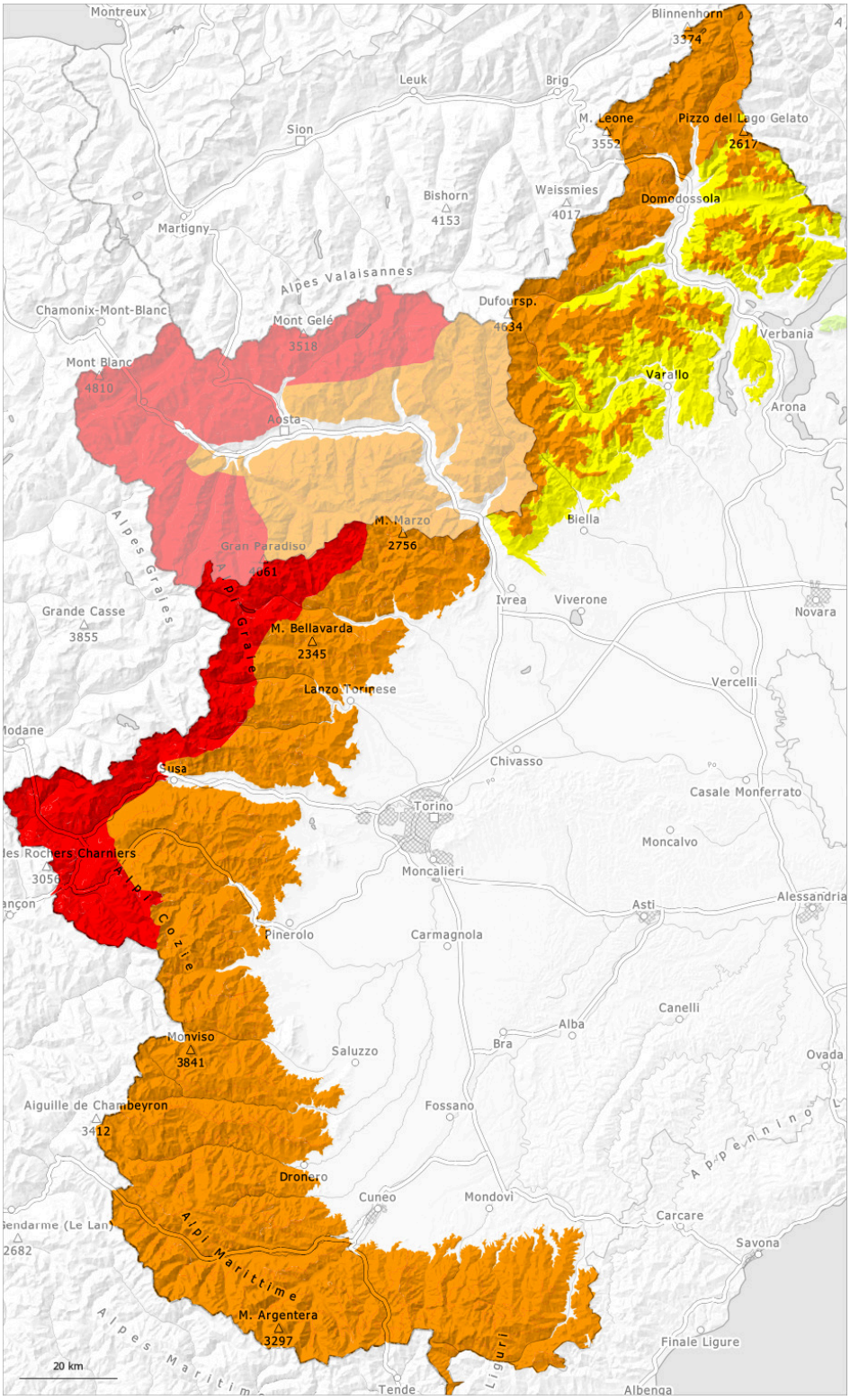

1	2	3	4	5
low	moderate	considerable	high	very high

Danger Level 4 - High

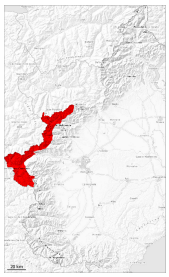

Tendency: Decreasing avalanche danger
on Friday 13 02 2026

New snow

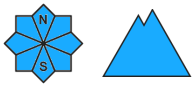

Wind slab

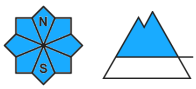

1800m

New snow and wind slabs: From starting zones at higher altitudes large natural avalanches must be expected.

As a consequence of new snow and stormy weather the wind slabs will increase in size substantially as the day progresses. This applies in particular in gullies and bowls, and behind abrupt changes in the terrain, as well as at a distance from ridgelines above the tree line.

New snow and wind slabs can in many places be released easily and reach large size.
Along the border with France the avalanche prone locations are more prevalent and larger. These places are barely recognisable because of the poor visibility.

Additionally avalanches can also release deeper layers of the snowpack and reach very large size.
Exposed parts of transportation routes can be endangered in some localities in this instance.

Snowpack

Danger patterns dp.6: cold, loose snow and wind

15 to 25 cm of snow fell on Wednesday above approximately 1800 m. Over a wide area 25 to 50 cm of snow will fall on Thursday above approximately 2000 m. As a consequence of new snow and a moderate to strong wind from northwesterly directions, further wind slabs formed in particular above the tree line. The new snow and wind slabs are lying on soft layers on wind-protected shady slopes.

Intermediate and high altitudes: Large-grained weak layers exist in the bottom section of the old snowpack in particular on shady slopes.

Tendency

With the end of the precipitation, the natural avalanche activity will gradually decrease. Along the border with France and on wind-loaded slopes the likelihood of avalanches is high. The avalanches can occur in particular in starting zones where no previous releases have taken place.

Danger Level 3 - Considerable

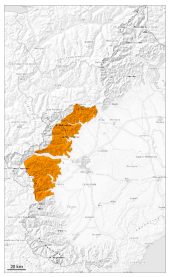

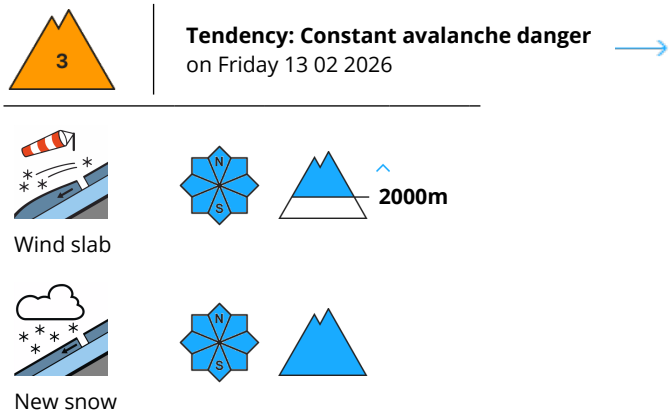

As a consequence of new snow and wind the avalanche prone locations will become more prevalent as the day progresses. In the regions neighbouring those that are subject to danger level 4 (high) the avalanche prone locations are more prevalent.

The fresh snow as well as the wind slabs that are forming during the snowfall must be evaluated with care and prudence in all aspects above the tree line. The avalanche prone locations are to be found especially adjacent to ridgelines and in gullies and bowls and on wind-loaded slopes.
At elevated altitudes these avalanche prone locations are more prevalent. They are barely recognisable because of the poor visibility.

New snow and wind slabs can be released, even by a single winter sport participant or triggered naturally. Additionally avalanches can also be triggered in the old snowpack and reach large size.

Careful route selection and spacing between individuals are recommended.

Snowpack

Danger patterns dp.6: cold, loose snow and wind

5 to 15 cm of snow fell on Wednesday above approximately 1800 m. In some regions 10 to 20 cm of snow will fall above approximately 2000 m.
The sometimes storm force wind will transport the new snow significantly. The wind slabs are lying on soft layers in particular on shady slopes.

The unusual weather conditions will give rise to unfavourable bonding of the snowpack.
Intermediate and high altitudes: Large-grained weak layers exist in the bottom section of the snowpack in particular on shady slopes.
High altitudes and the high Alpine regions: The sometimes strong wind has transported the fresh and old snow significantly.

Danger Level 3 - Considerable

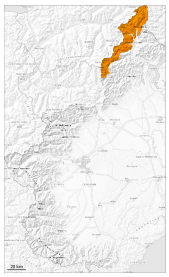

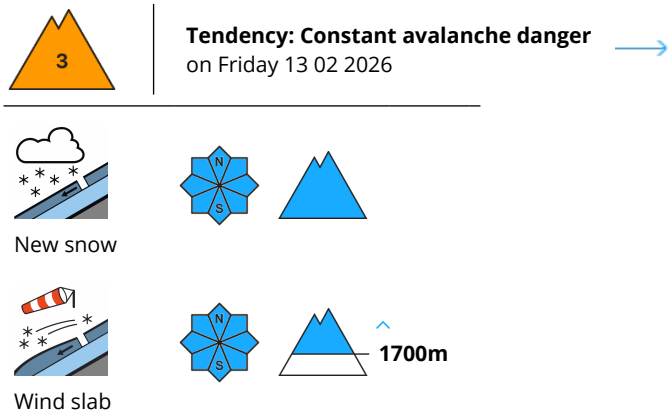

Gradual increase in avalanche danger as a consequence of new snow and strong wind. This applies in particular in the regions exposed to heavier precipitation.

As a consequence of new snow and a strong wind from northwesterly directions, wind slabs will form over a wide area. This applies in particular in gullies and bowls, and behind abrupt changes in the terrain especially above the tree line.

New snow and wind slabs can be released, even by a single winter sport participant and reach large size.

Additionally avalanches can also be released in deep layers and reach very large size in isolated cases in particular on shady slopes. The avalanche prone locations are barely recognisable because of the poor visibility.

Meticulous route selection is required. Maintaining distances between individuals and one-at-a-time descents are recommended.

Snowpack

Danger patterns dp.6: cold, loose snow and wind

10 to 20 cm of snow fell on Wednesday above approximately 1500 m. Over a wide area 15 to 30 cm of snow will fall on Thursday above approximately 1800 m. As a consequence of new snow and a moderate to strong wind from northwesterly directions, further wind slabs formed in particular above the tree line. The new snow and wind slabs are lying on soft layers on wind-protected shady slopes.

Intermediate and high altitudes: Large-grained weak layers exist in the bottom section of the snowpack in particular on shady slopes.
High altitudes and the high Alpine regions: The sometimes strong wind has transported the fresh and old snow significantly.

Tendency

The avalanche danger will not decrease for the time being. Along the border between Valais and Italy and on wind-loaded slopes the likelihood of avalanches is high.

Danger Level 3 - Considerable

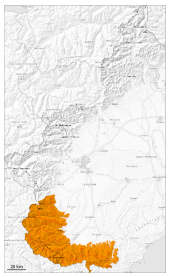

Tendency: Decreasing avalanche danger
on Friday 13 02 2026

Wind slab

1500m

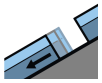

Gliding snow

The wind slabs remain for the foreseeable future prone to triggering at intermediate and high altitudes. Along the border with France the avalanche prone locations are more prevalent.

Along the border with France light precipitation.

More recent wind slabs can be released by a single winter sport participant in all aspects and generally at elevated altitudes. This applies in particular on steep slopes, and adjacent to ridgelines and in gullies and bowls.
The avalanches can be released in the new snow and wind slab layers and reach large size. Individual gliding avalanches can also occur.

Careful route selection and spacing between individuals are recommended.

Snowpack

Danger patterns dp.6: cold, loose snow and wind | dp.2: gliding snow

In particular along the border with France in some localities up to 15 cm of snow has fallen above approximately 2200 m. As a consequence of high temperatures and rain up to intermediate altitudes the snowpack could not consolidate during the last few days.
Above approximately 1500 m a lot of snow is lying.
The unusual weather conditions will give rise to unfavourable bonding of the snowpack.

Tendency

With the easing of the wind, the natural avalanche activity will gradually decrease.

Danger Level 3 - Considerable

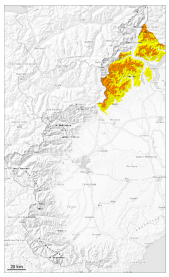

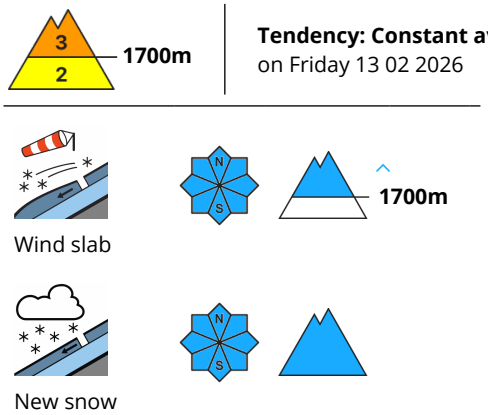

As a consequence of new snow and wind the avalanche prone locations will become more prevalent as the day progresses. Above the tree line a considerable avalanche danger will prevail.

The fresh snow as well as the wind slabs that are forming during the snowfall must be evaluated with care and prudence in all aspects above the tree line. The avalanche prone locations are to be found especially adjacent to ridgelines and in gullies and bowls and on steep slopes.
At elevated altitudes these avalanche prone locations are more prevalent. They are barely recognisable because of the poor visibility.

New snow and wind slabs can be released, even by a single winter sport participant or triggered naturally. Additionally avalanches can also be triggered in the old snowpack and reach large size.

Careful route selection and spacing between individuals are recommended.

Snowpack

Danger patterns dp.6: cold, loose snow and wind

Over a wide area 10 to 20 cm of snow has fallen above approximately 1800 m. Above approximately 1200 m snow will fall on Thursday. The strong wind will transport the new snow and, in some cases, old snow as well.
The wind slabs are lying on soft layers in particular on shady slopes.

Individual weak layers exist in the bottom section of the snowpack on shady slopes. This applies in particular at elevated altitudes.